Thursday 12.02.2026

Published 11 02 2026, 17:00

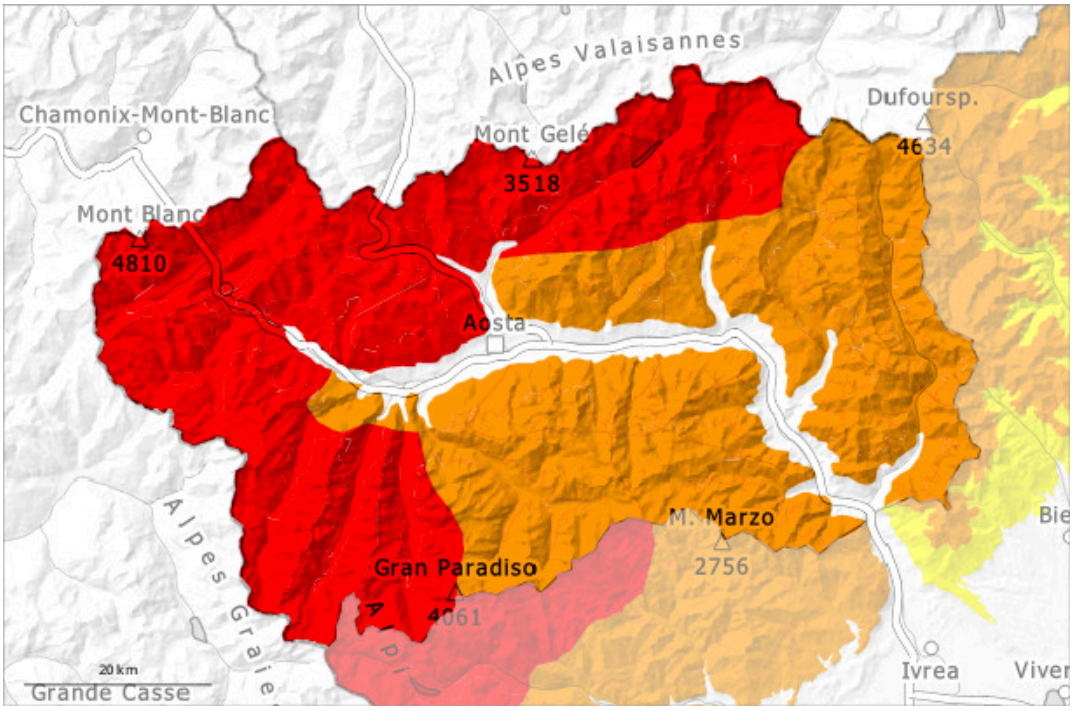

1	2	3	4	5
low	moderate	considerable	high	very high

Danger Level 4 - High

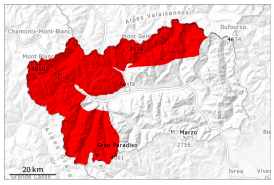

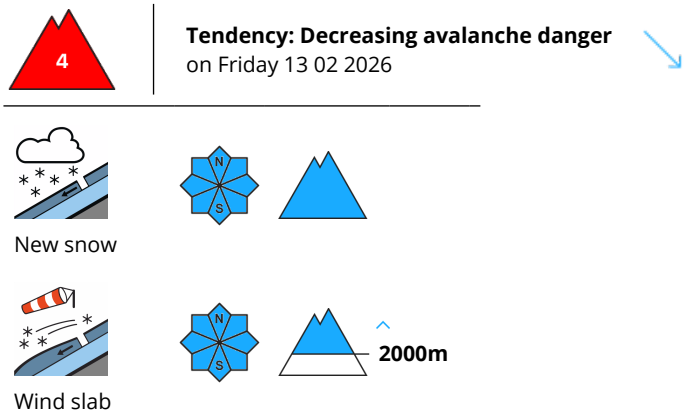

The avalanche danger in all regions is within the upper range of danger level 4 (high). A critical avalanche situation will be encountered over a wide area. In particular along the border with France and along the border with Switzerland the avalanche prone locations are more widespread.

Very dangerous avalanche situation with three overlapping avalanche problems: fresh snow, wind-blown snow and persistent weak layers.
Large quantities of fresh snow and the wind-drifted snow are lying on top of a weakly bonded old snowpack. Avalanches can in many places be released very easily. As a consequence of new snow and strong wind natural avalanches are to be expected, even large ones. The avalanches can be triggered in deep layers of the snowpack and reach very large size. In the typical avalanche paths the avalanches can reach as far as the valley bottom and endanger transportation routes that are exposed. The emptied starting zones will be replenished as a consequence of snowfall and wind.

The conditions are very critical for backcountry touring and other off-piste activities outside marked and open pistes.

Snowpack

Danger patterns dp.6: cold, loose snow and wind | dp.1: deep persistent weak layer

Wednesday: 40 to 60 cm of snow, and even more in some localities, fell in the late morning above approximately 1600 m.
40 to 80 cm of snow, and even more in some localities, will fall until Thursday above approximately 2000 m.
The weather conditions will give rise to unfavourable bonding of the snowpack. The large quantity of fresh snow and the wind slabs that are forming during the snowfall are bonding poorly with the old snowpack at intermediate and high altitudes.

Tendency

The large quantity of fresh snow as well as the wind slabs that are forming in all aspects represent the

> main danger. With the end of the intense precipitation, the natural avalanche activity will decrease.

Danger Level 3 - Considerable

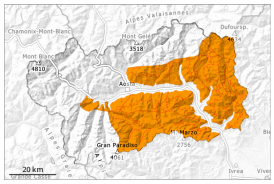

Tendency: Decreasing avalanche danger
on Friday 13 02 2026

New snow

2100m

Persistent
weak layer

2000m

In the regions neighbouring those that are subject to danger level 4 (high) the avalanche prone locations are more prevalent.

As a consequence of new snow and a strong wind, avalanche prone wind slabs will form on Thursday. Natural avalanches are possible. Especially on very steep slopes the avalanches can be triggered in the old snow and reach quite a large size.
Even single winter sport participants can release avalanches. Remotely triggered avalanches are possible. Weak layers in the old snowpack necessitate caution. Whumpfing sounds and the formation of shooting cracks when stepping on the snowpack serve as an alarm sign.

Snowpack

Danger patterns dp.6: cold, loose snow and wind | dp.1: deep persistent weak layer

5 to 20 cm of snow, and even more in some localities, will fall until Thursday above approximately 1800 m. The weather conditions will give rise to unfavourable bonding of the snowpack. The strong wind will transport the new snow.
Faceted weak layers exist in the old snowpack in particular on west, north and east facing slopes.

Tendency

The fresh snow as well as the wind slabs that are forming in all aspects represent the main danger. With the end of the precipitation, the natural avalanche activity will decrease.