BUTLLETÍ DEL PERILL D'ALLAUS DEL PRINCIPAT D'ANDORRA

Servei meteorològic nacional
Principat d'Andorra

Prepared on 11/02/2026 16:00
Next update 12/02/2026 at 16 am

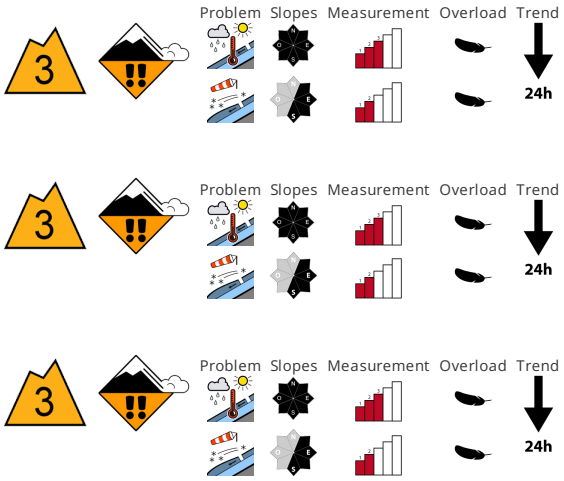

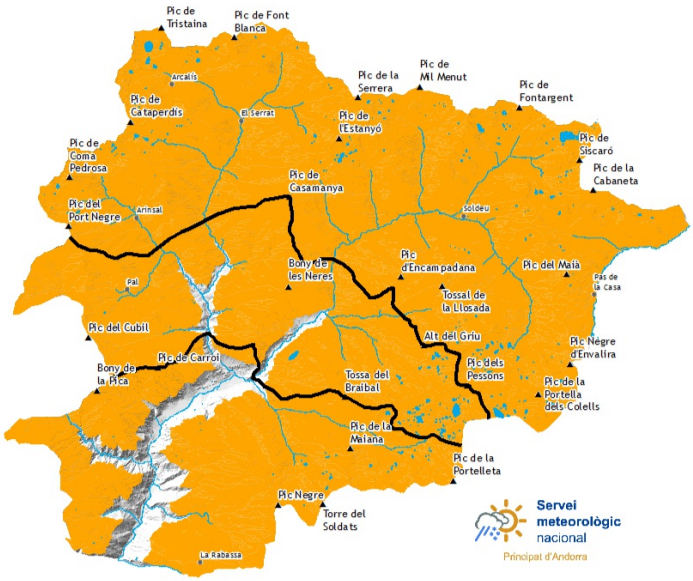

SNOW QUALITY

Temporary increase in danger of moist avalanches as a consequence of the precipitation. Explanation: these may only stand for these avalanches can be released in deep layers of the snowpack and reach large size in some cases. The sometimes strong wind will transport the new snow significantly. Especially in the vicinity of peaks the previously small wind slabs will increase in size from the second half of the night. The avalanche prone locations are numerous and are barely recognisable because of the poor visibility. It is inadvisable to engage in backcountry touring outside marked and open pistes.

STABILITY OF THE SNOW MANTLE

Up to high altitudes rain will fall during the night. The rain will give rise to significant moistening of the snowpack over a wide area in all aspects. Some snow will fall from late morning especially in the north. The surface of the snowpack will freeze to form a strong crust. The wind will be strong in the vicinity of peaks. As a consequence of new snow and strong wind the wind slabs will increase in size.

OFF-PISTE SNOW COVER THICKNESSES

North zone		Snow thickness		
Snowpack		1500m	2000m	2500m
N	1300 m	50 cm	150 cm	200 cm
S	1300 m	30 cm	100 cm	130 cm

Center area		Snow thickness		
Snowpack		1500m	2000m	2500m
N	1300 m	50 cm	150 cm	200 cm
S	1300 m	30 cm	100 cm	130 cm

South zone		Snow thickness		
Snowpack		1500m	2000m	2500m
N	1300 m	50 cm	100 cm	100 cm
S	1300 m	30 cm	70 cm	70 cm

Govern d'Andorra

EAWS
EUROPEAN AVALANCHE WARNING SERVICES

Aquest butlletí ha estat elaborat seguint les normes i recomanacions de l'**European Avalanche Warning Services**, del qual el **Servei meteorològic Nacional** n'és membre

Detailed information for protected areas

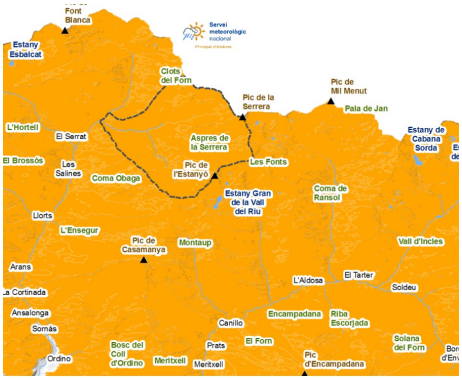

SORTENY

The rain up to high altitudes will moisten the weak layers of the surface part of the mantle, accumulated in the weak snows of the last few days. The forecast of natural wet avalanches should make us take extreme precautions. In the morning, with the decrease of the snow level and the increase of the wind, new plates will form on the slopes with an eastern component. Poor visibility and strong wind make access to the mountain inadvisable.

COMAPEDROSA

The new rains may still cause wet avalanches to come down the channels that cross the roads. In addition, even if there have already been avalanches during the winter that have cleared some slopes, we cannot rule out large avalanches coming down again. Gusts of wind will generate turbidity and make excursions outside the controlled areas inadvisable.

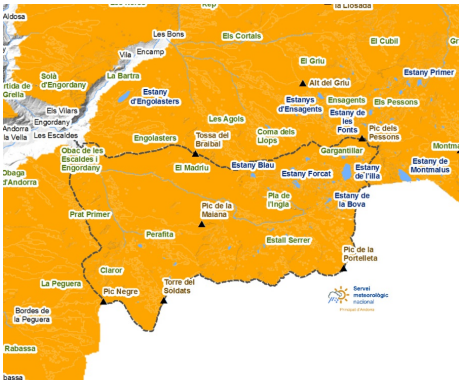

MADRIU-PERAFITA-CLAROR

The rain will cause a melting of the mantle at the lowest levels, making access to the Valley difficult. Soft and soft snow cannot support the weight of a hiker. The wind will create new accumulations on the eastern slopes.

BUTLLETÍ DEL PERILL D'ALLAUS DEL PRINCIPAT D'ANDORRA

Servei meteorològic nacional
Principat d'Andorra

Thick snow in recent days (last 24 hours measured at 06:00 UTC)

	07/02/2026	08/02/2026	09/02/2026	10/02/2026
FEDA (Central)	0 cm	0 cm	0 cm	0 cm
Engolasters - FEDA	0 cm	0 cm	0 cm	0 cm
Bony de les Neres	0 cm	0 cm	11 cm	0 cm
Sorteny	3 cm	2 cm	22 cm	0 cm
Les Fonts d'Arinsal	0 cm	10 cm	15 cm	12 cm
Perafita	0 cm	0 cm	8 cm	0 cm
Tossa Espiolets	0 cm	4 cm	5 cm	0 cm
Grau Roig - FEDA	0 cm	0 cm	13 cm	0 cm
Fontverd	0 cm	0 cm	7 cm	0 cm
Ransol - FEDA	1 cm	0 cm	4 cm	0 cm
Setúria	4 cm	6 cm	12 cm	0 cm
Caborreu	0 cm	0 cm	6 cm	0 cm
Coll Pa	2 cm	3 cm	13 cm	0 cm
Envalira Antenes	0 cm	4 cm	18 cm	0 cm
Vall del Riu FEDA	9 cm	0 cm	7 cm	7 cm