MINISTERO DELLA DIFESA

meteomont Servizio Nazionale di previsione neve e valanghe

EAWS EUROPEAN AVALANCHE WARNING SERVICES

CARABINIERI

In collaborazione con: arpav

DOLOMITI SETTENTRIONALI

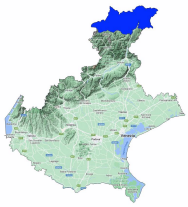

Avalanche Bulletin N. 342/2026 issued at 14:00 on 11/02/2026
48 hours validity. Next issue on 12/02/2026

By the METEOMONT Service of the ARMA dei CARABINIERI ITALY
In collaboration with Air Force Meteorological Service

Situation on 11/02/2026

DANGER PATTERNS: loose snow and wind.

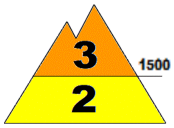

DANGER PATTERNS: rain on snow.

Snow line (m.a.s.l.)	North	South
	800 - 1200	900 - 1500

Snow depth (cm)	ground snow	new snow	Elevation (m.a.s.l.)
	130	02	2022
	36	01	1271

REGISTERED AVALANCHES: Some medium avalanches, Full-depth slab avalanches.

FORECAST 12/02/2026

Danger level: CONSIDERABLE 3

DANGER PATTERNS: loose snow and wind.

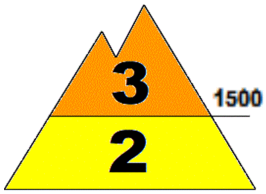



DANGER PATTERNS: rain on snow.

SNOWPACK: Snowpack stability is poor on many points (areas) above 1500 m.a.s.l. All are critical. medium avalanches are possible.
Snowpack stability is poor on some points (areas) below 1500 m.a.s.l. All aspects are critical. Medium avalanches are possible.

WARNING

Due to observed wind activity, avoid accumulation zones, bowls, gullies, irregular slopes and leeward slopes in general.

EUROPEAN AVALANCHE WARNING SERVICE

AVALANCHE PROBLEMS

According to EAWS standards Meteomont bulletin is a synoptic-scale system (regional scale). It shall be the user's responsibility to correlate the danger level evaluation of the bulletin with a detailed and expertise analysis of the zonal hazards (single slope), that could be markedly different. Meteorological forecast are issued at UTC (for Italy: in winter time UTC+1: in summer time UTC+2).

Bulletin is subjected to check processes through: the record of Observers and Avalanches and snow Experts data in C-Sifa; the validation by forecasters; the certification by Meteomont Section.

MINISTERO DELLA DIFESA

meteomont
Servizio Nazionale di previsione neve e valanghe

EAWS EUROPEAN AVALANCHE WARNING SERVICES

CARABINIERI

In collaborazione con: arpav

DOLOMITI SETTENTRIONALI

WEATHER FORECAST FOR

Elevation		12/02/2026 h6:00	12/02/2026 h12:00	12/02/2026 h18:00
1000	Wind	01 Knots from S-East	01 Knots from West	03 Knots from North
	Temperatures	-03 °C	-02 °C	-01 °C
	Wind chill	-3 °C	-2 °C	-3 °C
2000	Wind	02 Knots from S-East	01 Knots from West	07 Knots from North
	Temperatures	-04 °C	-04 °C	-01 °C
	Wind chill	-4 °C	-4 °C	-5 °C
3000	Wind	08 Knots from S-West	03 Knots from West	22 Knots from N-West
	Temperatures	-08 °C	-08 °C	-08 °C
	Wind chill	-14 °C	-11 °C	-18 °C
Freezing level		1100-1300 m.	1500-1700 m.	1500-1700 m.
Atmospheric phenomenon		—	—	—
Keys to sky condition				

KEYS TO ATMOSPHERIC PHENOMENON

— Absence of adverse weather phenomena
Fog
Mist
Light rain
Moderate rain
Heavy rain
Thunderstorm
Weak snowfall
Moderate snowfall
Heavy snowfall

KEYS TO SKY CONDITION

Clear
Partly cloudy
Cloudy
Mostly cloudy
Overcast

Weather and snow data recorded during field and out of field obsevations on 11/02/2026.

Observation field	District	Elevation (m.a.s.l.)	Snow depth (cm)	Snowfall in previous 24 hours (cm)	Temp. Min (°C)	Temp. Max (°C)	General weather conditions
MISURINA	Auronzo di Cadore (BL)	1759	61	1	-8	+7	Continuous light snow
MONTE AGUDO	Auronzo di Cadore (BL)	1530	68	1	-5	0	Intermittent light snow
MONTE FALORIA	Cortina d'Ampezzo (BL)	2119	76	6	-6	+8	Fog with visible sky
COL DELLA TENDA	Comelico Superiore (BL)	1930	85	2	-4	+3	Absence of rain or other precipitation
CROCE DI RAZZO *	Vigo di Cadore (BL)	2022	130	2	N.P.	N.P.	Continuous light snow
LAGAZUOI *	Cortina d'Ampezzo (BL)	2725	117	5	N.P.	N.P.	Absence of rain or other precipitation

(*) Out of field survey

INFORMATION MEANS PREVENTION - SCAN QRCODE TO KNOW DAILY AVALANCHE DANGER LEVEL!

IL CAPO DEL CENTRO NAZIONALE METEOMONT
(Ten. Col. RFI Emanuela Gini)
FIRMA AUTOGRAFA OMESSA AI SENSI
DELL'ART.3 DEL D.LGS N.39/1993

According to EAWS standards Meteomont bulletin is a synoptic-scale system (regional scale). It shall be the user's responsibility to correlate the danger level evaluation of the bulletin with a detailed and expertise analysis of the zonal hazards (single slope), that could be markedly different. Meteorological forecast are issued at UTC (for Italy: in winter time UTC+1: in summer time UTC+2).

Bulletin is subjected to check processes through: the record of Observers and Avalanches and snow Experts data in C-Sifa; the validation by forecasters; the certification by Meteomont Section.