MINISTERO DELLA DIFESA

meteomont Servizio Nazionale di previsione neve e valanghe

EAWS EUROPEAN AVALANCHE WARNING SERVICES

CARABINIERI

In collaborazione con: arpav

# DOLOMITI SETTENTRIONALI

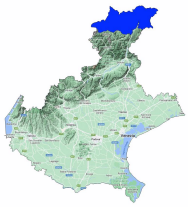

Avalanche Bulletin N. 342/2026 issued at 14:00 on 11/02/2026
48 hours validity. Next issue on 12/02/2026

**By the METEOMONT Service of the ARMA dei CARABINIERI ITALY**
**In collaboration with Air Force Meteorological Service**

## Situation on 11/02/2026

**DANGER PATTERNS: loose snow and wind.**

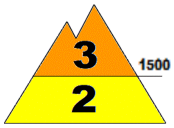

**DANGER PATTERNS: rain on snow.**

| Snow line (m.a.s.l.) | North | South |
|---|---|---|
| | 800 - 1200 | 900 - 1500 |

| Snow depth (cm) | ground snow | new snow | Elevation (m.a.s.l.) |
|---|---|---|---|
| | 130 | 02 | 2022 |
| | 36 | 01 | 1271 |

**REGISTERED AVALANCHES: Some medium avalanches, Full-depth slab avalanches.**

## FORECAST 12/02/2026

# Danger level: CONSIDERABLE 3

## DANGER PATTERNS: loose snow and wind.

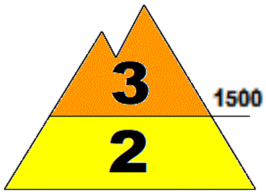





## DANGER PATTERNS: rain on snow.

**SNOWPACK: Snowpack stability is poor on many points (areas) above 1500 m.a.s.l. All are critical. medium avalanches are possible.**
**Snowpack stability is poor on some points (areas) below 1500 m.a.s.l. All aspects are critical. Medium avalanches are possible.**

## WARNING

Due to observed wind activity, avoid accumulation zones, bowls, gullies, irregular slopes and leeward slopes in general.

## EUROPEAN AVALANCHE WARNING SERVICE

## AVALANCHE PROBLEMS

According to EAWS standards Meteomont bulletin is a synoptic-scale system (regional scale). It shall be the user's responsibility to correlate the danger level evaluation of the bulletin with a detailed and expertise analysis of the zonal hazards (single slope), that could be markedly different. Meteorological forecast are issued at UTC (for Italy: in winter time UTC+1: in summer time UTC+2).

Bulletin is subjected to check processes through: the record of Observers and Avalanches and snow Experts data in C-Sifa; the validation by forecasters; the certification by Meteomont Section.

MINISTERO DELLA DIFESA

meteomont
Servizio Nazionale di previsione neve e valanghe

EAWS EUROPEAN AVALANCHE WARNING SERVICES

CARABINIERI

In collaborazione con: arpav

# DOLOMITI SETTENTRIONALI

## WEATHER FORECAST FOR

| Elevation | | 12/02/2026 h6:00 | 12/02/2026 h12:00 | 12/02/2026 h18:00 |
|---|---|---|---|---|
| 1000 | Wind | 01 Knots from S-East | 01 Knots from West | 03 Knots from North |
| | Temperatures | -03 °C | -02 °C | -01 °C |
| | Wind chill | -3 °C | -2 °C | -3 °C |
| 2000 | Wind | 02 Knots from S-East | 01 Knots from West | 07 Knots from North |
| | Temperatures | -04 °C | -04 °C | -01 °C |
| | Wind chill | -4 °C | -4 °C | -5 °C |
| 3000 | Wind | 08 Knots from S-West | 03 Knots from West | 22 Knots from N-West |
| | Temperatures | -08 °C | -08 °C | -08 °C |
| | Wind chill | -14 °C | -11 °C | -18 °C |
| Freezing level | | 1100-1300 m. | 1500-1700 m. | 1500-1700 m. |
| Atmospheric phenomenon | | — | — | — |
| Keys to sky condition | | | | |

## KEYS TO ATMOSPHERIC PHENOMENON

— Absence of adverse weather phenomena
Fog
Mist
Light rain
Moderate rain
Heavy rain
Thunderstorm
Weak snowfall
Moderate snowfall
Heavy snowfall

## KEYS TO SKY CONDITION

Clear
Partly cloudy
Cloudy
Mostly cloudy
Overcast

## Weather and snow data recorded during field and out of field obsevations on 11/02/2026.

| Observation field | District | Elevation (m.a.s.l.) | Snow depth (cm) | Snowfall in previous 24 hours (cm) | Temp. Min (°C) | Temp. Max (°C) | General weather conditions |
|---|---|---|---|---|---|---|---|
| MISURINA | Auronzo di Cadore (BL) | 1759 | 61 | 1 | -8 | +7 | Continuous light snow |
| MONTE AGUDO | Auronzo di Cadore (BL) | 1530 | 68 | 1 | -5 | 0 | Intermittent light snow |
| MONTE FALORIA | Cortina d'Ampezzo (BL) | 2119 | 76 | 6 | -6 | +8 | Fog with visible sky |
| COL DELLA TENDA | Comelico Superiore (BL) | 1930 | 85 | 2 | -4 | +3 | Absence of rain or other precipitation |
| CROCE DI RAZZO * | Vigo di Cadore (BL) | 2022 | 130 | 2 | N.P. | N.P. | Continuous light snow |
| LAGAZUOI * | Cortina d'Ampezzo (BL) | 2725 | 117 | 5 | N.P. | N.P. | Absence of rain or other precipitation |

(*) Out of field survey

**INFORMATION MEANS PREVENTION - SCAN QRCODE TO KNOW DAILY AVALANCHE DANGER LEVEL!**

**IL CAPO DEL CENTRO NAZIONALE METEOMONT**
**(Ten. Col. RFI Emanuela Gini)**
**FIRMA AUTOGRAFA OMESSA AI SENSI**
**DELL'ART.3 DEL D.LGS N.39/1993**

According to EAWS standards Meteomont bulletin is a synoptic-scale system (regional scale). It shall be the user's responsibility to correlate the danger level evaluation of the bulletin with a detailed and expertise analysis of the zonal hazards (single slope), that could be markedly different. Meteorological forecast are issued at UTC (for Italy: in winter time UTC+1: in summer time UTC+2).

Bulletin is subjected to check processes through: the record of Observers and Avalanches and snow Experts data in C-Sifa; the validation by forecasters; the certification by Meteomont Section.