MINISTERO DELLA DIFESA

meteomont Servizio Nazionale di previsione neve e valanghe

EAWS EUROPEAN AVALANCHE WARNING SERVICES

CARABINIERI

# GRAN SASSO EST - LAGA EST

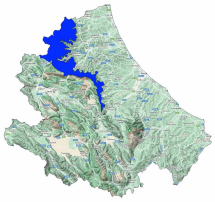

Avalanche Bulletin N. 331/2026 issued at 14:00 on 11/02/2026
48 hours validity. Next issue on 12/02/2026

**By the METEOMONT Service of the ARMA dei CARABINIERI ITALY**
**In collaboration with Air Force Meteorological Service**

## Situation on 11/02/2026

**DANGER PATTERNS: gliding snow.**

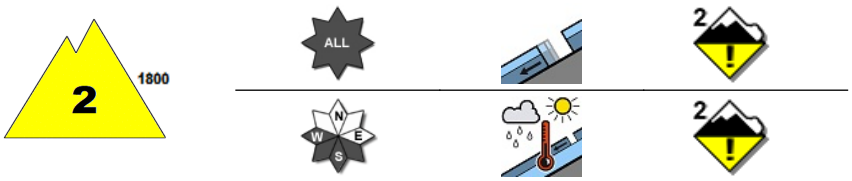


**DANGER PATTERNS: springtime situation.**

| Snow line (m.a.s.l.) | North | South |
|---|---|---|
| | 1400 - 1500 | 1600 - 1800 |

| Snow depth (cm) | ground snow | new snow | Elevation (m.a.s.l.) |
|---|---|---|---|
| | 010 | 000 | 1400 |
| | 000 | 000 | 1016 |

**REGISTERED AVALANCHES: Small avalanches, Gliding avalanches.**

## FORECAST 12/02/2026

## Danger level: MODERATE 2

## DANGER PATTERNS: gliding snow.




## DANGER PATTERNS: springtime situation.

**SNOWPACK: Snowpack stability is moderate on some points (areas) above 1800 m.a.s.l. All aspects are critical. large avalanches are possible.**
**Snowpack stability is moderate on some points (areas) below 1800 m.a.s.l. All Sunny slopes are critical. Medium avalanches are possible.**

## WARNING

Due to severe weather conditions forecast, do not attempt to practice outdoor activities beyond the maintained and marked tracks are not advised.

## EUROPEAN AVALANCHE WARNING SERVICE

## AVALANCHE PROBLEMS

According to EAWS standards Meteomont bulletin is a synoptic-scale system (regional scale). It shall be the user's responsibility to correlate the danger level evaluation of the bulletin with a detailed and expertise analysis of the zonal hazards (single slope), that could be markedly different. Meteorological forecast are issued at UTC (for Italy: in winter time UTC+1: in summer time UTC+2).

Bulletin is subjected to check processes through: the record of Observers and Avalanches and snow Experts data in C-Sifa; the validation by forecasters; the certification by Meteomont Section.

MINISTERO DELLA DIFESA

meteomont
Servizio Nazionale di previsione neve e valanghe

EAWS EUROPEAN AVALANCHE WARNING SERVICES

CARABINIERI

# GRAN SASSO EST - LAGA EST

## WEATHER FORECAST FOR

| Elevation | | 12/02/2026 h6:00 | 12/02/2026 h12:00 | 12/02/2026 h18:00 |
|---|---|---|---|---|
| 1000 | Wind | 05 Knots from S-West | 07 Knots from West | 06 Knots from West |
| | Temperatures | +02 °C | +01 °C | +01 °C |
| | Wind chill | -1 °C | -3 °C | -2 °C |
| 2000 | Wind | 14 Knots from S-West | 16 Knots from West | 15 Knots from West |
| | Temperatures | +00 °C | -03 °C | -02 °C |
| | Wind chill | -6 °C | -10 °C | -9 °C |
| 3000 | Wind | 14 Knots from West | 19 Knots from West | 15 Knots from N-West |
| | Temperatures | -04 °C | -09 °C | -07 °C |
| | Wind chill | -11 °C | -19 °C | -15 °C |
| Freezing level | | 1800-2000 m. | 1500-1700 m. | 1600-1800 m. |
| Atmospheric phenomenon | | | — | — |
| Keys to sky condition | | | | |

## KEYS TO ATMOSPHERIC PHENOMENON

— Absence of adverse weather phenomena
Fog
Mist
Light rain
Moderate rain
Heavy rain
Thunderstorm
Weak snowfall
Moderate snowfall
Heavy snowfall

## KEYS TO SKY CONDITION

Clear
Partly cloudy
Cloudy
Mostly cloudy
Overcast

## Weather and snow data recorded during field and out of field obsevations on 11/02/2026.

| Observation field | District | Elevation (m.a.s.l.) | Snow depth (cm) | Snowfall in previous 24 hours (cm) | Temp. Min (°C) | Temp. Max (°C) | General weather conditions |
|---|---|---|---|---|---|---|---|
| FAVACCHIOLE | Crognaleto (TE) | 1016 | 0 | 0 | +4 | +9 | Absence of rain or other precipitation |
| PRATO SELVA | Fano Adriano (TE) | 1355 | 0 | 0 | +3 | +6 | Intermittent light rain |
| RIGOPIANO | Farindola (PE) | 1135 | 0 | 0 | -1 | +10 | Absence of rain or other precipitation |
| PRATI DI TIVO | Pietracamela (TE) | 1380 | 10 | 0 | 0 | +8 | Absence of rain or other precipitation |
| CEPPO | Rocca Santa Maria (TE) | 1349 | 0 | 0 | +2 | +6 | Intermittent light rain |
| SAN PAOLO | Acquasanta Terme (AP) | 960 | 0 | 0 | +3 | +11 | Absence of rain or other precipitation |
| COLLE SAN GIACOMO | Civitella del Tronto (TE) | 1075 | 0 | 0 | +2 | +10 | Absence of rain or other precipitation |

(*) Out of field survey

**INFORMATION MEANS PREVENTION - SCAN QRCODE TO KNOW DAILY AVALANCHE DANGER LEVEL!**

IL CAPO DEL CENTRO NAZIONALE METEOMONT
(Ten. Col. RFI Emanuela Gini)
FIRMA AUTOGRAFA OMESSA AI SENSI
DELL'ART.3 DEL D.LGS N.39/1993

According to EAWS standards Meteomont bulletin is a synoptic-scale system (regional scale). It shall be the user's responsibility to correlate the danger level evaluation of the bulletin with a detailed and expertise analysis of the zonal hazards (single slope), that could be markedly different. Meteorological forecast are issued at UTC (for Italy: in winter time UTC+1: in summer time UTC+2).

Bulletin is subjected to check processes through: the record of Observers and Avalanches and snow Experts data in C-Sifa; the validation by forecasters; the certification by Meteomont Section.