MINISTERO DELLA DIFESA

meteomont
Servizio Nazionale di previsione neve e valanghe

EAWS EUROPEAN AVALANCHE WARNING SERVICES

CARABINIERI

GRAN SASSO OVEST

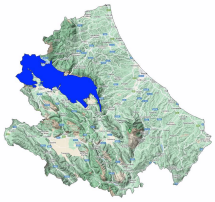

Avalanche Bulletin N. 332/2026 issued at 14:00 on 11/02/2026
48 hours validity. Next issue on 12/02/2026

By the METEOMONT Service of the ARMA dei CARABINIERI ITALY
In collaboration with Air Force Meteorological Service

Situation on 11/02/2026

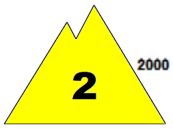

DANGER PATTERNS: loose snow and wind.



DANGER PATTERNS: springtime situation.

Snow line (m.a.s.l.)	North	South
	1500 - 1600	1700 - 1800

Snow depth (cm)	ground snow	new snow	Elevation (m.a.s.l.)
	124	000	2135
	000	000	1400

REGISTERED AVALANCHES: Small avalanches, Full-depth loose snow avalanches.

FORECAST 12/02/2026

Danger level: MODERATE 2

DANGER PATTERNS: loose snow and wind.

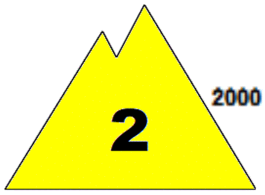



DANGER PATTERNS: rain on snow.

SNOWPACK: Snowpack stability is poor on some points (areas) above 2000 m.a.s.l. All Northeast-facing slopes are critical. large avalanches are possible.
Snowpack stability is moderate on some points (areas) below 2000 m.a.s.l. All Sunny slopes are critical. Medium avalanches are possible.

WARNING

Due to severe weather conditions forecast, do not attempt to practice outdoor activities beyond the maintained and marked tracks are not advised.

EUROPEAN AVALANCHE WARNING SERVICE

5 - VERY HIGH | 4 - HIGH | 3 - CONSIDERABLE | 2 - MODERATE | 1 - LOW | NO SNOW | NO INFO

AVALANCHE PROBLEMS

NEW SNOW | WIND - DRIFTED SNOW | PERSISTENT WEAK LAYERS | WET SNOW | GLIDING SNOW | SNOW CORNICES | NO EVIDENT AVALANCHE PROBLEM. | NO INFO

According to EAWS standards Meteomont bulletin is a synoptic-scale system (regional scale). It shall be the user's responsibility to correlate the danger level evaluation of the bulletin with a detailed and expertise analysis of the zonal hazards (single slope), that could be markedly different. Meteorological forecast are issued at UTC (for Italy: in winter time UTC+1: in summer time UTC+2).

Bulletin is subjected to check processes through: the record of Observers and Avalanches and snow Experts data in C-Sifa; the validation by forecasters; the certification by Meteomont Section.

MINISTERO DELLA DIFESA

meteomont
Servizio Nazionale di previsione neve e valanghe

EAWS EUROPEAN AVALANCHE WARNING SERVICES

CARABINIERI

GRAN SASSO OVEST

WEATHER FORECAST FOR

Elevation		12/02/2026 h6:00	12/02/2026 h12:00	12/02/2026 h18:00
1000	Wind	03 Knots from West	06 Knots from West	04 Knots from West
	Temperatures	+02 °C	+02 °C	+02 °C
	Wind chill	0 °C	-1 °C	-0 °C
2000	Wind	11 Knots from West	15 Knots from West	15 Knots from N-West
	Temperatures	-01 °C	-03 °C	-02 °C
	Wind chill	-7 °C	-10 °C	-9 °C
3000	Wind	15 Knots from West	19 Knots from West	15 Knots from N-West
	Temperatures	-05 °C	-08 °C	-06 °C
	Wind chill	-13 °C	-18 °C	-14 °C
Freezing level		1700-1900 m.	1600-1800 m.	1600-1800 m.
Atmospheric phenomenon			—	—
Keys to sky condition				

KEYS TO ATMOSPHERIC PHENOMENON

Absence of adverse weather phenomena — Fog — Mist — Light rain — Moderate rain — Heavy rain — Thunderstorm

Weak snowfall — Moderate snowfall — Heavy snowfall

KEYS TO SKY CONDITION

Clear — Partly cloudy — Cloudy — Mostly cloudy — Overcast

Weather and snow data recorded during field and out of field obsevations on 11/02/2026.

Observation field	District	Elevation (m.a.s.l.)	Snow depth (cm)	Snowfall in previous 24 hours (cm)	Temp. Min (°C)	Temp. Max (°C)	General weather conditions
COLLE RUTO	Campotosto (AQ)	1384	0	N.P.	+2	+6	Absence of rain or other precipitation
S. DONATO	Castel del Monte (AQ)	1400	0	0	+2	+8	Absence of rain or other precipitation
CAMPO IMPERATORE	L'Aquila (AQ)	2135	124	0	-3	0	Absence of rain or other precipitation
MONTE CORVO *	L'Aquila (AQ)	2038	145	8	N.P.	N.P.	Absence of rain or other precipitation

(*) Out of field survey

INFORMATION MEANS PREVENTION - SCAN QRCODE TO KNOW DAILY AVALANCHE DANGER LEVEL!

IL CAPO DEL CENTRO NAZIONALE METEOMONT
(Ten. Col. RFI Emanuela Gini)
FIRMA AUTOGRAFA OMESSA AI SENSI
DELL'ART.3 DEL D.LGS N.39/1993

According to EAWS standards Meteomont bulletin is a synoptic-scale system (regional scale). It shall be the user's responsibility to correlate the danger level evaluation of the bulletin with a detailed and expertise analysis of the zonal hazards (single slope), that could be markedly different. Meteorological forecast are issued at UTC (for Italy: in winter time UTC+1: in summer time UTC+2).

Bulletin is subjected to check processes through: the record of Observers and Avalanches and snow Experts data in C-Sifa; the validation by forecasters; the certification by Meteomont Section.