MINISTERO DELLA DIFESA

meteomont
Servizio Nazionale di previsione neve e valanghe

EAWS EUROPEAN AVALANCHE WARNING SERVICES

CARABINIERI

MONTI SIMBRUINI E META

Avalanche Bulletin N. 277/2026 issued at 14:00 on 11/02/2026
48 hours validity. Next issue on 12/02/2026

By the METEOMONT Service of the ARMA dei CARABINIERI ITALY
In collaboration with Air Force Meteorological Service

Situation on 11/02/2026

DANGER PATTERNS: buried graupel.

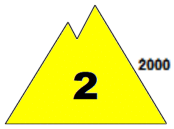



DANGER PATTERNS: gliding snow.

Snow line (m.a.s.l.)	North	South
	1500 - 1600	1500 - 1700

Snow depth (cm)	ground snow	new snow	Elevation (m.a.s.l.)
	082	neve mista a	1790
	028	000	1550

REGISTERED AVALANCHES: No avalanches detected.

FORECAST 12/02/2026

Danger level: MODERATE 2

DANGER PATTERNS: loose snow and wind.

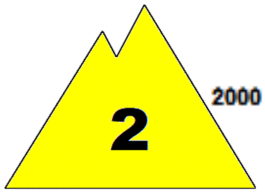

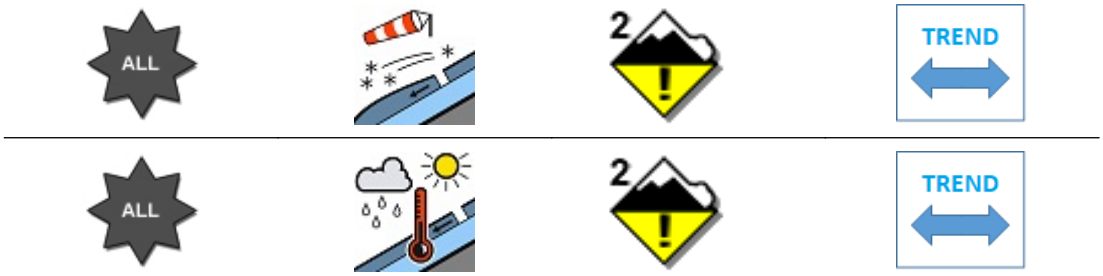

DANGER PATTERNS: rain on snow.

SNOWPACK: Snowpack stability is poor on some points (areas) above 2000 m.a.s.l. All aspects are critical. medium avalanches are possible.
Snowpack stability is poor on some points (areas) below 2000 m.a.s.l. All aspects are critical. Medium avalanches are possible.

WARNING

Due to current severe weather conditions, outdoor activities beyond the maintained and marked tracks are restricted. If practiced, expertise in the evaluation of local danger points is required.

EUROPEAN AVALANCHE WARNING SERVICE

AVALANCHE PROBLEMS

According to EAWS standards Meteomont bulletin is a synoptic-scale system (regional scale). It shall be the user's responsibility to correlate the danger level evaluation of the bulletin with a detailed and expertise analysis of the zonal hazards (single slope), that could be markedly different. Meteorological forecast are issued at UTC (for Italy: in winter time UTC+1: in summer time UTC+2).

Bulletin is subjected to check processes through: the record of Observers and Avalanches and snow Experts data in C-Sifa; the validation by forecasters; the certification by Meteomont Section.

MONTI SIMBRUINI E META

WEATHER FORECAST FOR

Elevation		12/02/2026 h6:00	12/02/2026 h12:00	12/02/2026 h18:00
1000	Wind	03 Knots from South	05 Knots from West	05 Knots from N-West
	Temperatures	+03 °C	+02 °C	+02 °C
	Wind chill	2 °C	-1 °C	-1 °C
2000	Wind	10 Knots from S-West	16 Knots from West	20 Knots from N-West
	Temperatures	+00 °C	-03 °C	-02 °C
	Wind chill	-5 °C	-10 °C	-10 °C
3000	Wind	20 Knots from West	18 Knots from West	18 Knots from N-West
	Temperatures	-04 °C	-08 °C	-07 °C
	Wind chill	-12 °C	-17 °C	-16 °C
Freezing level		2000-2200 m.	1600-1800 m.	1400-1600 m.
Atmospheric phenomenon			—	—
Keys to sky condition				

KEYS TO ATMOSPHERIC PHENOMENON

— Absence of adverse weather phenomena
Fog
Mist
Light rain
Moderate rain
Heavy rain
Thunderstorm
Weak snowfall
Moderate snowfall
Heavy snowfall

KEYS TO SKY CONDITION

Clear
Partly cloudy
Cloudy
Mostly cloudy
Overcast

Weather and snow data recorded during field and out of field obsevations on 11/02/2026.

Observation field	District	Elevation (m.a.s.l.)	Snow depth (cm)	Snowfall in previous 24 hours (cm)	Temp. Min (°C)	Temp. Max (°C)	General weather conditions
PRATI DI MEZZO	Picinisco (FR)	1430	7	Rain and no snow	+1	+3	Light rain
CAMPO DELL'OSSO	Subiaco (RM)	1550	28	0	+1	+3	Moderate rain
C.STAFFI	Filettino (FR)	1780	68	2	-2	0	Heavy or moderate rain and snow or drizzle
CAMPO CATINO	Guarcino (FR)	1790	82	2 cm of fresh snow mixed with rain	-2	+1	Snow rain shower

(*) Out of field survey

INFORMATION MEANS PREVENTION - SCAN QRCODE TO KNOW DAILY AVALANCHE DANGER LEVEL!

IL CAPO DEL CENTRO NAZIONALE METEOMONT
(Ten. Col. RFI Emanuela Gini)
FIRMA AUTOGRAFA OMESSA AI SENSI
DELL'ART.3 DEL D.LGS N.39/1993

According to EAWS standards Meteomont bulletin is a synoptic-scale system (regional scale). It shall be the user's responsibility to correlate the danger level evaluation of the bulletin with a detailed and expertise analysis of the zonal hazards (single slope), that could be markedly different. Meteorological forecast are issued at UTC (for Italy: in winter time UTC+1: in summer time UTC+2).

Bulletin is subjected to check processes through: the record of Observers and Avalanches and snow Experts data in C-Sifa; the validation by forecasters; the certification by Meteomont Section.