MINISTERO DELLA DIFESA

meteomont Servizio Nazionale di previsione neve e valanghe

EAWS EUROPEAN AVALANCHE WARNING SERVICES

CARABINIERI

APPENNINO LUCANO

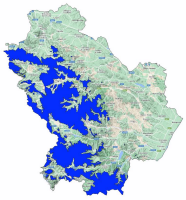

Avalanche Bulletin N. 240/2026 issued at 14:00 on 11/02/2026
48 hours validity. Next issue on 12/02/2026

By the METEOMONT Service of the ARMA dei CARABINIERI ITALY
In collaboration with Air Force Meteorological Service

Situation on 11/02/2026

DANGER PATTERNS: rain on snow.

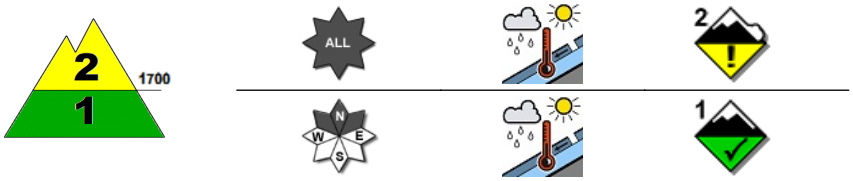

DANGER PATTERNS: rain on snow.

Snow line (m.a.s.l.)	North	South
	1400 - 1700	1500 - 1800

Snow depth (cm)	ground snow	new snow	Elevation (m.a.s.l.)
	012	000	1532
	000	000	1380

REGISTERED AVALANCHES: No avalanches detected.

FORECAST 12/02/2026

Danger level: MODERATE 2

DANGER PATTERNS: rain on snow.

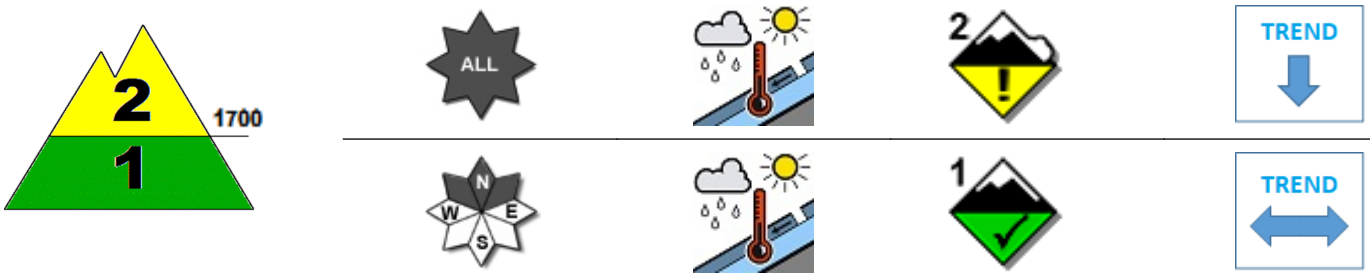

DANGER PATTERNS: rain on snow.

SNOWPACK: Snowpack stability is moderate on some points (areas) above 1700 m.a.s.l. All aspects are critical. medium avalanches are possible.
Snowpack stability is good on many points (areas) below 1700 m.a.s.l. All North-facing slopes are critical. Small avalanches are possible.

WARNING

Due to current severe weather conditions and reduced visibility,route choice and evaluation will become difficult.

EUROPEAN AVALANCHE WARNING SERVICE

AVALANCHE PROBLEMS

According to EAWS standards Meteomont bulletin is a synoptic-scale system (regional scale). It shall be the user's responsibility to correlate the danger level evaluation of the bulletin with a detailed and expertise analysis of the zonal hazards (single slope), that could be markedly different. Meteorological forecast are issued at UTC (for Italy: in winter time UTC+1: in summer time UTC+2).

Bulletin is subjected to check processes through: the record of Observers and Avalanches and snow Experts data in C-Sifa; the validation by forecasters; the certification by Meteomont Section.

APPENNINO LUCANO

WEATHER FORECAST FOR

Elevation		12/02/2026 h6:00	12/02/2026 h12:00	12/02/2026 h18:00
1000	Wind	07 Knots from S-West	20 Knots from N-West	14 Knots from N-West
	Temperatures	+06 °C	+06 °C	+05 °C
	Wind chill	3 °C	1 °C	0 °C
2000	Wind	11 Knots from S-West	24 Knots from N-West	18 Knots from N-West
	Temperatures	+00 °C	-02 °C	-01 °C
	Wind chill	-5 °C	-10 °C	-8 °C
3000	Wind	19 Knots from West	26 Knots from West	18 Knots from N-West
	Temperatures	-03 °C	-08 °C	-07 °C
	Wind chill	-11 °C	-19 °C	-16 °C
Freezing level		1900-2100 m.	1600-1800 m.	1600-1800 m.
Atmospheric phenomenon				
Keys to sky condition				

KEYS TO ATMOSPHERIC PHENOMENON

Absence of adverse weather phenomena · Fog · Mist · Light rain · Moderate rain · Heavy rain · Thunderstorm · Weak snowfall · Moderate snowfall · Heavy snowfall

KEYS TO SKY CONDITION

Clear · Partly cloudy · Cloudy · Mostly cloudy · Overcast

Weather and snow data recorded during field and out of field obsevations on 11/02/2026.

Observation field	District	Elevation (m.a.s.l.)	Snow depth (cm)	Snowfall in previous 24 hours (cm)	Temp. Min (°C)	Temp. Max (°C)	General weather conditions
LAUDEMIO	Lagonegro (PZ)	1532	12	0	0	+4	Light rain
PIANO IMPERATORE	Marsicovetere (PZ)	1560	0	0	+2	+5	Light rain
PEDARRETO	Rotonda (PZ)	1380	0	0	+3	+6	Moderate rain
NIELLA *	Lagonegro (PZ)	1634	0	0	N.P.	N.P.	Moderate rain

(*) Out of field survey

INFORMATION MEANS PREVENTION - SCAN QRCODE TO KNOW DAILY AVALANCHE DANGER LEVEL!

IL CAPO DEL CENTRO NAZIONALE METEOMONT
(Ten. Col. RFI Emanuela Gini)
FIRMA AUTOGRAFA OMESSA AI SENSI
DELL'ART.3 DEL D.LGS N.39/1993

According to EAWS standards Meteomont bulletin is a synoptic-scale system (regional scale). It shall be the user's responsibility to correlate the danger level evaluation of the bulletin with a detailed and expertise analysis of the zonal hazards (single slope), that could be markedly different. Meteorological forecast are issued at UTC (for Italy: in winter time UTC+1: in summer time UTC+2).

Bulletin is subjected to check processes through: the record of Observers and Avalanches and snow Experts data in C-Sifa; the validation by forecasters; the certification by Meteomont Section.