aineva.it

Friday 13.02.2026

Published 12 02 2026, 17:00

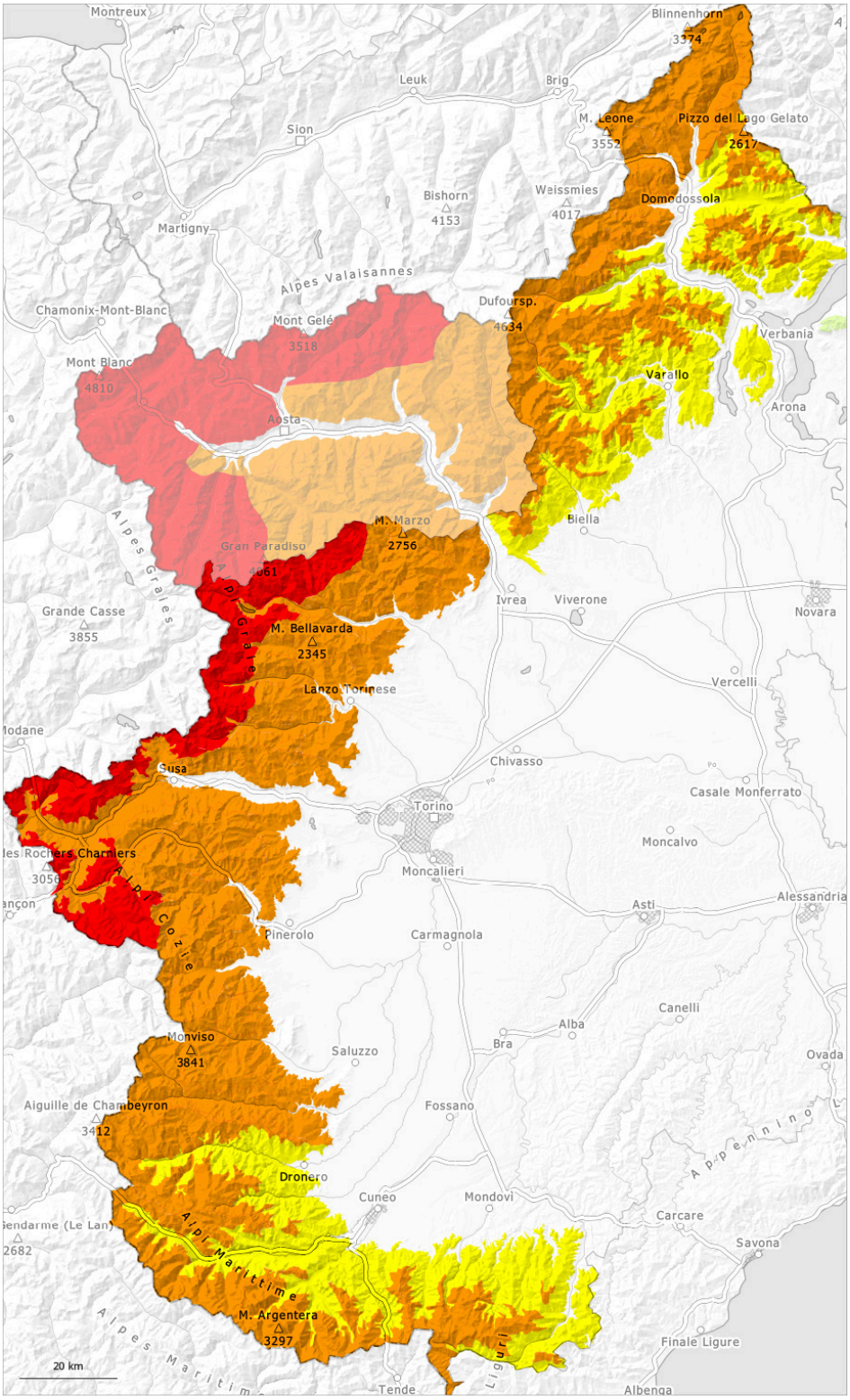

1	2	3	4	5
low	moderate	considerable	high	very high

Danger Level 4 - High

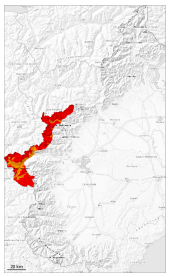

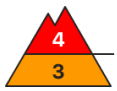

Treeline

Tendency: Decreasing avalanche danger
on Saturday 14 02 2026

Wind slab

Treeline

New snow

Treeline

New snow and wind slabs: From starting zones at higher altitudes large natural avalanches must be expected.

As a consequence of new snow and stormy weather the wind slabs have increased in size substantially. This applies in particular in gullies and bowls, and behind abrupt changes in the terrain, as well as at a distance from ridgelines above the tree line. Along the border with France the avalanche prone locations are more prevalent and larger.

New snow and wind slabs can in many places be released easily and reach large size. Additionally avalanches can also release deeper layers of the snowpack and reach very large size. Exposed parts of transportation routes can be endangered in some localities in this instance.

Snowpack

Danger patterns dp.6: cold, loose snow and wind

15 to 25 cm of snow fell on Wednesday above approximately 1800 m. 15 to 30 cm of snow, and even more in some localities, fell on Thursday above approximately 2000 m. As a consequence of new snow and a moderate to strong wind from northwesterly directions, further wind slabs formed in particular above the tree line. The new snow and wind slabs are lying on soft layers on wind-protected shady slopes.

Intermediate and high altitudes: Large-grained weak layers exist in the bottom section of the old snowpack in particular on shady slopes.
Some snow will fall from the afternoon.

Tendency

With the end of the precipitation, the natural avalanche activity will gradually decrease. Along the border with France and on wind-loaded slopes the likelihood of avalanches is high. The avalanches can occur in particular in starting zones where no previous releases have taken place.

Danger Level 3 - Considerable

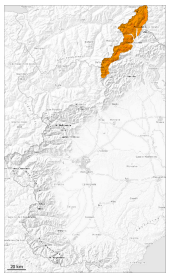

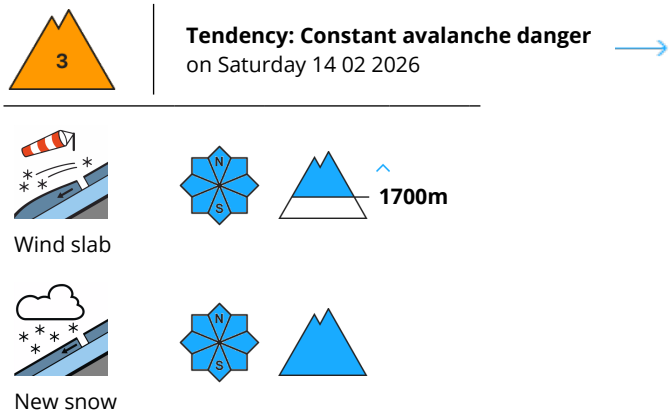

New snow and wind slabs represent the main danger. This applies in particular in the regions exposed to heavier precipitation.

As a consequence of new snow and a strong wind from northwesterly directions, wind slabs formed over a wide area. This applies in particular in gullies and bowls, and behind abrupt changes in the terrain especially above the tree line.

New snow and wind slabs can be released, even by a single winter sport participant and reach large size.

Additionally avalanches can also be released in deep layers and reach very large size in isolated cases in particular on shady slopes.
Meticulous route selection is required. Maintaining distances between individuals and one-at-a-time descents are recommended.

Snowpack

Danger patterns dp.6: cold, loose snow and wind

10 to 20 cm of snow fell on Wednesday above approximately 1500 m. Over a wide area 10 to 20 cm of snow fell on Thursday above approximately 1800 m. As a consequence of new snow and a moderate to strong wind from northwesterly directions, further wind slabs formed in particular above the tree line. The new snow and wind slabs are lying on soft layers on wind-protected shady slopes.

Intermediate and high altitudes: Large-grained weak layers exist in the bottom section of the snowpack in particular on shady slopes.
High altitudes and the high Alpine regions: The sometimes strong wind has transported the fresh and old snow significantly. Some snow will fall from the afternoon.

Danger Level 3 - Considerable

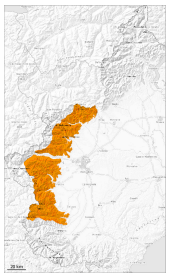

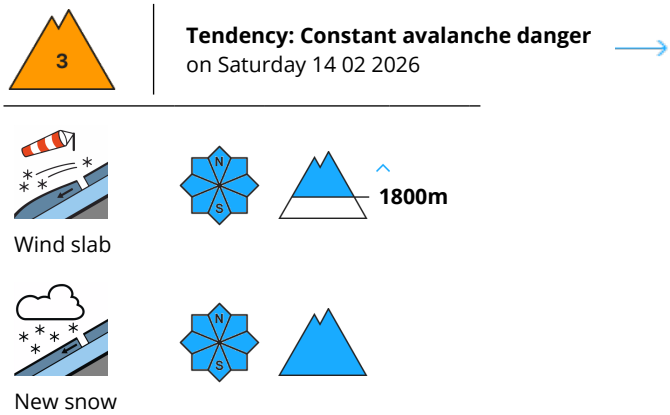

New snow and wind slabs represent the main danger. In the regions neighbouring those that are subject to danger level 4 (high) the avalanche prone locations are more prevalent.

The fresh snow as well as the wind slabs must be evaluated with care and prudence in all aspects above approximately 1800 m. The avalanche prone locations are to be found especially in gullies and bowls, and behind abrupt changes in the terrain and on wind-loaded slopes.
At elevated altitudes these avalanche prone locations are more prevalent.

New snow and wind slabs can be released, even by a single winter sport participant or triggered naturally. Additionally avalanches can also be triggered in the old snowpack and reach large size.

Careful route selection and spacing between individuals are recommended.

Snowpack

Danger patterns dp.6: cold, loose snow and wind

5 to 15 cm of snow fell on Wednesday above approximately 1800 m. 5 to 10 cm of snow, and even more in some localities, fell on Thursday above approximately 2000 m.
The sometimes storm force wind has transported the new snow significantly. The wind slabs are lying on soft layers in particular on shady slopes.

The unusual weather conditions will give rise to unfavourable bonding of the snowpack.
Intermediate and high altitudes: Large-grained weak layers exist in the bottom section of the snowpack in particular on shady slopes.
Above approximately 1200 m snow will fall from the afternoon.

Danger Level 3 - Considerable

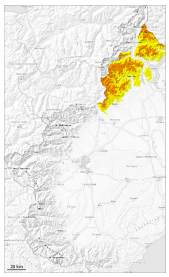

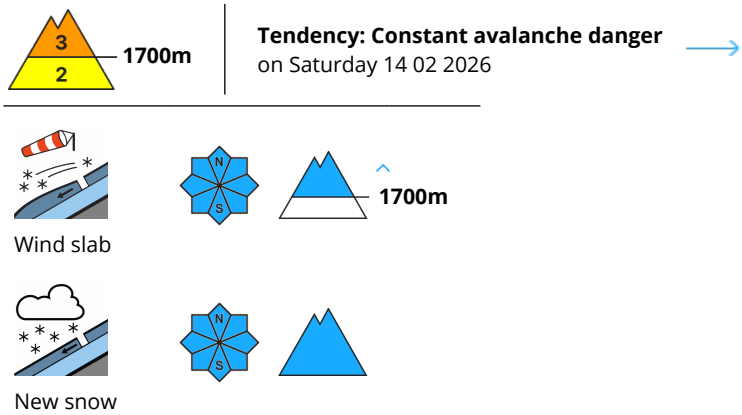

New snow and wind slabs represent the main danger. At elevated altitudes a considerable avalanche danger will prevail.

The fresh snow as well as the wind slabs must be evaluated with care and prudence in all aspects above approximately 1700 m. The avalanche prone locations are to be found especially adjacent to ridgelines and in gullies and bowls and on steep slopes.
At elevated altitudes these avalanche prone locations are more prevalent.

New snow and wind slabs can be released, even by a single winter sport participant or triggered naturally. Additionally avalanches can also be triggered in the old snowpack and reach large size.

Careful route selection and spacing between individuals are recommended.

Snowpack

Danger patterns dp.6: cold, loose snow and wind

Over a wide area 10 to 20 cm of snow fell on Wednesday above approximately 1800 m. 5 to 10 cm of snow fell on Thursday. The strong wind has transported the new snow and, in some cases, old snow as well. The wind slabs are lying on soft layers in particular on shady slopes.

Individual weak layers exist in the bottom section of the snowpack on shady slopes. This applies in particular at elevated altitudes. Some snow will fall from the afternoon.

Danger Level 3 - Considerable

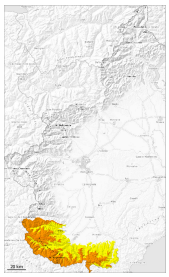

1800m

Tendency: Increasing avalanche danger
on Saturday 14 02 2026

Wind slab

1800m

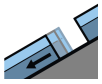

Gliding snow

The wind slabs remain for the foreseeable future prone to triggering at intermediate and high altitudes. Along the border with France the avalanche prone locations are more prevalent.

More recent wind slabs can be released by a single winter sport participant in all aspects and generally at elevated altitudes. This applies in particular on steep slopes, and adjacent to ridgelines and in gullies and bowls.
The avalanches can be released in the new snow and wind slab layers and reach large size. Individual gliding avalanches can also occur. This applies in particular on steep south and west facing slopes below approximately 2200 m on grassy slopes.

Careful route selection and spacing between individuals are recommended.

Snowpack

Danger patterns dp.6: cold, loose snow and wind | dp.2: gliding snow

As a consequence of high temperatures and rain up to intermediate altitudes the snowpack could not consolidate during the last few days. The sometimes strong wind has transported some snow.
The unusual weather conditions gave rise to unfavourable bonding of the snowpack.
Above approximately 1500 m a lot of snow is lying.