BUTLLETÍ DEL PERILL D'ALLAUS DEL PRINCIPAT D'ANDORRA

Servei meteorològic nacional
Principat d'Andorra

Prepared on 12/02/2026 16:00
Next update 13/02/2026 at 16 am

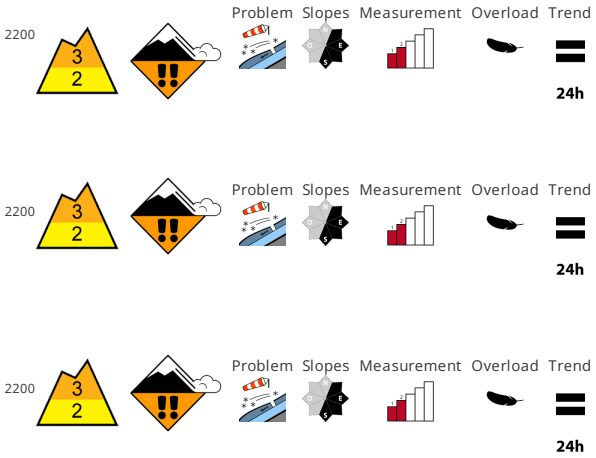

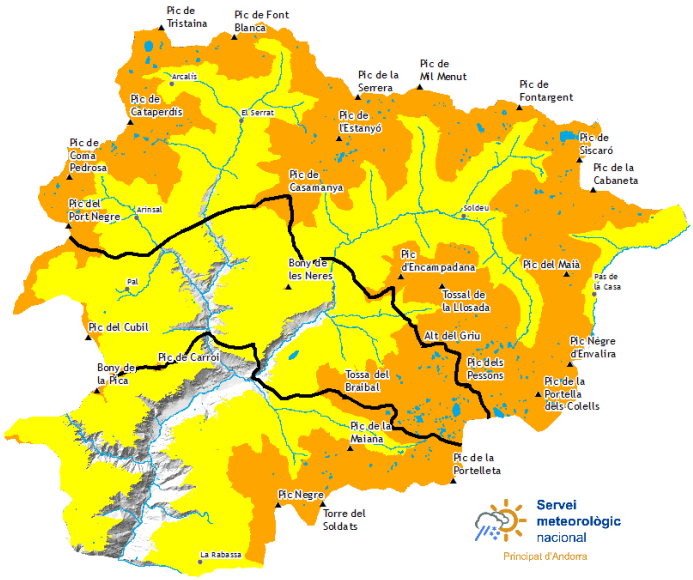

SNOW QUALITY

The sometimes strong wind will transport the new snow significantly. Especially in the vicinity of peaks the previously small wind slabs will increase in size. Small to medium-sized natural avalanches are possible on near-ridge northeast, east and southeast facing slopes. Low and intermediate altitudes :. Even in moderately steep terrain there is a danger of falling on the hard snow surface. Backcountry touring and other off-piste activities call for experience in the assessment of avalanche danger and careful route selection. Maintaining distances between individuals is recommended. The avalanche prone locations are barely recognisable because of the poor visibility.

STABILITY OF THE SNOW MANTLE

On Thursday the wind was strong to storm force over a wide area. Above approximately 1300 m snow will fall during the night. High altitudes and northeast, east and southeast facing slopes :. As a consequence of new snow and wind the wind slabs will increase in size. Low altitudes :. The surface of the snowpack will freeze to form a strong crust.

OFF-PISTE SNOW COVER THICKNESSES

North zone		Snow thickness		
Snowpack		1500m	2000m	2500m
N	1300 m	50 cm	150 cm	200 cm
S	1400 m	30 cm	100 cm	150 cm

Center area		Snow thickness		
Snowpack		1500m	2000m	2500m
N	1300 m	30 cm	150 cm	200 cm
S	1400 m	10 cm	100 cm	150 cm

South zone		Snow thickness		
Snowpack		1500m	2000m	2500m
N	1300 m	30 cm	120 cm	150 cm
S	1400 m	10 cm	60 cm	100 cm

Govern d'Andorra

EAWS
EUROPEAN AVALANCHE WARNING SERVICES

Aquest butlletí ha estat elaborat seguint les normes i recomanacions de l'**European Avalanche Warning Services**, del qual el **Servei meteorològic Nacional** n'és membre

Detailed information for protected areas

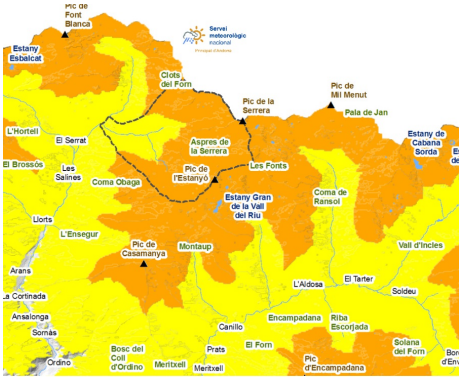

SORTENY

With the snow level falling and the wind still moderate the wind plates will increase in size. We will have to be wary of places with an east component, since they can hide wind plates. Because of this wind, the surface of the snow has very different textures.

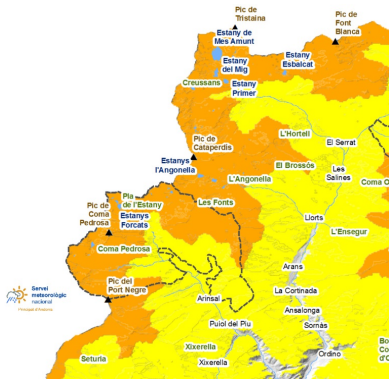

COMAPEDROSA

On top of the hard snow, wind plates have formed that can be sensitive to overloads on the eastern slopes. At lower altitudes, near Arinsal, the snow is more frozen.

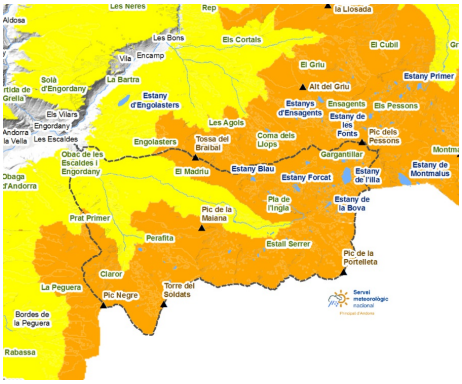

MADRIU-PERAFITA-CLAROR

Wet snow on the valley floor will freeze and increase the danger of slipping, even on moderately sloped terrain. As throughout the country, near the peaks the wind will create new accumulations on the east-facing slopes.

BUTLLETÍ DEL PERILL D'ALLAUS DEL PRINCIPAT D'ANDORRA

Servei meteorològic nacional
Principat d'Andorra

Thick snow in recent days (last 24 hours measured at 06:00 UTC)

	08/02/2026	09/02/2026	10/02/2026	11/02/2026
FEDA (Central)	0 cm	0 cm	0 cm	0 cm
Engolasters - FEDA	0 cm	0 cm	0 cm	0 cm
Bony de les Neres	0 cm	11 cm	0 cm	0 cm
Sorteny	2 cm	22 cm	0 cm	17 cm
Les Fonts d'Arinsal	10 cm	15 cm	12 cm	9 cm
Perafita	0 cm	8 cm	0 cm	0 cm
Tossa Espiolets	4 cm	5 cm	0 cm	0 cm
Grau Roig - FEDA	0 cm	13 cm	0 cm	9 cm
Fontverd	0 cm	7 cm	0 cm	0 cm
Ransol - FEDA	0 cm	4 cm	0 cm	0 cm
Setúria	6 cm	12 cm	0 cm	0 cm
Caborreu	0 cm	6 cm	0 cm	9 cm
Envalira Antenes	4 cm	18 cm	0 cm	0 cm
Vall del Riu FEDA	0 cm	7 cm	7 cm	0 cm