MINISTERO DELLA DIFESA

meteomont
Servizio Nazionale di previsione neve e valanghe

EAWS EUROPEAN AVALANCHE WARNING SERVICES

CARABINIERI

PREALPI LOMBARDE

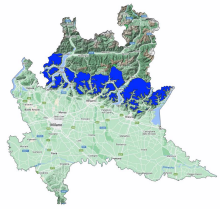

Avalanche Bulletin N. 342/2026 issued at 14:00 on 12/02/2026
48 hours validity. Next issue on 13/02/2026

By the METEOMONT Service of the ARMA dei CARABINIERI ITALY
In collaboration with Air Force Meteorological Service

Situation on 12/02/2026

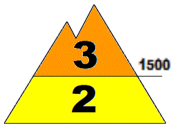

DANGER PATTERNS: deep persistent weak layer.



DANGER PATTERNS: springtime situation.

Snow line (m.a.s.l.)	North	South
	1200 - 1400	1000 - 1200

Snow depth (cm)	ground snow	new snow	Elevation (m.a.s.l.)
	66	1	1782
	40	0	1445

REGISTERED AVALANCHES: No avalanches detected.

FORECAST 13/02/2026

Danger level: CONSIDERABLE 3

DANGER PATTERNS: deep persistent weak layer.

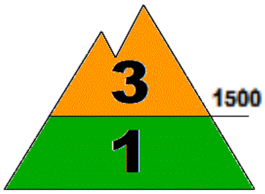

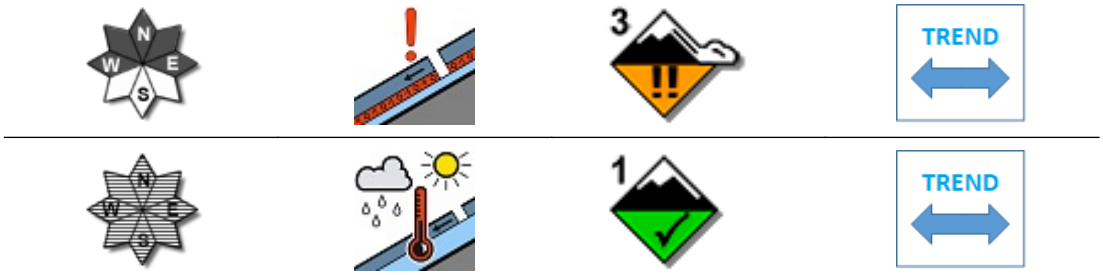

DANGER PATTERNS: springtime situation.

SNOWPACK: Snowpack stability is very poor on many points (areas) above 1500 m.a.s.l. All From west to east-facing slopes are critical. medium avalanches are possible.
Snowpack stability is very poor on few points (areas) below 1500 m.a.s.l. All Isolated slopes are critical. Small avalanches are possible.

WARNING

Due to the wind conditions forecast, avoid any accumulation zones, bowls, gullies and irregular leeward slopes.

EUROPEAN AVALANCHE WARNING SERVICE

5 - VERY HIGH | 4 - HIGH | 3 - CONSIDERABLE | 2 - MODERATE | 1 - LOW | NO SNOW | NO INFO

AVALANCHE PROBLEMS

NEW SNOW | WIND - DRIFTED SNOW | PERSISTENT WEAK LAYERS | WET SNOW | GLIDING SNOW | SNOW CORNICES | NO EVIDENT AVALANCHE PROBLEM. | NO INFO

According to EAWS standards Meteomont bulletin is a synoptic-scale system (regional scale). It shall be the user's responsibility to correlate the danger level evaluation of the bulletin with a detailed and expertise analysis of the zonal hazards (single slope), that could be markedly different. Meteorological forecast are issued at UTC (for Italy: in winter time UTC+1: in summer time UTC+2).

Bulletin is subjected to check processes through: the record of Observers and Avalanches and snow Experts data in C-Sifa; the validation by forecasters; the certification by Meteomont Section.

PREALPI LOMBARDE

WEATHER FORECAST FOR

Elevation		13/02/2026 h6:00	13/02/2026 h12:00	13/02/2026 h18:00
1000	Wind	03 Knots from N-West	02 Knots from South	02 Knots from S-East
	Temperatures	-02 °C	+00 °C	+00 °C
	Wind chill	-4 °C	0 °C	0 °C
2000	Wind	07 Knots from N-West	02 Knots from S-West	03 Knots from South
	Temperatures	-03 °C	-01 °C	-01 °C
	Wind chill	-8 °C	-1 °C	-3 °C
3000	Wind	15 Knots from N-West	06 Knots from West	08 Knots from S-West
	Temperatures	-10 °C	-08 °C	-08 °C
	Wind chill	-19 °C	-13 °C	-14 °C
Freezing level		1200-1400 m.	1600-1800 m.	1600-1800 m.
Atmospheric phenomenon		—	—	—
Keys to sky condition				

KEYS TO ATMOSPHERIC PHENOMENON

— Absence of adverse weather phenomena
Fog
Mist
Light rain
Moderate rain
Heavy rain
Thunderstorm
Weak snowfall
Moderate snowfall
Heavy snowfall

KEYS TO SKY CONDITION

Clear
Partly cloudy
Cloudy
Mostly cloudy
Overcast

Weather and snow data recorded during field and out of field obsevations on 12/02/2026.

Observation field	District	Elevation (m.a.s.l.)	Snow depth (cm)	Snowfall in previous 24 hours (cm)	Temp. Min (°C)	Temp. Max (°C)	General weather conditions
PIANI DI BOBBIO	Barzio (LC)	1724	66	1	0	+3	Absence of rain or other precipitation
PASSO MANIVA	Collio (BS)	1751	47	Snow traces	-3	+3	Intermittent light snow

(*) Out of field survey

INFORMATION MEANS PREVENTION - SCAN QRCODE TO KNOW DAILY AVALANCHE DANGER LEVEL!

IL CAPO DEL CENTRO NAZIONALE METEOMONT
(Ten. Col. RFI Emanuela Gini)
FIRMA AUTOGRAFA OMESSA AI SENSI
DELL'ART.3 DEL D.LGS N.39/1993

According to EAWS standards Meteomont bulletin is a synoptic-scale system (regional scale). It shall be the user's responsibility to correlate the danger level evaluation of the bulletin with a detailed and expertise analysis of the zonal hazards (single slope), that could be markedly different. Meteorological forecast are issued at UTC (for Italy: in winter time UTC+1: in summer time UTC+2).

Bulletin is subjected to check processes through: the record of Observers and Avalanches and snow Experts data in C-Sifa; the validation by forecasters; the certification by Meteomont Section.