MINISTERO DELLA DIFESA

meteomont
Servizio Nazionale di previsione neve e valanghe

EAWS EUROPEAN AVALANCHE WARNING SERVICES

CARABINIERI

ALPI GRAIE

Avalanche Bulletin N. 343/2026 issued at 14:00 on 12/02/2026
48 hours validity. Next issue on 13/02/2026
By the METEOMONT Service of the ARMA dei CARABINIERI ITALY
In collaboration with Air Force Meteorological Service

Situation on 12/02/2026

DANGER PATTERNS: loose snow and wind.

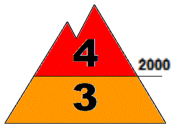



DANGER PATTERNS: loose snow and wind.

Snow line (m.a.s.l.)	North	South
	800 - 1000	900 - 1100

Snow depth (cm)	ground snow	new snow	Elevation (m.a.s.l.)
	168	013	2304
	079	000	1800

REGISTERED AVALANCHES: Small avalanches, Surface loose snow avalanches.

FORECAST 13/02/2026

Danger level: CONSIDERABLE 3

DANGER PATTERNS: loose snow and wind.



DANGER PATTERNS: loose snow and wind.

SNOWPACK: Snowpack stability is very poor on some points (areas) above 2000 m.a.s.l. All From North to South - facing slopes are critical. large avalanches are possible.
Snowpack stability is poor on many points (areas) below 2000 m.a.s.l. All aspects are critical. Medium avalanches are possible.

WARNING

Due to major snow drift accumulations in bowls,gullies, changes of slope and in general all leeward slopes, route choice and a detailed evaluation of snowpack stability is required.

EUROPEAN AVALANCHE WARNING SERVICE

AVALANCHE PROBLEMS

According to EAWS standards Meteomont bulletin is a synoptic-scale system (regional scale). It shall be the user's responsibility to correlate the danger level evaluation of the bulletin with a detailed and expertise analysis of the zonal hazards (single slope), that could be markedly different. Meteorological forecast are issued at UTC (for Italy: in winter time UTC+1: in summer time UTC+2).

Bulletin is subjected to check processes through: the record of Observers and Avalanches and snow Experts data in C-Sifa; the validation by forecasters; the certification by Meteomont Section.

ALPI GRAIE

WEATHER FORECAST FOR

Elevation		13/02/2026 h6:00	13/02/2026 h12:00	13/02/2026 h18:00
1000	Wind	05 Knots from West	00 Calm	01 Knots from N-East
	Temperatures	-01 °C	+00 °C	-03 °C
	Wind chill	-4 °C	0 °C	-3 °C
2000	Wind	09 Knots from West	01 Knots from S-East	01 Knots from N-East
	Temperatures	-01 °C	-01 °C	-04 °C
	Wind chill	-6 °C	-1 °C	-4 °C
3000	Wind	19 Knots from N-West	04 Knots from S-West	03 Knots from East
	Temperatures	-07 °C	-07 °C	-09 °C
	Wind chill	-16 °C	-11 °C	-12 °C
Freezing level		1400-1600 m.	1400-1600 m.	1400-1600 m.
Atmospheric phenomenon		—	—	
Keys to sky condition				

KEYS TO ATMOSPHERIC PHENOMENON

— Absence of adverse weather phenomena
Fog
Mist
Light rain
Moderate rain
Heavy rain
Thunderstorm
Weak snowfall
Moderate snowfall
Heavy snowfall

KEYS TO SKY CONDITION

Clear
Partly cloudy
Cloudy
Mostly cloudy
Overcast

Weather and snow data recorded during field and out of field obsevations on 12/02/2026.

Observation field	District	Elevation (m.a.s.l.)	Snow depth (cm)	Snowfall in previous 24 hours (cm)	Temp. Min (°C)	Temp. Max (°C)	General weather conditions
CORNETTI	Balme (TO)	1410	94	4	N.P.	N.P.	Continuous light snow
PIAN DELLA MUSSA *	Balme (TO)	1810	117	4	N.P.	N.P.	Intermittent light snow

(*) Out of field survey

INFORMATION MEANS PREVENTION - SCAN QRCODE TO KNOW DAILY AVALANCHE DANGER LEVEL!

IL CAPO DEL CENTRO NAZIONALE METEOMONT
(Ten. Col. RFI Emanuela Gini)
FIRMA AUTOGRAFA OMESSA AI SENSI
DELL'ART.3 DEL D.LGS N.39/1993

According to EAWS standards Meteomont bulletin is a synoptic-scale system (regional scale). It shall be the user's responsibility to correlate the danger level evaluation of the bulletin with a detailed and expertise analysis of the zonal hazards (single slope), that could be markedly different. Meteorological forecast are issued at UTC (for Italy: in winter time UTC+1: in summer time UTC+2).

Bulletin is subjected to check processes through: the record of Observers and Avalanches and snow Experts data in C-Sifa; the validation by forecasters; the certification by Meteomont Section.