MINISTERO DELLA DIFESA

meteomont
Servizio Nazionale di previsione neve e valanghe

EAWS EUROPEAN AVALANCHE WARNING SERVICES

CARABINIERI

ALPI LIGURI SUD

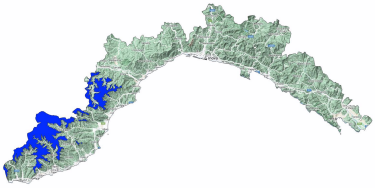

Avalanche Bulletin N. 294/2026 issued at 14:00 on 11/02/2026
48 hours validity. Next issue on 12/02/2026
By the METEOMONT Service of the ARMA dei CARABINIERI ITALY
In collaboration with Air Force Meteorological Service

Situation on 11/02/2026

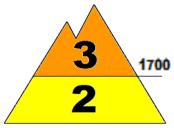

DANGER PATTERNS: springtime situation.



DANGER PATTERNS: springtime situation.

Snow line (m.a.s.l.)	North	South
	700 - 1500	1200 - 1600

Snow depth (cm)	ground snow	new snow	Elevation (m.a.s.l.)
	140	0	1900
	113	0	1400

REGISTERED AVALANCHES: Small avalanches, Full-depth slab avalanches.

FORECAST 12/02/2026

Danger level: CONSIDERABLE 3

DANGER PATTERNS: springtime situation.

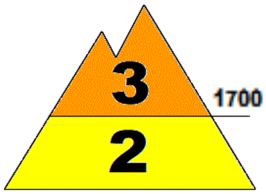

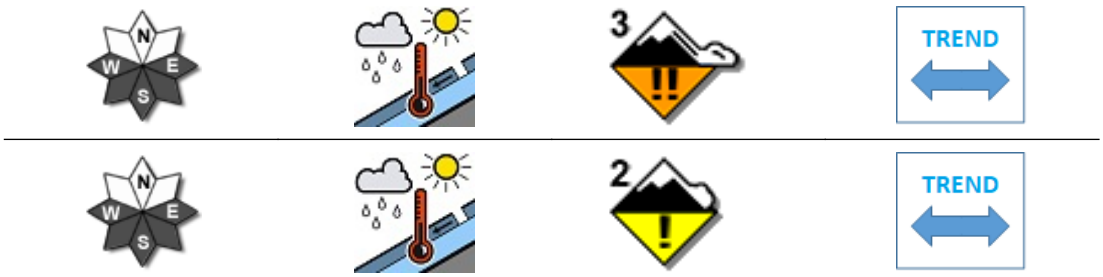

DANGER PATTERNS: springtime situation.

SNOWPACK: Snowpack stability is very poor on some points (areas) above 1700 m.a.s.l. All From east to west-facing slopes are critical. medium avalanches are possible.
Snowpack stability is poor on some points (areas) below 1700 m.a.s.l. All From east to west-facing slopes are critical. Small avalanches are possible.

WARNING

Due to daytime rising temperatures,careful evaluation of the timing of outdoor activities, in order to avoid crossing steep slopes during the warmest hours of the day , is required.

EUROPEAN AVALANCHE WARNING SERVICE

AVALANCHE PROBLEMS

According to EAWS standards Meteomont bulletin is a synoptic-scale system (regional scale). It shall be the user's responsibility to correlate the danger level evaluation of the bulletin with a detailed and expertise analysis of the zonal hazards (single slope), that could be markedly different. Meteorological forecast are issued at UTC (for Italy: in winter time UTC+1: in summer time UTC+2).

Bulletin is subjected to check processes through: the record of Observers and Avalanches and snow Experts data in C-Sifa; the validation by forecasters; the certification by Meteomont Section.

ALPI LIGURI SUD

WEATHER FORECAST FOR

Elevation		12/02/2026 h6:00	12/02/2026 h12:00	12/02/2026 h18:00
1000	Wind	04 Knots from N-West	03 Knots from N-West	04 Knots from N-West
	Temperatures	+00 °C	+02 °C	+01 °C
	Wind chill	-3 °C	0 °C	-1 °C
2000	Wind	16 Knots from N-West	18 Knots from N-West	22 Knots from N-West
	Temperatures	+00 °C	-01 °C	-01 °C
	Wind chill	-6 °C	-8 °C	-9 °C
3000	Wind	22 Knots from N-West	29 Knots from N-West	32 Knots from N-West
	Temperatures	-06 °C	-07 °C	-07 °C
	Wind chill	-15 °C	-18 °C	-18 °C
Freezing level		1900-2100 m.	1800-2000 m.	1800-2000 m.
Atmospheric phenomenon		—	—	—
Keys to sky condition				

KEYS TO ATMOSPHERIC PHENOMENON

— Absence of adverse weather phenomena
Fog
Mist
Light rain
Moderate rain
Heavy rain
Thunderstorm
Weak snowfall
Moderate snowfall
Heavy snowfall

KEYS TO SKY CONDITION

Clear
Partly cloudy
Cloudy
Mostly cloudy
Overcast

Weather and snow data recorded during field and out of field obsevations on 11/02/2026.

Observation field	District	Elevation (m.a.s.l.)	Snow depth (cm)	Snowfall in previous 24 hours (cm)	Temp. Min (°C)	Temp. Max (°C)	General weather conditions
MONESI *	Triora (IM)	1440	113	0	N.P.	N.P.	Absence of rain or other precipitation
MONESI DI TRIORA *	Triora (IM)	1420	113	0	N.P.	N.P.	Absence of rain or other precipitation

(*) Out of field survey

INFORMATION MEANS PREVENTION - SCAN QRCODE TO KNOW DAILY AVALANCHE DANGER LEVEL!

IL CAPO DEL CENTRO NAZIONALE METEOMONT
(Ten. Col. RFI Emanuela Gini)
FIRMA AUTOGRAFA OMESSA AI SENSI
DELL'ART.3 DEL D.LGS N.39/1993