MAJELLA

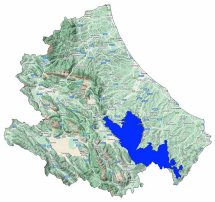

Avalanche Bulletin N. 331/2026 issued at 14:00 on 12/02/2026
48 hours validity. Next issue on 13/02/2026
By the METEOMONT Service of the ARMA dei CARABINIERI ITALY
In collaboration with Air Force Meteorological Service

Situation on 12/02/2026

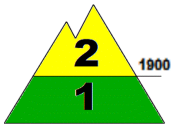

DANGER PATTERNS: loose snow and wind.



DANGER PATTERNS: rain on snow.

Snow line (m.a.s.l.)	North	South
	1500 - 1600	1800 - 1900

Snow depth (cm)	ground snow	new snow	Elevation (m.a.s.l.)
	011	000	1650
	000	000	1270

REGISTERED AVALANCHES: No avalanches detected.

FORECAST 13/02/2026

Danger level: MODERATE 2

DANGER PATTERNS: loose snow and wind.

DANGER PATTERNS: springtime situation.

SNOWPACK: Snowpack stability is moderate on some points (areas) above 1800 m.a.s.l. All Northeast-facing slopes are critical. medium avalanches are possible.
Snowpack stability is moderate on many points (areas) below 1800 m.a.s.l. All Sunny slopes are critical. Small avalanches are possible.

WARNING

Due to current severe weather conditions, outdoor activities beyond the maintained and marked tracks are not advised.

EUROPEAN AVALANCHE WARNING SERVICE

AVALANCHE PROBLEMS

According to EAWS standards Meteomont bulletin is a synoptic-scale system (regional scale). It shall be the user's responsibility to correlate the danger level evaluation of the bulletin with a detailed and expertise analysis of the zonal hazards (single slope), that could be markedly different. Meteorological forecast are issued at UTC (for Italy: in winter time UTC+1: in summer time UTC+2).

Bulletin is subjected to check processes through: the record of Observers and Avalanches and snow Experts data in C-Sifa; the validation by forecasters; the certification by Meteomont Section.

MINISTERO DELLA DIFESA

meteomont
Servizio Nazionale di previsione neve e valanghe

EAWS EUROPEAN AVALANCHE WARNING SERVICES

CARABINIERI

MAJELLA

WEATHER FORECAST FOR

Elevation		13/02/2026 h6:00	13/02/2026 h12:00	13/02/2026 h18:00
1000	Wind	04 Knots from N-West	02 Knots from West	03 Knots from S-West
	Temperatures	+00 °C	+02 °C	+02 °C
	Wind chill	-3 °C	2 °C	0 °C
2000	Wind	11 Knots from N-West	04 Knots from West	05 Knots from S-West
	Temperatures	-01 °C	+00 °C	+02 °C
	Wind chill	-7 °C	-3 °C	-1 °C
3000	Wind	19 Knots from N-West	10 Knots from N-West	06 Knots from West
	Temperatures	-08 °C	-07 °C	-04 °C
	Wind chill	-18 °C	-14 °C	-8 °C
Freezing level		1700-1900 m.	1900-2100 m.	2200-2400 m.
Atmospheric phenomenon		—	—	—
Keys to sky condition				

KEYS TO ATMOSPHERIC PHENOMENON

— Absence of adverse weather phenomena
Fog
Mist
Light rain
Moderate rain
Heavy rain
Thunderstorm
Weak snowfall
Moderate snowfall
Heavy snowfall

KEYS TO SKY CONDITION

Clear
Partly cloudy
Cloudy
Mostly cloudy
Overcast

Weather and snow data recorded during field and out of field obsevations on 12/02/2026.

Observation field	District	Elevation (m.a.s.l.)	Snow depth (cm)	Snowfall in previous 24 hours (cm)	Temp. Min (°C)	Temp. Max (°C)	General weather conditions
QUARTARANA	Campo di Giove (AQ)	1200	0	0	+2	+6	Moderate rain
PASSOLANCIANO	Lettomanoppello (PE)	1300	0	0	+2	+6	Moderate rain
VALICO DELLA FORCHETTA	Palena (CH)	1270	0	0	0	+6	Light rain
VALLE DEL SOLE	Pizzoferrato (CH)	1440	0	0	0	+5	Light rain
MAIELETTA MAMMA ROSA	Pretoro (CH)	1650	11	Snow traces	-1	+4	Heavy or moderate rain and snow or drizzle
PASSO SAN LEONARDO	Sant'Eufemia a Maiella (PE)	1145	0	0	+3	+9	Light rain

(*) Out of field survey

INFORMATION MEANS PREVENTION - SCAN QRCODE TO KNOW DAILY AVALANCHE DANGER LEVEL!

IL CAPO DEL CENTRO NAZIONALE METEOMONT
(Ten. Col. RFI Emanuela Gini)
FIRMA AUTOGRAFA OMESSA AI SENSI
DELL'ART.3 DEL D.LGS N.39/1993

According to EAWS standards Meteomont bulletin is a synoptic-scale system (regional scale). It shall be the user's responsibility to correlate the danger level evaluation of the bulletin with a detailed and expertise analysis of the zonal hazards (single slope), that could be markedly different. Meteorological forecast are issued at UTC (for Italy: in winter time UTC+1: in summer time UTC+2).

Bulletin is subjected to check processes through: the record of Observers and Avalanches and snow Experts data in C-Sifa; the validation by forecasters; the certification by Meteomont Section.