MINISTERO DELLA DIFESA

meteomont
Servizio Nazionale di previsione neve e valanghe

EAWS EUROPEAN AVALANCHE WARNING SERVICES

CARABINIERI

P.N. ABRUZZO

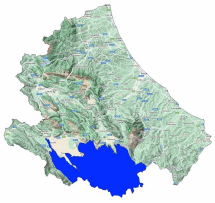

Avalanche Bulletin N. 298/2026 issued at 14:00 on 11/02/2026
48 hours validity. Next issue on 12/02/2026

By the METEOMONT Service of the ARMA dei CARABINIERI ITALY
In collaboration with Air Force Meteorological Service

Situation on 11/02/2026

DANGER PATTERNS: loose snow and wind.

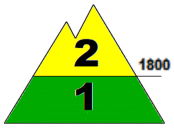



DANGER PATTERNS: rain on snow.

Snow line (m.a.s.l.)	North	South
	1500 - 1600	1800 - 1900

Snow depth (cm)	ground snow	new snow	Elevation (m.a.s.l.)
	016	000	1520
	000	000	1495

REGISTERED AVALANCHES: Small avalanches, Surface loose snow avalanches.

FORECAST 12/02/2026

Danger level: MODERATE 2

DANGER PATTERNS: loose snow and wind.

DANGER PATTERNS: rain on snow.

SNOWPACK: Snowpack stability is moderate on some points (areas) above 1800 m.a.s.l. All Northeast-facing slopes are critical. medium avalanches are possible.
Snowpack stability is moderate on few points (areas) below 1800 m.a.s.l. All aspects are critical. Small avalanches are possible.

WARNING

Due to severe weather conditions forecast, do not attempt to practice outdoor activities beyond the maintained and marked tracks are not advised.

EUROPEAN AVALANCHE WARNING SERVICE

5 - VERY HIGH | 4 - HIGH | 3 - CONSIDERABLE | 2 - MODERATE | 1 - LOW | NO SNOW | NO INFO

AVALANCHE PROBLEMS

NEW SNOW | WIND - DRIFTED SNOW | PERSISTENT WEAK LAYERS | WET SNOW | GLIDING SNOW | SNOW CORNICES | NO EVIDENT AVALANCHE PROBLEM. | NO INFO

According to EAWS standards Meteomont bulletin is a synoptic-scale system (regional scale). It shall be the user's responsibility to correlate the danger level evaluation of the bulletin with a detailed and expertise analysis of the zonal hazards (single slope), that could be markedly different. Meteorological forecast are issued at UTC (for Italy: in winter time UTC+1: in summer time UTC+2).

Bulletin is subjected to check processes through: the record of Observers and Avalanches and snow Experts data in C-Sifa; the validation by forecasters; the certification by Meteomont Section.

MINISTERO DELLA DIFESA

meteomont
Servizio Nazionale di previsione neve e valanghe

EAWS EUROPEAN AVALANCHE WARNING SERVICES

CARABINIERI

P.N. ABRUZZO

WEATHER FORECAST FOR

Elevation		12/02/2026 h6:00	12/02/2026 h12:00	12/02/2026 h18:00
1000	Wind	03 Knots from S-West	05 Knots from West	05 Knots from N-West
	Temperatures	+02 °C	+04 °C	+02 °C
	Wind chill	0 °C	2 °C	-1 °C
2000	Wind	10 Knots from S-West	12 Knots from West	19 Knots from N-West
	Temperatures	+00 °C	-02 °C	-02 °C
	Wind chill	-5 °C	-8 °C	-10 °C
3000	Wind	17 Knots from West	17 Knots from West	18 Knots from N-West
	Temperatures	-04 °C	-08 °C	-07 °C
	Wind chill	-12 °C	-17 °C	-16 °C
Freezing level		1900-2100 m.	1700-1900 m.	1600-1800 m.
Atmospheric phenomenon				—
Keys to sky condition				

KEYS TO ATMOSPHERIC PHENOMENON

— Absence of adverse weather phenomena
Fog
Mist
Light rain
Moderate rain
Heavy rain
Thunderstorm
Weak snowfall
Moderate snowfall
Heavy snowfall

KEYS TO SKY CONDITION

Clear
Partly cloudy
Cloudy
Mostly cloudy
Overcast

Weather and snow data recorded during field and out of field obsevations on 11/02/2026.

Observation field	District	Elevation (m.a.s.l.)	Snow depth (cm)	Snowfall in previous 24 hours (cm)	Temp. Min (°C)	Temp. Max (°C)	General weather conditions
FORCA D'ACERO	Pescasseroli (AQ)	1480	35	0	+1	+6	Light rain
VALLE GELATA	Pescocostanzo (AQ)	1466	0	0	+2	+8	Absence of rain or other precipitation
COPPO DELL'ORSO	Villetta Barrea (AQ)	1520	16	0	-2	+3	Intermittent light rain
LA PESCINA	Rivisondoli (AQ)	1470	17	0	0	+5	Absence of rain or other precipitation
PIANO AREMOGNA	Roccaraso (AQ)	1456	0	0	+5	+7	Absence of rain or other precipitation
MIMOLA	Scanno (AQ)	1495	0	0	-1	+8	Intermittent light rain
CUCCHIAIO MONTE PRATELLO *	Rivisondoli (AQ)	2069	88	0	N.P.	N.P.	Absence of rain or other precipitation
PENDICI MONTE SCALONE *	Scanno (AQ)	1795	134	N.P.	N.P.	N.P.	Freezing rain

(*) Out of field survey

INFORMATION MEANS PREVENTION - SCAN QRCODE TO KNOW DAILY AVALANCHE DANGER LEVEL!

IL CAPO DEL CENTRO NAZIONALE METEOMONT
(Ten. Col. RFI Emanuela Gini)
FIRMA AUTOGRAFA OMESSA AI SENSI
DELL'ART.3 DEL D.LGS N.39/1993

According to EAWS standards Meteomont bulletin is a synoptic-scale system (regional scale). It shall be the user's responsibility to correlate the danger level evaluation of the bulletin with a detailed and expertise analysis of the zonal hazards (single slope), that could be markedly different. Meteorological forecast are issued at UTC (for Italy: in winter time UTC+1: in summer time UTC+2).

Bulletin is subjected to check processes through: the record of Observers and Avalanches and snow Experts data in C-Sifa; the validation by forecasters; the certification by Meteomont Section.