MINISTERO DELLA DIFESA

meteomont
Servizio Nazionale di previsione neve e valanghe

EAWS EUROPEAN AVALANCHE WARNING SERVICES

CARABINIERI

ALPI LIGURI SUD

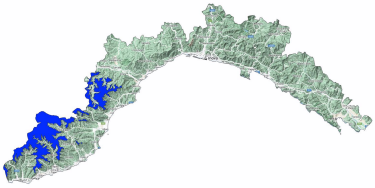

Avalanche Bulletin N. 296/2026 issued at 14:00 on 13/02/2026
48 hours validity. Next issue on 14/02/2026

By the METEOMONT Service of the ARMA dei CARABINIERI ITALY
In collaboration with Air Force Meteorological Service

Situation on 13/02/2026

DANGER PATTERNS: springtime situation.

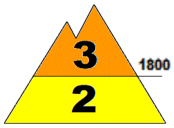



DANGER PATTERNS: springtime situation.

Snow line (m.a.s.l.)	North	South
	900 - 1500	1300 - 1600

Snow depth (cm)	ground snow	new snow	Elevation (m.a.s.l.)
	142	0	1500
	110	0	1400

REGISTERED AVALANCHES: Some medium avalanches, Full-depth loose snow avalanches.

FORECAST 14/02/2026

Danger level: CONSIDERABLE 3

DANGER PATTERNS: loose snow and wind.

DANGER PATTERNS: loose snow and wind.

SNOWPACK: Snowpack stability is very poor on some points (areas) above 1500 m.a.s.l. All aspects are critical. medium avalanches are possible.
Snowpack stability is poor on few points (areas) below 1500 m.a.s.l. All aspects are critical. Medium avalanches are possible.

WARNING

Meteomont recommends that you to always carry ARTVA, probe and shovel.

EUROPEAN AVALANCHE WARNING SERVICE

AVALANCHE PROBLEMS

According to EAWS standards Meteomont bulletin is a synoptic-scale system (regional scale). It shall be the user's responsibility to correlate the danger level evaluation of the bulletin with a detailed and expertise analysis of the zonal hazards (single slope), that could be markedly different. Meteorological forecast are issued at UTC (for Italy: in winter time UTC+1: in summer time UTC+2).

Bulletin is subjected to check processes through: the record of Observers and Avalanches and snow Experts data in C-Sifa; the validation by forecasters; the certification by Meteomont Section.

ALPI LIGURI SUD

WEATHER FORECAST FOR

Elevation		14/02/2026 h6:00	14/02/2026 h12:00	14/02/2026 h18:00
1000	Wind	06 Knots from North	07 Knots from North	06 Knots from North
	Temperatures	-02 °C	-01 °C	+01 °C
	Wind chill	-6 °C	-5 °C	-2 °C
2000	Wind	12 Knots from North	16 Knots from North	15 Knots from North
	Temperatures	-04 °C	-03 °C	-01 °C
	Wind chill	-11 °C	-10 °C	-8 °C
3000	Wind	10 Knots from East	17 Knots from North	19 Knots from North
	Temperatures	-07 °C	-05 °C	-07 °C
	Wind chill	-14 °C	-13 °C	-16 °C
Freezing level		1200-1400 m.	1400-1600 m.	1700-1900 m.
Atmospheric phenomenon				
Keys to sky condition				

KEYS TO ATMOSPHERIC PHENOMENON

Absence of adverse weather phenomena · Fog · Mist · Light rain · Moderate rain · Heavy rain · Thunderstorm · Weak snowfall · Moderate snowfall · Heavy snowfall

KEYS TO SKY CONDITION

Clear · Partly cloudy · Cloudy · Mostly cloudy · Overcast

Weather and snow data recorded during field and out of field obsevations on 13/02/2026.

Observation field	District	Elevation (m.a.s.l.)	Snow depth (cm)	Snowfall in previous 24 hours (cm)	Temp. Min (°C)	Temp. Max (°C)	General weather conditions
PASSO MELOGNO	Calizzano (SV)	1028	80	0	N.P.	N.P.	Absence of rain or other precipitation
MELOSA	Pigna (IM)	1540	26	0	N.P.	N.P.	Absence of rain or other precipitation
MONTE FRANTÈ *	Triora (IM)	1886	205	0	N.P.	N.P.	Absence of rain or other precipitation

(*) Out of field survey

INFORMATION MEANS PREVENTION - SCAN QRCODE TO KNOW DAILY AVALANCHE DANGER LEVEL!

IL CAPO DEL CENTRO NAZIONALE METEOMONT
(Ten. Col. RFI Emanuela Gini)
FIRMA AUTOGRAFA OMESSA AI SENSI
DELL'ART.3 DEL D.LGS N.39/1993

According to EAWS standards Meteomont bulletin is a synoptic-scale system (regional scale). It shall be the user's responsibility to correlate the danger level evaluation of the bulletin with a detailed and expertise analysis of the zonal hazards (single slope), that could be markedly different. Meteorological forecast are issued at UTC (for Italy: in winter time UTC+1: in summer time UTC+2).

Bulletin is subjected to check processes through: the record of Observers and Avalanches and snow Experts data in C-Sifa; the validation by forecasters; the certification by Meteomont Section.