MINISTERO DELLA DIFESA

meteomont
Servizio Nazionale di previsione neve e valanghe

EAWS EUROPEAN AVALANCHE WARNING SERVICES

CARABINIERI

APPENNINO EMILIANO CENTRALE

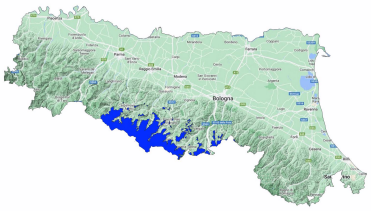

Avalanche Bulletin N. 317/2026 issued at 14:00 on 13/02/2026
48 hours validity. Next issue on 14/02/2026

By the METEOMONT Service of the ARMA dei CARABINIERI ITALY
In collaboration with Air Force Meteorological Service

Situation on 13/02/2026

DANGER PATTERNS: springtime situation.

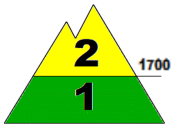



DANGER PATTERNS: springtime situation.

Snow line (m.a.s.l.)	North	South
	1400	1400

Snow depth (cm)	ground snow	new snow	Elevation (m.a.s.l.)
	055	000	1550
	055	000	1550

REGISTERED AVALANCHES: No avalanches detected.

FORECAST 14/02/2026

Danger level: MODERATE 2

DANGER PATTERNS: loose snow and wind.

DANGER PATTERNS: loose snow and wind.

SNOWPACK: Snowpack stability is poor on some points (areas) above 1700 m.a.s.l. All aspects are critical. small avalanches are possible.
Snowpack stability is moderate on few points (areas) below 1700 m.a.s.l. All aspects are critical. Small avalanches are possible.

WARNING

Due to current severe weather conditions and reduced visibility,route choice and evaluation will become difficult.

EUROPEAN AVALANCHE WARNING SERVICE

AVALANCHE PROBLEMS

According to EAWS standards Meteomont bulletin is a synoptic-scale system (regional scale). It shall be the user's responsibility to correlate the danger level evaluation of the bulletin with a detailed and expertise analysis of the zonal hazards (single slope), that could be markedly different. Meteorological forecast are issued at UTC (for Italy: in winter time UTC+1: in summer time UTC+2).

Bulletin is subjected to check processes through: the record of Observers and Avalanches and snow Experts data in C-Sifa; the validation by forecasters; the certification by Meteomont Section.

APPENNINO EMILIANO CENTRALE

WEATHER FORECAST FOR

Elevation		14/02/2026 h6:00	14/02/2026 h12:00	14/02/2026 h18:00
1000	Wind	02 Knots from East	02 Knots from N-East	03 Knots from North
	Temperatures	+03 °C	+02 °C	+01 °C
	Wind chill	3 °C	2 °C	-1 °C
2000	Wind	08 Knots from S-East	07 Knots from East	10 Knots from N-East
	Temperatures	-01 °C	-02 °C	-01 °C
	Wind chill	-6 °C	-6 °C	-6 °C
3000	Wind	13 Knots from South	10 Knots from S-East	10 Knots from N-East
	Temperatures	-07 °C	-07 °C	-07 °C
	Wind chill	-15 °C	-14 °C	-14 °C
Freezing level		1600-1800 m.	1500-1700 m.	1500-1700 m.
Atmospheric phenomenon				
Keys to sky condition				

KEYS TO ATMOSPHERIC PHENOMENON

Absence of adverse weather phenomena · Fog · Mist · Light rain · Moderate rain · Heavy rain · Thunderstorm · Weak snowfall · Moderate snowfall · Heavy snowfall

KEYS TO SKY CONDITION

Clear · Partly cloudy · Cloudy · Mostly cloudy · Overcast

Weather and snow data recorded during field and out of field obsevations on 13/02/2026.

Observation field	District	Elevation (m.a.s.l.)	Snow depth (cm)	Snowfall in previous 24 hours (cm)	Temp. Min (°C)	Temp. Max (°C)	General weather conditions
PASSO PRADARENA	Ventasso (RE)	1585	55	0	+2	+4	Absence of rain or other precipitation
RIFUGIO CAVONE	Lizzano in Belvedere (BO)	1416	42	0	+2	+4	Absence of rain or other precipitation
LAGO DELLA NINFA	Sestola (MO)	1550	53	0	+1	+5	Absence of rain or other precipitation
MONTE CAVALBIANCO *	Ventasso (RE)	1855	30	0	N.P.	N.P.	Absence of rain or other precipitation

(*) Out of field survey

INFORMATION MEANS PREVENTION - SCAN QRCODE TO KNOW DAILY AVALANCHE DANGER LEVEL!

IL CAPO DEL CENTRO NAZIONALE METEOMONT
(Ten. Col. RFI Emanuela Gini)
FIRMA AUTOGRAFA OMESSA AI SENSI
DELL'ART.3 DEL D.LGS N.39/1993

According to EAWS standards Meteomont bulletin is a synoptic-scale system (regional scale). It shall be the user's responsibility to correlate the danger level evaluation of the bulletin with a detailed and expertise analysis of the zonal hazards (single slope), that could be markedly different. Meteorological forecast are issued at UTC (for Italy: in winter time UTC+1: in summer time UTC+2).

Bulletin is subjected to check processes through: the record of Observers and Avalanches and snow Experts data in C-Sifa; the validation by forecasters; the certification by Meteomont Section.