Sunday 15.02.2026

Published 14 02 2026, 17:00

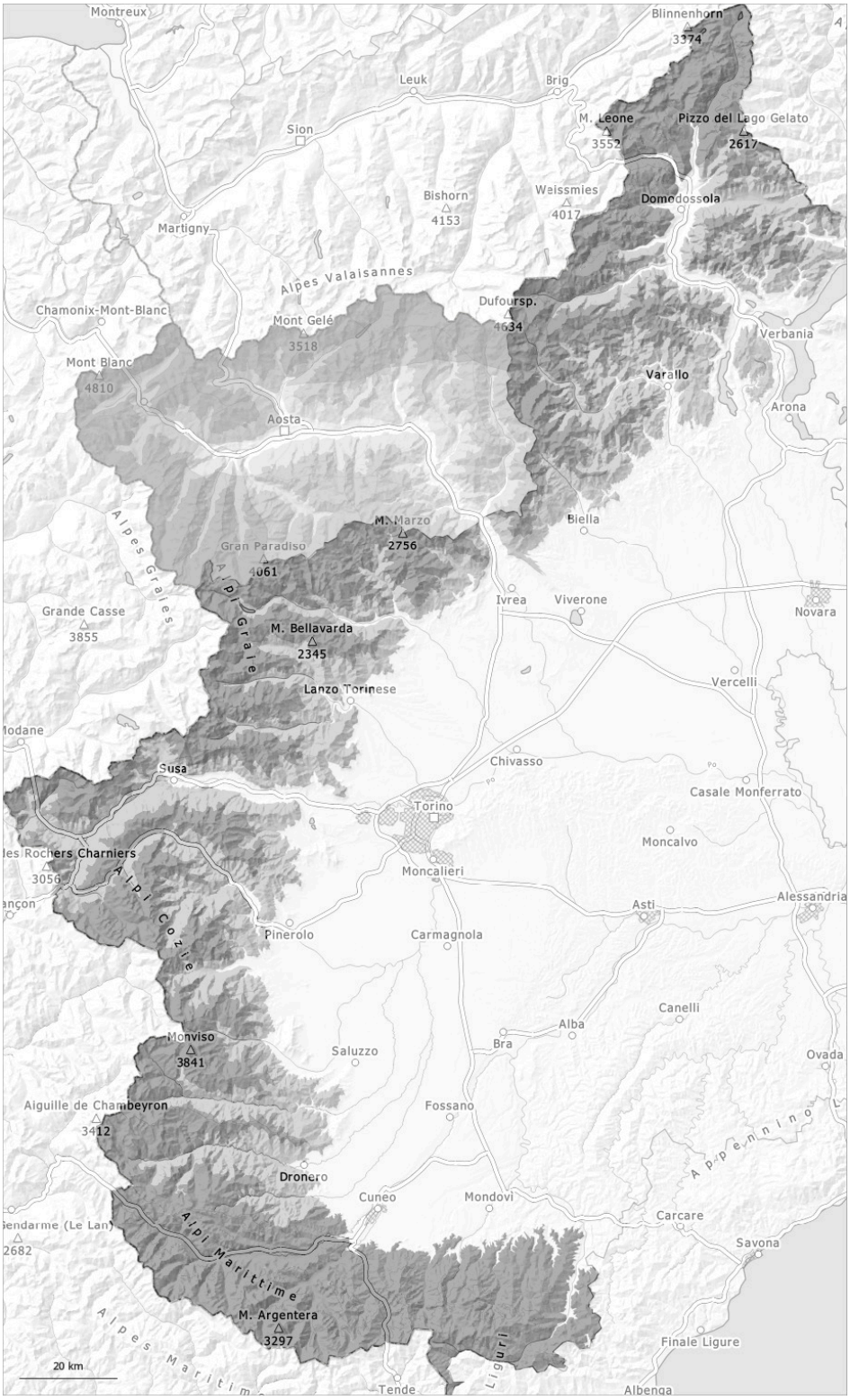

1	2	3	4	5
low	moderate	considerable	high	very high

Danger Level 3 - Considerable

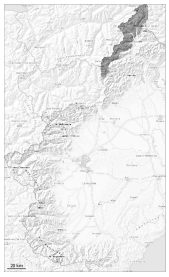

Tendency: Increasing avalanche danger
on Monday 16 02 2026

Wind slab

Old wind slabs will be covered with new snow in some cases and therefore difficult to recognise.

The older wind slabs can be released, even by a single winter sport participant or triggered naturally. The avalanche prone locations are to be found especially in gullies and bowls, and behind abrupt changes in the terrain and on steep slopes. At elevated altitudes these avalanche prone locations are more prevalent.

Additionally avalanches can also be triggered in the old snowpack and reach large size.

Careful route selection and spacing between individuals are recommended.

Snowpack

Danger patterns dp.6: cold, loose snow and wind

Thursday: The sometimes storm force wind has transported the new snow significantly. The various wind slabs are lying on soft layers in particular on shady slopes.

Some snow fell yesterday.

Intermediate and high altitudes: Large-grained weak layers exist in the bottom section of the snowpack in particular on shady slopes.

Danger Level 3 - Considerable

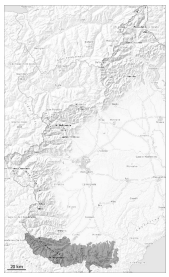

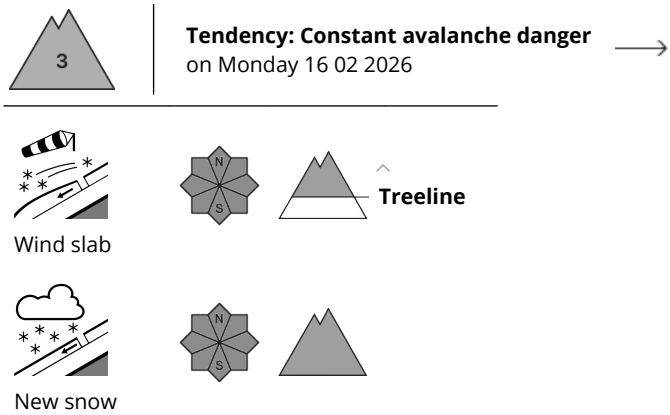

The large quantity of fresh snow and in particular the widespread wind slabs can be released very easily.

Above approximately 1000 m snow fell yesterday. As a consequence of new snow and a moderate to strong northeasterly wind, sometimes deep wind slabs formed in particular on southwest, south and southeast facing slopes.

In particular sunny slopes as well as adjacent to ridgelines and in gullies and bowls: New snow and wind slabs are lying on a hard crust.

The fresh and somewhat older wind slabs can be released by a single winter sport participant in all aspects and generally above the tree line.

Careful route selection and spacing between individuals are recommended.

Snowpack

Danger patterns dp.6: cold, loose snow and wind

In particular adjacent to ridgelines and in pass areas and high altitudes and the high Alpine regions: In the last four days hard wind slabs formed.

In particular sunny slopes low and intermediate altitudes: The old snowpack is hard and its surface has a melt-freeze crust.

In the areas described above, the new wind slabs will bond poorly with the old snowpack.

Danger Level 3 - Considerable

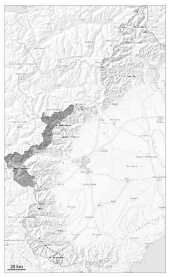

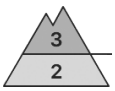

Treeline

Tendency: Constant avalanche danger
on Monday 16 02 2026

Wind slab

Treeline

Persistent
weak layer

The fresh snow and very particularly the wind slabs can be released very easily above the tree line.

The old wind slabs are covered with new snow in some cases and therefore difficult to recognise. These can as before be released, even by a single winter sport participant and reach large size. This applies in particular in gullies and bowls, and behind abrupt changes in the terrain, and on wind-loaded slopes above the tree line.

Wind-loaded slopes where weaknesses exist in the old snowpack are especially dangerous. Weak layers exist in the old snowpack in particular on steep northwest, north and east facing slopes. In some places various wind slab layers are lying on surface hoar.
In some places avalanches can also release deeper layers of the snowpack and reach very large size.

Snowpack

Danger patterns dp.6: cold, loose snow and wind

Above approximately 1400 m snow fell yesterday.

In the last few days hard wind slabs formed over a wide area. The sometimes storm force wind has transported the new snow significantly. In the vicinity of peaks snow depths vary greatly, depending on the infuence of the wind.

The new snow and wind slabs of the last few days are lying on soft layers in particular on wind-protected shady slopes.

Weak layers exist in the old snowpack in particular on steep northwest, north and northeast facing slopes.

Danger Level 3 - Considerable

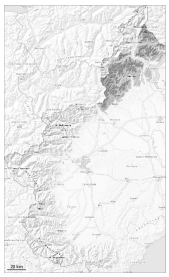

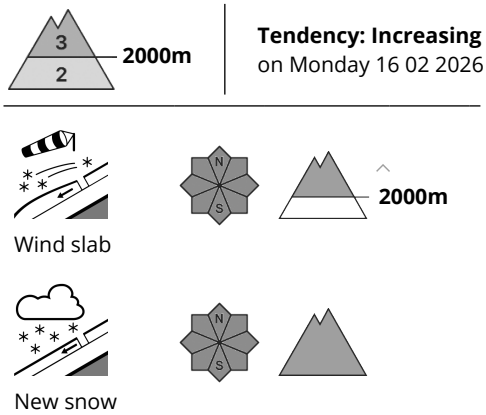

Tendency: Increasing avalanche danger
on Monday 16 02 2026

Fresh and older wind slabs must be evaluated with care and prudence.

Above approximately 1400 m snow fell yesterday. The old wind slabs are covered with new snow in some cases and therefore difficult to recognise. They can be released by a single winter sport participant in some cases.
The avalanche prone locations are to be found especially in gullies and bowls, and behind abrupt changes in the terrain and at transitions from a shallow to a deep snowpack above approximately 2000 m. At elevated altitudes these avalanche prone locations are more prevalent.

Weak layers exist in the old snowpack in particular on steep west, north and east facing slopes. In very isolated cases avalanches can also be triggered in the old snowpack and reach large size.

Snowpack

Danger patterns dp.6: cold, loose snow and wind

Weak layers exist in the old snowpack in particular on steep west, north and east facing slopes.

Danger Level 3 - Considerable

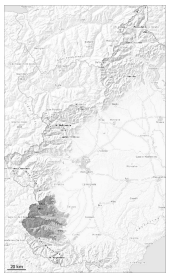

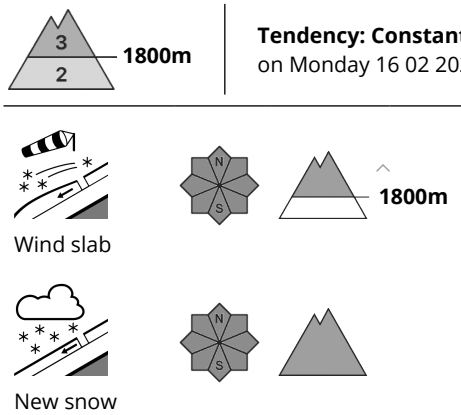

Tendency: Constant avalanche danger
on Monday 16 02 2026

The new snow and wind slabs can be released very easily.

Above approximately 1000 m snow fell yesterday.
As a consequence of new snow and a moderate wind from easterly directions, sometimes deep wind slabs formed.
Wind slabs can be released, even by a single winter sport participant. The avalanche prone locations are to be found in particular in gullies and bowls, and behind abrupt changes in the terrain and on steep shady slopes above approximately 2000 m.

In some places avalanches can also be triggered in the old snowpack and reach large size.

Careful route selection and spacing between individuals are recommended.

Snowpack

Danger patterns dp.6: cold, loose snow and wind

In the last few days hard wind slabs formed over a wide area. The sometimes storm force wind has transported the new snow significantly. In the vicinity of peaks snow depths vary greatly, depending on the infuence of the wind.

As a consequence of new snow and a moderate wind from easterly directions, sometimes deep wind slabs will form. The wind slabs are lying on soft layers in particular on wind-protected shady slopes.

Weak layers exist in the old snowpack in particular on steep northwest, north and northeast facing slopes.

Danger Level 3 - Considerable

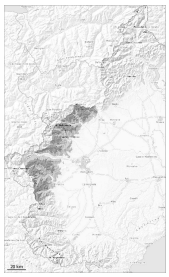

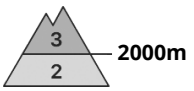

Tendency: Constant avalanche danger
on Monday 16 02 2026

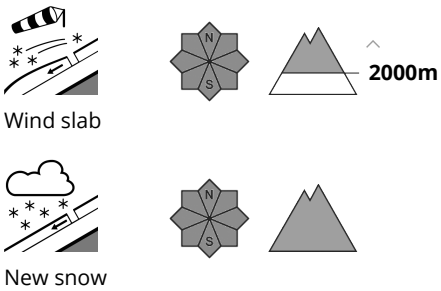

The new snow and wind slabs can be released very easily.

Above approximately 1000 m snow fell yesterday.
As a consequence of new snow and a moderate wind from easterly directions, sometimes deep wind slabs formed.
Wind slabs can be released, even by a single winter sport participant. The avalanche prone locations are to be found in particular in gullies and bowls, and behind abrupt changes in the terrain and on steep shady slopes above approximately 2000 m.

In some places avalanches can also be triggered in the old snowpack and reach large size.

Careful route selection and spacing between individuals are recommended.

Snowpack

Danger patterns dp.6: cold, loose snow and wind

In the last few days hard wind slabs formed over a wide area. The sometimes storm force wind has transported the new snow significantly. In the vicinity of peaks snow depths vary greatly, depending on the infuence of the wind.

As a consequence of new snow and a moderate wind from easterly directions, sometimes deep wind slabs will form. The wind slabs are lying on soft layers in particular on wind-protected shady slopes.

Weak layers exist in the old snowpack in particular on steep northwest, north and northeast facing slopes.