Sunday 15.02.2026

Published 14 02 2026, 17:00

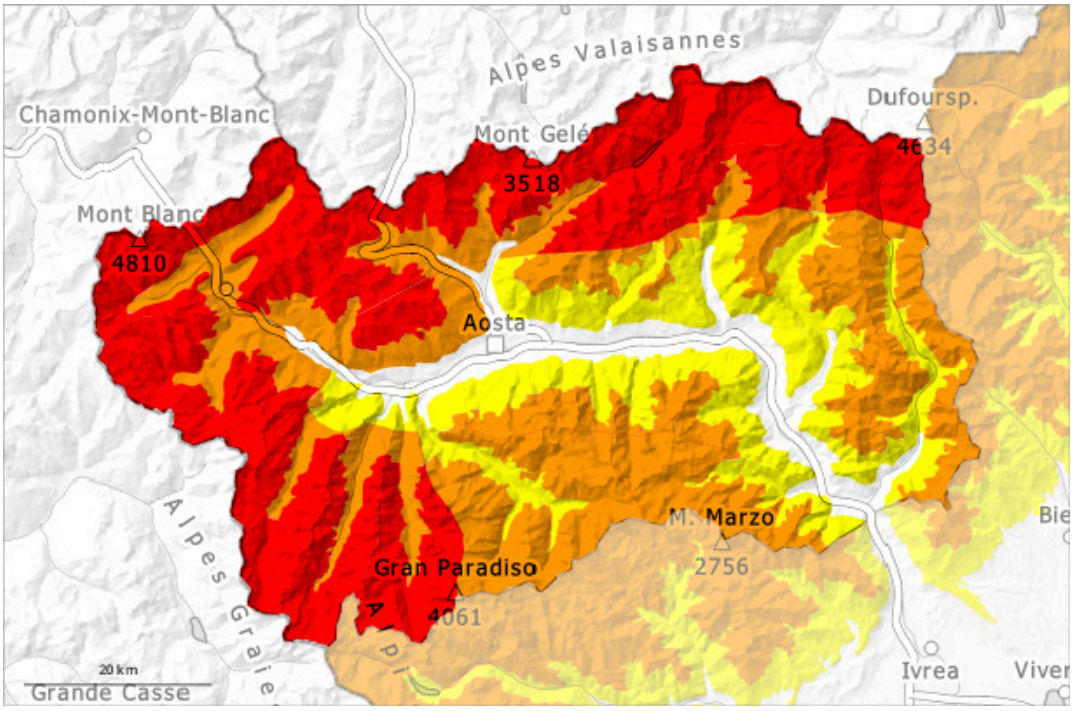

1	2	3	4	5
low	moderate	considerable	high	very high

Danger Level 4 - High

2400m

Tendency: Increasing avalanche danger
on Monday 16 02 2026

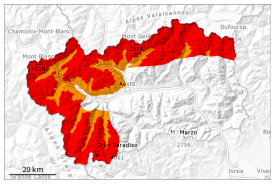

Wind slab

2400m

New snow

Gradual increase in danger of dry avalanches as a consequence of the strong wind.

As a consequence of the strong northwesterly wind the prevalence and size of the avalanche prone locations will increase. High-altitude starting zones will be replenished further as a consequence of the wind.
In the regions exposed to heavier precipitation the avalanche prone locations are more prevalent and larger, in particular along the border with France and along the border with Switzerland.
Fresh and older wind slabs can be released easily or naturally. Caution is to be exercised on steep slopes, and in gullies and bowls, and behind abrupt changes in the terrain.
Especially on very steep slopes and on wind-loaded slopes more medium-sized and, in isolated cases, large natural avalanches are possible. Here the avalanches can be triggered in deep layers of the snowpack and reach very large size. The conditions are precarious for backcountry touring and other off-piste activities outside marked and open pistes.

Snowpack

Danger patterns dp.6: cold, loose snow and wind | dp.1: deep persistent weak layer

70 to 110 cm of snow, and even more in some localities, has fallen since Wednesday above approximately 1800 m.
5 to 10 cm of snow fell on Saturday.
The weather conditions gave rise to unfavourable bonding of the snowpack. The large quantity of fresh snow and the often deep wind slabs are in some cases still prone to triggering. Adjacent to ridgelines and in pass areas snow depths vary greatly, depending on the infuence of the wind.
Numerous large and, in isolated cases, very large natural dry avalanches have been released since Wednesday.

Tendency

Wind and new snow. The meteorological conditions will cause a rise in the avalanche danger, in the regions

> exposed to heavier precipitation in particular.

Danger Level 3 - Considerable

2100m

Tendency: Increasing avalanche danger
on Monday 16 02 2026

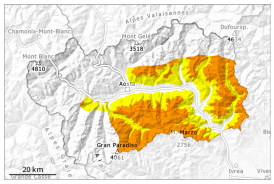

Wind slab

2100m

Persistent
weak layer

2000m

Wind-loaded slopes where weaknesses exist in the old snowpack are dangerous.

As a consequence of the strong northwesterly wind the avalanche prone locations will become more prevalent.
Fresh and older wind slabs can be released by a single winter sport participant.
In particular on extremely steep slopes and adjacent to ridgelines more medium-sized natural avalanches are possible in starting zones where no previous releases have taken place. Mostly these are shallow.
In some places the avalanches can be triggered in the old snow and reach quite a large size.
Remotely triggered avalanches are possible. Weak layers in the old snowpack necessitate caution.
Whumpfing sounds and the formation of shooting cracks when stepping on the snowpack serve as an alarm sign.

Snowpack

Danger patterns dp.6: cold, loose snow and wind | dp.1: deep persistent weak layer

10 to 30 cm of snow, and even more in some localities, has fallen since Tuesday above approximately 1800 m.
5 to 10 cm of snow fell on Saturday.
The weather conditions gave rise to unfavourable bonding of the snowpack. The strong wind has transported the new snow significantly.
Faceted weak layers exist in the old snowpack in particular on west, north and east facing slopes.

Tendency

Wind and new snow. The meteorological conditions will cause a rise in the avalanche danger, in the regions exposed to heavier precipitation in particular.