BUTLLETÍ DEL PERILL D'ALLAUS DEL PRINCIPAT D'ANDORRA

Servei meteorològic nacional
Principat d'Andorra

Prepared on 14/02/2026 16:01
Next update 15/02/2026 at 16 am

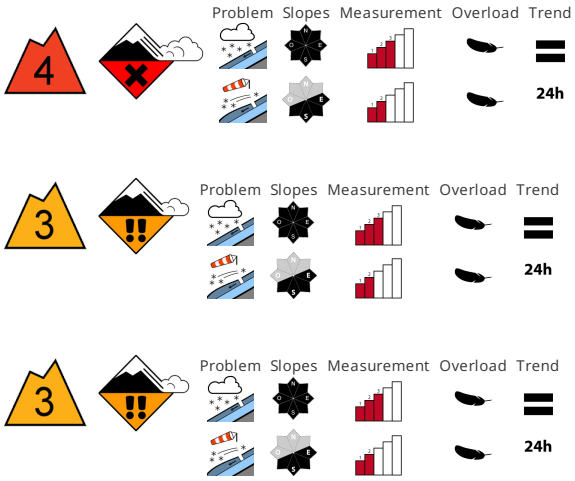

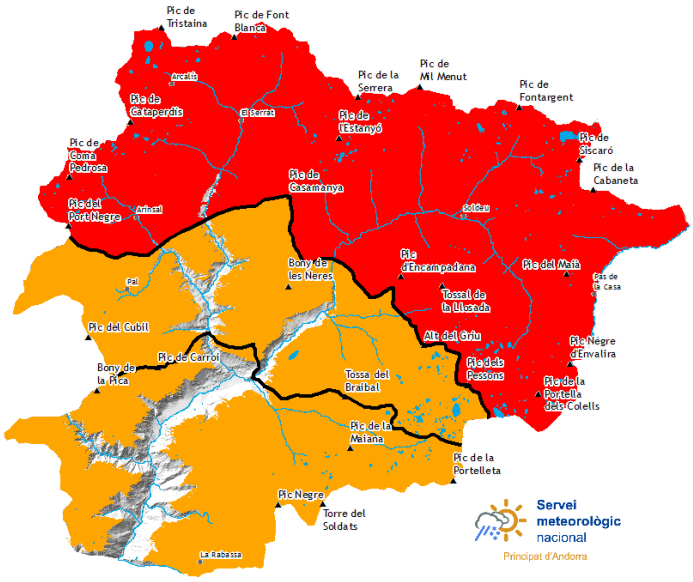

SNOW QUALITY

The new snow and wind slabs of Saturday represent the main danger. The sometimes strong wind will transport the new snow significantly. Medium-sized and, in isolated cases, large natural avalanches are to be expected especially in the regions exposed to heavier precipitation. The fresh snow and the wind slabs can be released naturally. Individual avalanche prone locations for dry avalanches are to be found also at transitions into gullies and bowls. The avalanche prone locations are and are difficult to recognise. The conditions are dangerous for backcountry touring and other off-piste activities. Careful route selection and spacing between individuals are recommended.

STABILITY OF THE SNOW MANTLE

On Saturday the wind will be strong to storm force over a wide area. Down to low altitudes snow will fall until Sunday in particular in the north. As a consequence of new snow and wind the wind slabs will increase in size. The new snow must be evaluated with care and prudence. On Sunday it will be mild. As a consequence of mild temperatures and solar radiation the snowpack will settle.

OFF-PISTE SNOW COVER THICKNESSES

North zone		Snow thickness		
Snowpack		1500m	2000m	2500m
N	1300 m	50 cm	150 cm	200 cm
S	1400 m	30 cm	100 cm	150 cm

Center area		Snow thickness		
Snowpack		1500m	2000m	2500m
N	1300 m	30 cm	150 cm	200 cm
S	1400 m	10 cm	100 cm	150 cm

South zone		Snow thickness		
Snowpack		1500m	2000m	2500m
N	1300 m	30 cm	120 cm	150 cm
S	1400 m	10 cm	60 cm	100 cm

Govern d'Andorra

EAWS
EUROPEAN AVALANCHE WARNING SERVICES

Aquest butlletí ha estat elaborat seguint les normes i recomanacions de l'**European Avalanche Warning Services**, del qual el **Servei meteorològic Nacional** n'és membre

Detailed information for protected areas

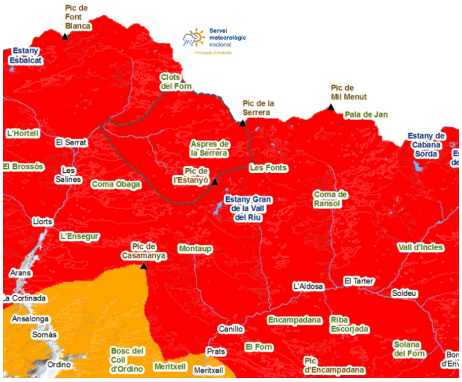

SORTENY

Saturday's snowfall will be consequential and may leave thicknesses of new snow greater than 50 cm, shaped by the wind. The activities outside the controlled slopes require experience and great care in choosing the territory.

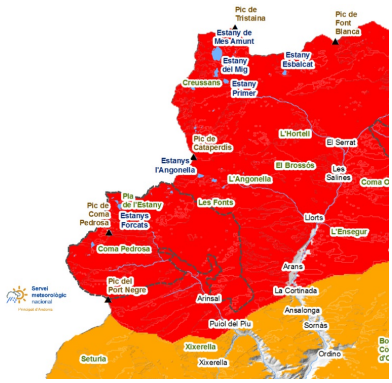

COMAPEDROSA

As in the whole territory, mountain activities are not recommended until the recent snow has stabilized. Numerous natural avalanches are expected.

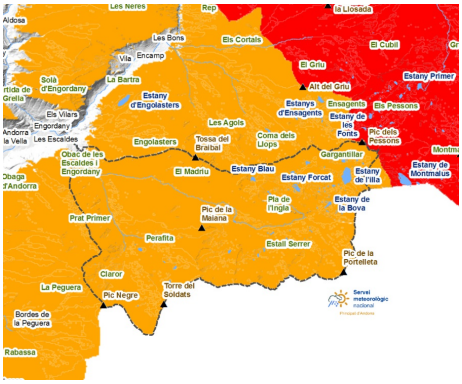

MADRIU-PERAFITA-CLAROR

There is also snow in the upper part of the Madriu, although the snowfall in the south of the country has been less intense, we also expect the formation of wind patches. Recent snow will settle on top of harder snow in the lower elevations.

BUTLLETÍ DEL PERILL D'ALLAUS DEL PRINCIPAT D'ANDORRA

Servei meteorològic nacional
Principat d'Andorra

Thick snow in recent days (last 24 hours measured at 06:00 UTC)

	10/02/2026	11/02/2026	12/02/2026	13/02/2026
FEDA (Central)	0 cm	0 cm	0 cm	0 cm
Engolasters - FEDA	0 cm	0 cm	0 cm	10 cm
Bony de les Neres	0 cm	0 cm	0 cm	14 cm
Sorteny	0 cm	17 cm	0 cm	36 cm
Les Fonts d'Arinsal	12 cm	9 cm	0 cm	18 cm
Perafita	0 cm	0 cm	0 cm	0 cm
Tossa Espiolets	0 cm	0 cm	0 cm	8 cm
Grau Roig - FEDA	0 cm	9 cm	0 cm	10 cm
Fontverd	0 cm	0 cm	0 cm	8 cm
Ransol - FEDA	0 cm	0 cm	0 cm	13 cm
Setúria	0 cm	0 cm	0 cm	8 cm
Caborreu	0 cm	9 cm	0 cm	8 cm
Envalira Antenes	0 cm	0 cm	0 cm	6 cm
Vall del Riu FEDA	7 cm	0 cm	1 cm	7 cm