MINISTERO DELLA DIFESA

meteomont
Servizio Nazionale di previsione neve e valanghe

EAWS EUROPEAN AVALANCHE WARNING SERVICES

CARABINIERI

ALPI GIULIE

Avalanche Bulletin N. 346/2026 issued at 14:00 on 14/02/2026
48 hours validity. Next issue on 15/02/2026

By the METEOMONT Service of the ARMA dei CARABINIERI ITALY
In collaboration with Air Force Meteorological Service

Situation on 14/02/2026

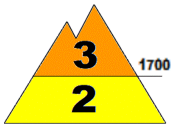

DANGER PATTERNS: loose snow and wind.



DANGER PATTERNS: loose snow and wind.

Snow line (m.a.s.l.)	North	South
	700 - 900	1000 - 1200

Snow depth (cm)	ground snow	new snow	Elevation (m.a.s.l.)
	118	02	1530
	75	00	1130

REGISTERED AVALANCHES: -.

FORECAST 15/02/2026

Danger level: CONSIDERABLE 3

DANGER PATTERNS: loose snow and wind.

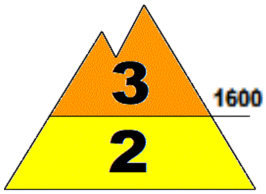

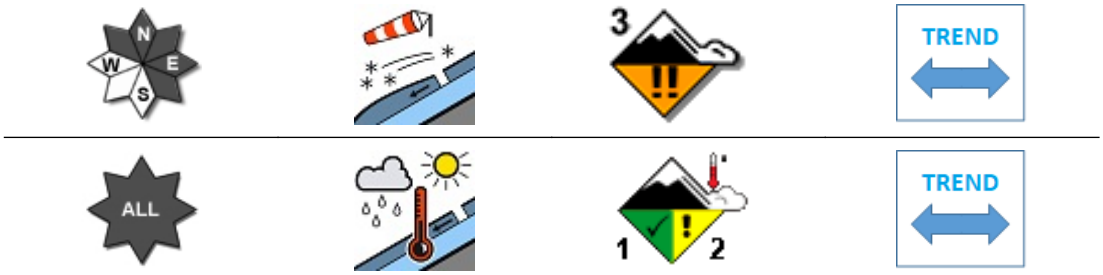

DANGER PATTERNS: springtime situation.

SNOWPACK: Snowpack stability is poor on many points (areas) above 1600 m.a.s.l. All are critical. medium avalanches are possible.
Snowpack stability is poor on some points (areas) below 1600 m.a.s.l. All aspects are critical. Medium avalanches are possible.

WARNING

Due to observed wind activity, avoid accumulation zones, bowls, gullies, irregular slopes and leeward slopes in general.

EUROPEAN AVALANCHE WARNING SERVICE

AVALANCHE PROBLEMS

According to EAWS standards Meteomont bulletin is a synoptic-scale system (regional scale). It shall be the user's responsibility to correlate the danger level evaluation of the bulletin with a detailed and expertise analysis of the zonal hazards (single slope), that could be markedly different. Meteorological forecast are issued at UTC (for Italy: in winter time UTC+1: in summer time UTC+2).

Bulletin is subjected to check processes through: the record of Observers and Avalanches and snow Experts data in C-Sifa; the validation by forecasters; the certification by Meteomont Section.

ALPI GIULIE

WEATHER FORECAST FOR

Elevation		15/02/2026 h6:00	15/02/2026 h12:00	15/02/2026 h18:00
1000	Wind	02 Knots from N-East	02 Knots from N-East	01 Knots from East
	Temperatures	-02 °C	-02 °C	-03 °C
	Wind chill	-2 °C	-2 °C	-3 °C
2000	Wind	10 Knots from North	04 Knots from North	03 Knots from West
	Temperatures	-06 °C	-07 °C	-07 °C
	Wind chill	-13 °C	-11 °C	-10 °C
3000	Wind	08 Knots from North	05 Knots from West	10 Knots from West
	Temperatures	-09 °C	-11 °C	-11 °C
	Wind chill	-15 °C	-16 °C	-19 °C
Freezing level		1000-1200 m.	1000-1200 m.	0600-0800 m.
Atmospheric phenomenon		—	—	—
Keys to sky condition				

KEYS TO ATMOSPHERIC PHENOMENON

— Absence of adverse weather phenomena
Fog
Mist
Light rain
Moderate rain
Heavy rain
Thunderstorm
Weak snowfall
Moderate snowfall
Heavy snowfall

KEYS TO SKY CONDITION

Clear
Partly cloudy
Cloudy
Mostly cloudy
Overcast

Weather and snow data recorded during field and out of field obsevations on 14/02/2026.

Observation field	District	Elevation (m.a.s.l.)	Snow depth (cm)	Snowfall in previous 24 hours (cm)	Temp. Min (°C)	Temp. Max (°C)	General weather conditions
MALBORGHETTO - VAL SAISERA	Tarvisio (UD)	875	49	0	-2	+13	Absence of rain or other precipitation
PASSO PRAMOLLO	Pontebba (UD)	1530	118	2	-2	+8	Intermittent light snow
PASSO PREDIL	Tarvisio (UD)	1130	75	Snow traces	-1	+3	Light rain

(*) Out of field survey

INFORMATION MEANS PREVENTION - SCAN QRCODE TO KNOW DAILY AVALANCHE DANGER LEVEL!

IL CAPO DEL CENTRO NAZIONALE METEOMONT
(Ten. Col. RFI Emanuela Gini)
FIRMA AUTOGRAFA OMESSA AI SENSI
DELL'ART.3 DEL D.LGS N.39/1993

According to EAWS standards Meteomont bulletin is a synoptic-scale system (regional scale). It shall be the user's responsibility to correlate the danger level evaluation of the bulletin with a detailed and expertise analysis of the zonal hazards (single slope), that could be markedly different. Meteorological forecast are issued at UTC (for Italy: in winter time UTC+1: in summer time UTC+2).

Bulletin is subjected to check processes through: the record of Observers and Avalanches and snow Experts data in C-Sifa; the validation by forecasters; the certification by Meteomont Section.