MINISTERO DELLA DIFESA

meteomont
Servizio Nazionale di previsione neve e valanghe

EAWS EUROPEAN AVALANCHE WARNING SERVICES

CARABINIERI

ALPI RETICHE

Avalanche Bulletin N. 346/2026 issued at 14:00 on 13/02/2026
48 hours validity. Next issue on 14/02/2026

By the METEOMONT Service of the ARMA dei CARABINIERI ITALY
In collaboration with Air Force Meteorological Service

Situation on 13/02/2026

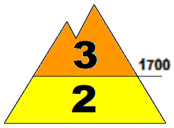

DANGER PATTERNS: deep persistent weak layer.



DANGER PATTERNS: springtime situation.

Snow line (m.a.s.l.)	North	South
	1100 - 1300	1400 - 1600

Snow depth (cm)	ground snow	new snow	Elevation (m.a.s.l.)
	45-60	4	2300
	39	0	1580

REGISTERED AVALANCHES: Small avalanches, Surface loose snow avalanches.

FORECAST 14/02/2026

Danger level: CONSIDERABLE 3

DANGER PATTERNS: deep persistent weak layer.

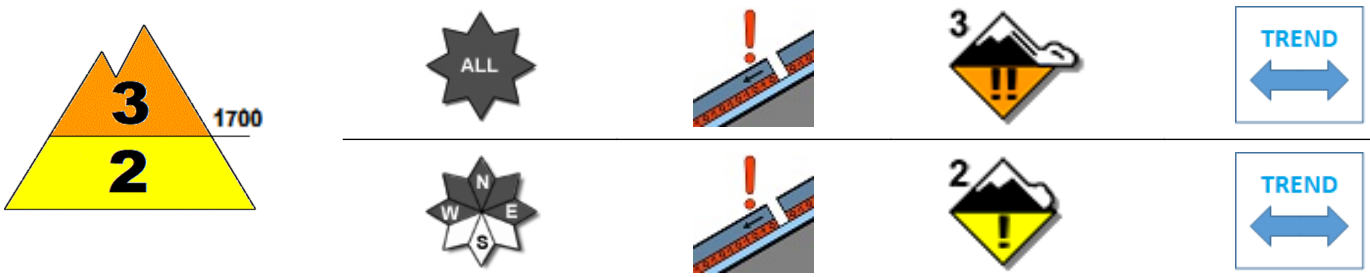

DANGER PATTERNS: deep persistent weak layer.

SNOWPACK: Snowpack stability is poor on many points (areas) above 1700 m.a.s.l. All aspects are critical. medium avalanches are possible.
Snowpack stability is poor on few points (areas) below 1700 m.a.s.l. All From west to east-facing slopes are critical. Medium avalanches are possible.

WARNING

Due to observed wind activity, avoid accumulation zones, bowls, gullies, irregular slopes and leeward slopes in general.

EUROPEAN AVALANCHE WARNING SERVICE

AVALANCHE PROBLEMS

According to EAWS standards Meteomont bulletin is a synoptic-scale system (regional scale). It shall be the user's responsibility to correlate the danger level evaluation of the bulletin with a detailed and expertise analysis of the zonal hazards (single slope), that could be markedly different. Meteorological forecast are issued at UTC (for Italy: in winter time UTC+1: in summer time UTC+2).

Bulletin is subjected to check processes through: the record of Observers and Avalanches and snow Experts data in C-Sifa; the validation by forecasters; the certification by Meteomont Section.

ALPI RETICHE

WEATHER FORECAST FOR

Elevation		14/02/2026 h6:00	14/02/2026 h12:00	14/02/2026 h18:00
1000	Wind	02 Knots from N-East	00 Calm	02 Knots from North
	Temperatures	-04 °C	-01 °C	+00 °C
	Wind chill	-4 °C	-1 °C	0 °C
2000	Wind	02 Knots from N-East	00 Calm	02 Knots from North
	Temperatures	-04 °C	-01 °C	+00 °C
	Wind chill	-4 °C	-1 °C	0 °C
3000	Wind	06 Knots from S-East	02 Knots from N-East	07 Knots from North
	Temperatures	-09 °C	-08 °C	-08 °C
	Wind chill	-14 °C	-8 °C	-14 °C
Freezing level		1300-1500 m.	1800-2000 m.	2000-2200 m.
Atmospheric phenomenon			—	—
Keys to sky condition				

KEYS TO ATMOSPHERIC PHENOMENON

— Absence of adverse weather phenomena
Fog
Mist
Light rain
Moderate rain
Heavy rain
Thunderstorm
Weak snowfall
Moderate snowfall
Heavy snowfall

KEYS TO SKY CONDITION

Clear
Partly cloudy
Cloudy
Mostly cloudy
Overcast

Weather and snow data recorded during field and out of field obsevations on 13/02/2026.

Observation field	District	Elevation (m.a.s.l.)	Snow depth (cm)	Snowfall in previous 24 hours (cm)	Temp. Min (°C)	Temp. Max (°C)	General weather conditions
SPONDA	Livigno (SO)	2150	52	3	-9	+1	Absence of rain or other precipitation
BORMIO2000-LECCIONA	Valdisotto (SO)	2050	54	0	-4	+4	Absence of rain or other precipitation
DOSSO DEL VALLONE	Valfurva (SO)	2582	59	0	-10	-4	Absence of rain or other precipitation
SANTA APOLLONIA	Vezza d'Oglio (BS)	1599	28	0	N.P.	N.P.	Absence of rain or other precipitation
ALPE PALU'	Chiesa in Valmalenco (SO)	2010	73	0	-6	+3	Absence of rain or other precipitation
PREDA	Edolo (BS)	1580	34	0	0	0	Absence of rain or other precipitation
MOTTOLINO *	Livigno (SO)	2267	47	4	N.P.	N.P.	Absence of rain or other precipitation
CONCA DI SOMALBOSCO *	Temù (BS)	2218	60	0	N.P.	N.P.	Absence of rain or other precipitation

(*) Out of field survey

INFORMATION MEANS PREVENTION - SCAN QRCODE TO KNOW DAILY AVALANCHE DANGER LEVEL!

IL CAPO DEL CENTRO NAZIONALE METEOMONT
(Ten. Col. RFI Emanuela Gini)
FIRMA AUTOGRAFA OMESSA AI SENSI
DELL'ART.3 DEL D.LGS N.39/1993

According to EAWS standards Meteomont bulletin is a synoptic-scale system (regional scale). It shall be the user's responsibility to correlate the danger level evaluation of the bulletin with a detailed and expertise analysis of the zonal hazards (single slope), that could be markedly different. Meteorological forecast are issued at UTC (for Italy: in winter time UTC+1: in summer time UTC+2).

Bulletin is subjected to check processes through: the record of Observers and Avalanches and snow Experts data in C-Sifa; the validation by forecasters; the certification by Meteomont Section.