MINISTERO DELLA DIFESA

meteomont
Servizio Nazionale di previsione neve e valanghe

EAWS EUROPEAN AVALANCHE WARNING SERVICES

CARABINIERI

# ALPI RETICHE

Avalanche Bulletin N. 346/2026 issued at 14:00 on 13/02/2026
48 hours validity. Next issue on 14/02/2026

**By the METEOMONT Service of the ARMA dei CARABINIERI ITALY**
**In collaboration with Air Force Meteorological Service**

## Situation on 13/02/2026

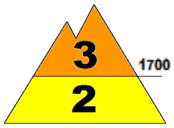


**DANGER PATTERNS: deep persistent weak layer.**




**DANGER PATTERNS: springtime situation.**

| Snow line (m.a.s.l.) | North | South |
|---|---|---|
| | 1100 - 1300 | 1400 - 1600 |

| Snow depth (cm) | ground snow | new snow | Elevation (m.a.s.l.) |
|---|---|---|---|
| | 45-60 | 4 | 2300 |
| | 39 | 0 | 1580 |

**REGISTERED AVALANCHES: Small avalanches, Surface loose snow avalanches.**

## FORECAST 14/02/2026

# Danger level: CONSIDERABLE 3

## DANGER PATTERNS: deep persistent weak layer.

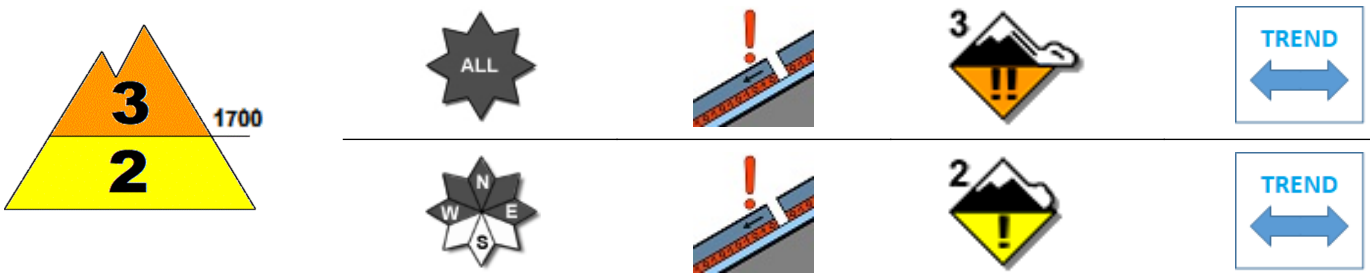


## DANGER PATTERNS: deep persistent weak layer.

**SNOWPACK: Snowpack stability is poor on many points (areas) above 1700 m.a.s.l. All aspects are critical. medium avalanches are possible.**
**Snowpack stability is poor on few points (areas) below 1700 m.a.s.l. All From west to east-facing slopes are critical. Medium avalanches are possible.**

## WARNING

Due to observed wind activity, avoid accumulation zones, bowls, gullies, irregular slopes and leeward slopes in general.

## EUROPEAN AVALANCHE WARNING SERVICE

## AVALANCHE PROBLEMS

According to EAWS standards Meteomont bulletin is a synoptic-scale system (regional scale). It shall be the user's responsibility to correlate the danger level evaluation of the bulletin with a detailed and expertise analysis of the zonal hazards (single slope), that could be markedly different. Meteorological forecast are issued at UTC (for Italy: in winter time UTC+1: in summer time UTC+2).

Bulletin is subjected to check processes through: the record of Observers and Avalanches and snow Experts data in C-Sifa; the validation by forecasters; the certification by Meteomont Section.

# ALPI RETICHE

## WEATHER FORECAST FOR

| Elevation | | 14/02/2026 h6:00 | 14/02/2026 h12:00 | 14/02/2026 h18:00 |
|---|---|---|---|---|
| 1000 | Wind | 02 Knots from N-East | 00 Calm | 02 Knots from North |
| | Temperatures | -04 °C | -01 °C | +00 °C |
| | Wind chill | -4 °C | -1 °C | 0 °C |
| 2000 | Wind | 02 Knots from N-East | 00 Calm | 02 Knots from North |
| | Temperatures | -04 °C | -01 °C | +00 °C |
| | Wind chill | -4 °C | -1 °C | 0 °C |
| 3000 | Wind | 06 Knots from S-East | 02 Knots from N-East | 07 Knots from North |
| | Temperatures | -09 °C | -08 °C | -08 °C |
| | Wind chill | -14 °C | -8 °C | -14 °C |
| Freezing level | | 1300-1500 m. | 1800-2000 m. | 2000-2200 m. |
| Atmospheric phenomenon | | | — | — |
| Keys to sky condition | | | | |

## KEYS TO ATMOSPHERIC PHENOMENON

— Absence of adverse weather phenomena
Fog
Mist
Light rain
Moderate rain
Heavy rain
Thunderstorm
Weak snowfall
Moderate snowfall
Heavy snowfall

## KEYS TO SKY CONDITION

Clear
Partly cloudy
Cloudy
Mostly cloudy
Overcast

## Weather and snow data recorded during field and out of field obsevations on 13/02/2026.

| Observation field | District | Elevation (m.a.s.l.) | Snow depth (cm) | Snowfall in previous 24 hours (cm) | Temp. Min (°C) | Temp. Max (°C) | General weather conditions |
|---|---|---|---|---|---|---|---|
| SPONDA | Livigno (SO) | 2150 | 52 | 3 | -9 | +1 | Absence of rain or other precipitation |
| BORMIO2000-LECCIONA | Valdisotto (SO) | 2050 | 54 | 0 | -4 | +4 | Absence of rain or other precipitation |
| DOSSO DEL VALLONE | Valfurva (SO) | 2582 | 59 | 0 | -10 | -4 | Absence of rain or other precipitation |
| SANTA APOLLONIA | Vezza d'Oglio (BS) | 1599 | 28 | 0 | N.P. | N.P. | Absence of rain or other precipitation |
| ALPE PALU' | Chiesa in Valmalenco (SO) | 2010 | 73 | 0 | -6 | +3 | Absence of rain or other precipitation |
| PREDA | Edolo (BS) | 1580 | 34 | 0 | 0 | 0 | Absence of rain or other precipitation |
| MOTTOLINO * | Livigno (SO) | 2267 | 47 | 4 | N.P. | N.P. | Absence of rain or other precipitation |
| CONCA DI SOMALBOSCO * | Temù (BS) | 2218 | 60 | 0 | N.P. | N.P. | Absence of rain or other precipitation |

(*) Out of field survey

**INFORMATION MEANS PREVENTION - SCAN QRCODE TO KNOW DAILY AVALANCHE DANGER LEVEL!**

**IL CAPO DEL CENTRO NAZIONALE METEOMONT**
**(Ten. Col. RFI Emanuela Gini)**
**FIRMA AUTOGRAFA OMESSA AI SENSI**
**DELL'ART.3 DEL D.LGS N.39/1993**

According to EAWS standards Meteomont bulletin is a synoptic-scale system (regional scale). It shall be the user's responsibility to correlate the danger level evaluation of the bulletin with a detailed and expertise analysis of the zonal hazards (single slope), that could be markedly different. Meteorological forecast are issued at UTC (for Italy: in winter time UTC+1: in summer time UTC+2).

Bulletin is subjected to check processes through: the record of Observers and Avalanches and snow Experts data in C-Sifa; the validation by forecasters; the certification by Meteomont Section.