MINISTERO DELLA DIFESA

meteomont
Servizio Nazionale di previsione neve e valanghe

EAWS EUROPEAN AVALANCHE WARNING SERVICES

CARABINIERI

PREALPI LOMBARDE

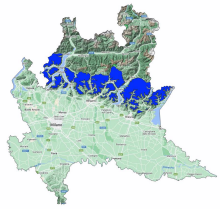

Avalanche Bulletin N. 344/2026 issued at 14:00 on 14/02/2026
48 hours validity. Next issue on 15/02/2026

By the METEOMONT Service of the ARMA dei CARABINIERI ITALY
In collaboration with Air Force Meteorological Service

Situation on 14/02/2026

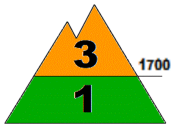

DANGER PATTERNS: deep persistent weak layer.



DANGER PATTERNS: rain on snow.

Snow line (m.a.s.l.)	North	South
	1100 - 1500	1400 - 1500

Snow depth (cm)	ground snow	new snow	Elevation (m.a.s.l.)
	45	5	1750
	15	0	1156

REGISTERED AVALANCHES: No avalanches detected.

FORECAST 15/02/2026

Danger level: CONSIDERABLE 3

DANGER PATTERNS: deep persistent weak layer.

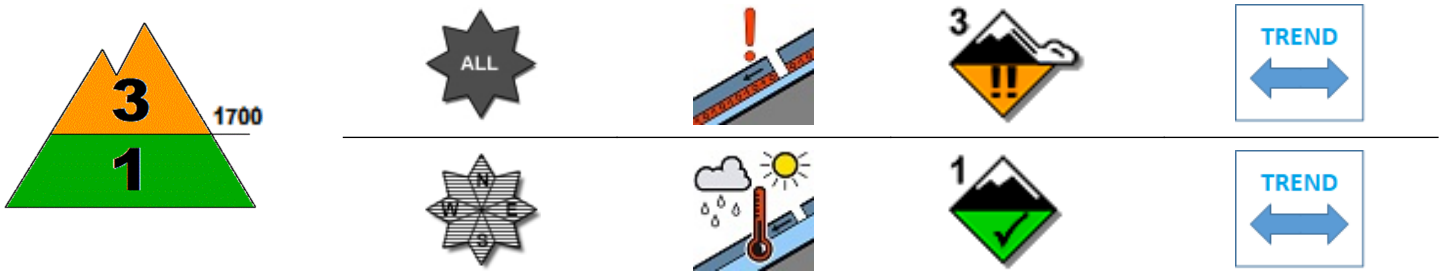

DANGER PATTERNS: springtime situation.

SNOWPACK: Snowpack stability is poor on some points (areas) above 1700 m.a.s.l. All aspects are critical. medium avalanches are possible.
Snowpack stability is very poor on few points (areas) below 1700 m.a.s.l. All Isolated slopes are critical. Small avalanches are possible.

WARNING

Due to the wind conditions forecast, avoid any accumulation zones, bowls, gullies and irregular leeward slopes.

EUROPEAN AVALANCHE WARNING SERVICE

AVALANCHE PROBLEMS

According to EAWS standards Meteomont bulletin is a synoptic-scale system (regional scale). It shall be the user's responsibility to correlate the danger level evaluation of the bulletin with a detailed and expertise analysis of the zonal hazards (single slope), that could be markedly different. Meteorological forecast are issued at UTC (for Italy: in winter time UTC+1: in summer time UTC+2).

Bulletin is subjected to check processes through: the record of Observers and Avalanches and snow Experts data in C-Sifa; the validation by forecasters; the certification by Meteomont Section.

MINISTERO DELLA DIFESA

meteomont
Servizio Nazionale di previsione neve e valanghe

EAWS EUROPEAN AVALANCHE WARNING SERVICES

CARABINIERI

PREALPI LOMBARDE

WEATHER FORECAST FOR

Elevation		15/02/2026 h6:00	15/02/2026 h12:00	15/02/2026 h18:00
1000	Wind	04 Knots from North	02 Knots from North	01 Knots from S-West
	Temperatures	-03 °C	-02 °C	-02 °C
	Wind chill	-6 °C	-2 °C	-2 °C
2000	Wind	08 Knots from North	03 Knots from North	01 Knots from S-West
	Temperatures	-03 °C	-02 °C	-03 °C
	Wind chill	-8 °C	-4 °C	-3 °C
3000	Wind	00 Calm	07 Knots from North	11 Knots from West
	Temperatures	-09 °C	-07 °C	-08 °C
	Wind chill	-9 °C	-13 °C	-15 °C
Freezing level		1100-1300 m.	1300-1500 m.	1200-1400 m.
Atmospheric phenomenon		—	—	—
Keys to sky condition				

KEYS TO ATMOSPHERIC PHENOMENON

— Absence of adverse weather phenomena
Fog
Mist
Light rain
Moderate rain
Heavy rain
Thunderstorm
Weak snowfall
Moderate snowfall
Heavy snowfall

KEYS TO SKY CONDITION

Clear
Partly cloudy
Cloudy
Mostly cloudy
Overcast

Weather and snow data recorded during field and out of field obsevations on 14/02/2026.

Observation field	District	Elevation (m.a.s.l.)	Snow depth (cm)	Snowfall in previous 24 hours (cm)	Temp. Min (°C)	Temp. Max (°C)	General weather conditions
RIFUGIO BRUNO	Alta Valle Intelvi (CO)	1156	15	0	+2	+13	Heavy or moderate rain and snow or drizzle
PIANI DI BOBBIO	Barzio (LC)	1724	67	6	-1	+3	Continuous light snow
PASSO MANIVA	Collio (BS)	1751	45	5	-3	+6	Continuous light snow

(*) Out of field survey

INFORMATION MEANS PREVENTION - SCAN QRCODE TO KNOW DAILY AVALANCHE DANGER LEVEL!

IL CAPO DEL CENTRO NAZIONALE METEOMONT
(Ten. Col. RFI Emanuela Gini)
FIRMA AUTOGRAFA OMESSA AI SENSI
DELL'ART.3 DEL D.LGS N.39/1993

According to EAWS standards Meteomont bulletin is a synoptic-scale system (regional scale). It shall be the user's responsibility to correlate the danger level evaluation of the bulletin with a detailed and expertise analysis of the zonal hazards (single slope), that could be markedly different. Meteorological forecast are issued at UTC (for Italy: in winter time UTC+1: in summer time UTC+2).

Bulletin is subjected to check processes through: the record of Observers and Avalanches and snow Experts data in C-Sifa; the validation by forecasters; the certification by Meteomont Section.