MINISTERO DELLA DIFESA

meteomont Servizio Nazionale di previsione neve e valanghe

EAWS EUROPEAN AVALANCHE WARNING SERVICES

CARABINIERI

# ALPI LIGURI NORD

Avalanche Bulletin N. 344/2026 issued at 14:00 on 13/02/2026
48 hours validity. Next issue on 14/02/2026

**By the METEOMONT Service of the ARMA dei CARABINIERI ITALY**
**In collaboration with Air Force Meteorological Service**

## Situation on 13/02/2026

**DANGER PATTERNS: loose snow and wind.**

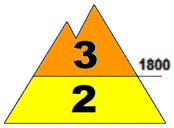

**DANGER PATTERNS: springtime situation.**

| Snow line (m.a.s.l.) | North | South |
|---|---|---|
| | 700 - 800 | 800 - 900 |

| Snow depth (cm) | ground snow | new snow | Elevation (m.a.s.l.) |
|---|---|---|---|
| | 188 | 000 | 1885 |
| | 184 | 000 | 1928 |

**REGISTERED AVALANCHES: Some medium avalanches, Gliding avalanches.**

## FORECAST 14/02/2026

# Danger level: HIGH 4

## DANGER PATTERNS: loose snow and wind.

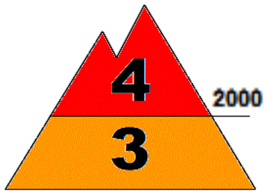


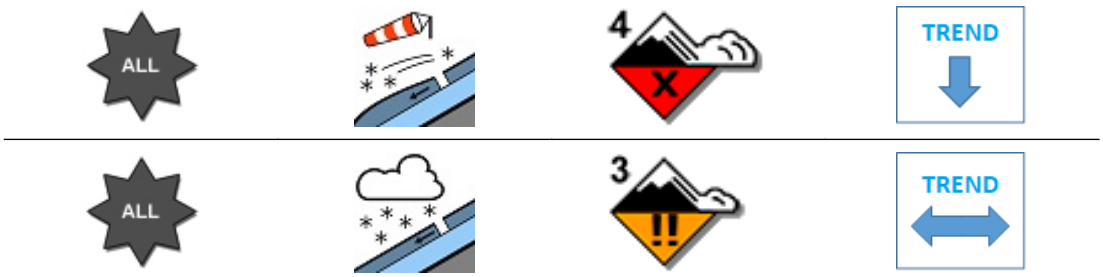


## DANGER PATTERNS: no distinct danger pattern.

**SNOWPACK: Snowpack stability is very poor on many points (areas) above 2000 m.a.s.l. All aspects are critical. large avalanches are possible.**
**Snowpack stability is very poor on many points (areas) below 2000 m.a.s.l. All aspects are critical. Medium avalanches are possible.**

## WARNING

Due to severe weather conditions forecast, do not attempt to practice outdoor activities beyond the maintained and marked tracks are not advised.

## EUROPEAN AVALANCHE WARNING SERVICE

## AVALANCHE PROBLEMS

According to EAWS standards Meteomont bulletin is a synoptic-scale system (regional scale). It shall be the user's responsibility to correlate the danger level evaluation of the bulletin with a detailed and expertise analysis of the zonal hazards (single slope), that could be markedly different. Meteorological forecast are issued at UTC (for Italy: in winter time UTC+1: in summer time UTC+2).

Bulletin is subjected to check processes through: the record of Observers and Avalanches and snow Experts data in C-Sifa; the validation by forecasters; the certification by Meteomont Section.

# ALPI LIGURI NORD

## WEATHER FORECAST FOR

| Elevation | | 14/02/2026 h6:00 | 14/02/2026 h12:00 | 14/02/2026 h18:00 |
|---|---|---|---|---|
| 1000 | Wind | 05 Knots from N-West | 06 Knots from N-West | 04 Knots from N-West |
| | Temperatures | -03 °C | -02 °C | +00 °C |
| | Wind chill | -7 °C | -6 °C | -3 °C |
| 2000 | Wind | 11 Knots from N-West | 14 Knots from North | 12 Knots from North |
| | Temperatures | -06 °C | -05 °C | -03 °C |
| | Wind chill | -13 °C | -12 °C | -9 °C |
| 3000 | Wind | 07 Knots from N-East | 15 Knots from North | 17 Knots from North |
| | Temperatures | -08 °C | -09 °C | -08 °C |
| | Wind chill | -14 °C | -18 °C | -17 °C |
| Freezing level | | 0900-1100 m. | 1100-1300 m. | 1200-1400 m. |
| Atmospheric phenomenon | | | | |
| Keys to sky condition | | | | |

## KEYS TO ATMOSPHERIC PHENOMENON

Absence of adverse weather phenomena · Fog · Mist · Light rain · Moderate rain · Heavy rain · Thunderstorm · Weak snowfall · Moderate snowfall · Heavy snowfall

## KEYS TO SKY CONDITION

Clear · Partly cloudy · Cloudy · Mostly cloudy · Overcast

## Weather and snow data recorded during field and out of field obsevations on 13/02/2026.

| Observation field | District | Elevation (m.a.s.l.) | Snow depth (cm) | Snowfall in previous 24 hours (cm) | Temp. Min (°C) | Temp. Max (°C) | General weather conditions |
|---|---|---|---|---|---|---|---|
| ALPETTA SOLE | Limone Piemonte (CN) | 1650 | 202 | 0 | N.P. | N.P. | Absence of rain or other precipitation |

**(*) Out of field survey**

**INFORMATION MEANS PREVENTION - SCAN QRCODE TO KNOW DAILY AVALANCHE DANGER LEVEL!**

**IL CAPO DEL CENTRO NAZIONALE METEOMONT**
**(Ten. Col. RFI Emanuela Gini)**
**FIRMA AUTOGRAFA OMESSA AI SENSI**
**DELL'ART.3 DEL D.LGS N.39/1993**