MINISTERO DELLA DIFESA

meteomont
Servizio Nazionale di previsione neve e valanghe

EAWS EUROPEAN AVALANCHE WARNING SERVICES

CARABINIERI

# APPENNINO LIGURE

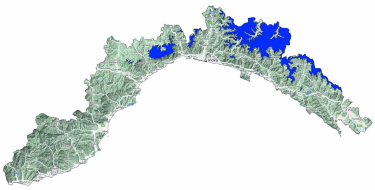

Avalanche Bulletin N. 222/2026 issued at 14:00 on 14/02/2026
48 hours validity. Next issue on 15/02/2026

**By the METEOMONT Service of the ARMA dei CARABINIERI ITALY**
**In collaboration with Air Force Meteorological Service**

## Situation on 14/02/2026

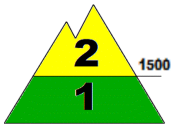


**DANGER PATTERNS: loose snow and wind.**




**DANGER PATTERNS: loose snow and wind.**

| Snow line (m.a.s.l.) | North | South |
|---|---|---|
| | 900 - 1100 | 900 - 1300 |

| Snow depth (cm) | ground snow | new snow | Elevation (m.a.s.l.) |
|---|---|---|---|
| | 100 | 20 | 1700 |
| | 45 | 15 | 1400 |

**REGISTERED AVALANCHES: No avalanches detected.**

## FORECAST 15/02/2026

## Danger level: MODERATE 2

## DANGER PATTERNS: loose snow and wind.




## DANGER PATTERNS: loose snow and wind.

**SNOWPACK: Snowpack stability is poor on few points (areas) above 1500 m.a.s.l. All Isolated slopes are critical. medium avalanches are possible.**
**Snowpack stability is moderate on few points (areas) below 1500 m.a.s.l. All aspects are critical. Small avalanches are possible.**

## WARNING

Meteomont recommends that you to always carry ARTVA, probe and shovel.

## EUROPEAN AVALANCHE WARNING SERVICE

## AVALANCHE PROBLEMS

According to EAWS standards Meteomont bulletin is a synoptic-scale system (regional scale). It shall be the user's responsibility to correlate the danger level evaluation of the bulletin with a detailed and expertise analysis of the zonal hazards (single slope), that could be markedly different. Meteorological forecast are issued at UTC (for Italy: in winter time UTC+1: in summer time UTC+2).

Bulletin is subjected to check processes through: the record of Observers and Avalanches and snow Experts data in C-Sifa; the validation by forecasters; the certification by Meteomont Section.

# APPENNINO LIGURE

## WEATHER FORECAST FOR

| Elevation | | 15/02/2026 h6:00 | 15/02/2026 h12:00 | 15/02/2026 h18:00 |
|---|---|---|---|---|
| 1000 | Wind | 04 Knots from North | 02 Knots from N-West | 03 Knots from S-West |
| | Temperatures | +01 °C | +05 °C | +02 °C |
| | Wind chill | -1 °C | 5 °C | 0 °C |
| 2000 | Wind | 12 Knots from North | 11 Knots from N-West | 08 Knots from S-West |
| | Temperatures | -02 °C | -01 °C | -02 °C |
| | Wind chill | -8 °C | -7 °C | -7 °C |
| 3000 | Wind | 12 Knots from North | 12 Knots from North | 12 Knots from N-West |
| | Temperatures | -07 °C | -06 °C | -05 °C |
| | Wind chill | -14 °C | -13 °C | -12 °C |
| Freezing level | | 1400-1600 m. | 1800-2000 m. | 1700-1900 m. |
| Atmospheric phenomenon | | — | — | — |
| Keys to sky condition | | | | |

## KEYS TO ATMOSPHERIC PHENOMENON

— Absence of adverse weather phenomena · Fog · Mist · Light rain · Moderate rain · Heavy rain · Thunderstorm · Weak snowfall · Moderate snowfall · Heavy snowfall

## KEYS TO SKY CONDITION

Clear · Partly cloudy · Cloudy · Mostly cloudy · Overcast

## Weather and snow data recorded during field and out of field obsevations on 14/02/2026.

| Observation field | District | Elevation (m.a.s.l.) | Snow depth (cm) | Snowfall in previous 24 hours (cm) | Temp. Min (°C) | Temp. Max (°C) | General weather conditions |
|---|---|---|---|---|---|---|---|
| CATOCCIA - VASCHE DI TIGLIETO | Rossiglione (GE) | 722 | 7 | 0 | N.P. | N.P. | Moderate rain |
| PRATO DEL PRINCIPE | Santo Stefano d'Aveto (GE) | 1386 | 42 | 12 | -2 | +12 | Moderate snow |
| ALBEROLA | Sassello (SV) | 958 | 15 | 0 | +0 | +13 | Fog with no visible sky |
| PASSO RASTRELLO | Sesta Godano (SP) | 1047 | 0 | 0 | N.P. | N.P. | Light rain |

(*) Out of field survey

**INFORMATION MEANS PREVENTION - SCAN QRCODE TO KNOW DAILY AVALANCHE DANGER LEVEL!**

**IL CAPO DEL CENTRO NAZIONALE METEOMONT**
**(Ten. Col. RFI Emanuela Gini)**
**FIRMA AUTOGRAFA OMESSA AI SENSI**
**DELL'ART.3 DEL D.LGS N.39/1993**

According to EAWS standards Meteomont bulletin is a synoptic-scale system (regional scale). It shall be the user's responsibility to correlate the danger level evaluation of the bulletin with a detailed and expertise analysis of the zonal hazards (single slope), that could be markedly different. Meteorological forecast are issued at UTC (for Italy: in winter time UTC+1: in summer time UTC+2).

Bulletin is subjected to check processes through: the record of Observers and Avalanches and snow Experts data in C-Sifa; the validation by forecasters; the certification by Meteomont Section.