MINISTERO DELLA DIFESA

meteomont
Servizio Nazionale di previsione neve e valanghe

EAWS EUROPEAN AVALANCHE WARNING SERVICES

CARABINIERI

APPENNINO LIGURE

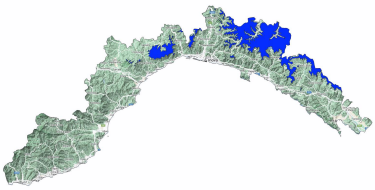

Avalanche Bulletin N. 222/2026 issued at 14:00 on 14/02/2026
48 hours validity. Next issue on 15/02/2026

By the METEOMONT Service of the ARMA dei CARABINIERI ITALY
In collaboration with Air Force Meteorological Service

Situation on 14/02/2026

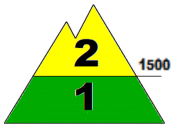

DANGER PATTERNS: loose snow and wind.



DANGER PATTERNS: loose snow and wind.

Snow line (m.a.s.l.)	North	South
	900 - 1100	900 - 1300

Snow depth (cm)	ground snow	new snow	Elevation (m.a.s.l.)
	100	20	1700
	45	15	1400

REGISTERED AVALANCHES: No avalanches detected.

FORECAST 15/02/2026

Danger level: MODERATE 2

DANGER PATTERNS: loose snow and wind.



DANGER PATTERNS: loose snow and wind.

SNOWPACK: Snowpack stability is poor on few points (areas) above 1500 m.a.s.l. All Isolated slopes are critical. medium avalanches are possible.
Snowpack stability is moderate on few points (areas) below 1500 m.a.s.l. All aspects are critical. Small avalanches are possible.

WARNING

Meteomont recommends that you to always carry ARTVA, probe and shovel.

EUROPEAN AVALANCHE WARNING SERVICE

AVALANCHE PROBLEMS

According to EAWS standards Meteomont bulletin is a synoptic-scale system (regional scale). It shall be the user's responsibility to correlate the danger level evaluation of the bulletin with a detailed and expertise analysis of the zonal hazards (single slope), that could be markedly different. Meteorological forecast are issued at UTC (for Italy: in winter time UTC+1: in summer time UTC+2).

Bulletin is subjected to check processes through: the record of Observers and Avalanches and snow Experts data in C-Sifa; the validation by forecasters; the certification by Meteomont Section.

APPENNINO LIGURE

WEATHER FORECAST FOR

Elevation		15/02/2026 h6:00	15/02/2026 h12:00	15/02/2026 h18:00
1000	Wind	04 Knots from North	02 Knots from N-West	03 Knots from S-West
	Temperatures	+01 °C	+05 °C	+02 °C
	Wind chill	-1 °C	5 °C	0 °C
2000	Wind	12 Knots from North	11 Knots from N-West	08 Knots from S-West
	Temperatures	-02 °C	-01 °C	-02 °C
	Wind chill	-8 °C	-7 °C	-7 °C
3000	Wind	12 Knots from North	12 Knots from North	12 Knots from N-West
	Temperatures	-07 °C	-06 °C	-05 °C
	Wind chill	-14 °C	-13 °C	-12 °C
Freezing level		1400-1600 m.	1800-2000 m.	1700-1900 m.
Atmospheric phenomenon		—	—	—
Keys to sky condition				

KEYS TO ATMOSPHERIC PHENOMENON

— Absence of adverse weather phenomena · Fog · Mist · Light rain · Moderate rain · Heavy rain · Thunderstorm · Weak snowfall · Moderate snowfall · Heavy snowfall

KEYS TO SKY CONDITION

Clear · Partly cloudy · Cloudy · Mostly cloudy · Overcast

Weather and snow data recorded during field and out of field obsevations on 14/02/2026.

Observation field	District	Elevation (m.a.s.l.)	Snow depth (cm)	Snowfall in previous 24 hours (cm)	Temp. Min (°C)	Temp. Max (°C)	General weather conditions
CATOCCIA - VASCHE DI TIGLIETO	Rossiglione (GE)	722	7	0	N.P.	N.P.	Moderate rain
PRATO DEL PRINCIPE	Santo Stefano d'Aveto (GE)	1386	42	12	-2	+12	Moderate snow
ALBEROLA	Sassello (SV)	958	15	0	+0	+13	Fog with no visible sky
PASSO RASTRELLO	Sesta Godano (SP)	1047	0	0	N.P.	N.P.	Light rain

(*) Out of field survey

INFORMATION MEANS PREVENTION - SCAN QRCODE TO KNOW DAILY AVALANCHE DANGER LEVEL!

IL CAPO DEL CENTRO NAZIONALE METEOMONT
(Ten. Col. RFI Emanuela Gini)
FIRMA AUTOGRAFA OMESSA AI SENSI
DELL'ART.3 DEL D.LGS N.39/1993

According to EAWS standards Meteomont bulletin is a synoptic-scale system (regional scale). It shall be the user's responsibility to correlate the danger level evaluation of the bulletin with a detailed and expertise analysis of the zonal hazards (single slope), that could be markedly different. Meteorological forecast are issued at UTC (for Italy: in winter time UTC+1: in summer time UTC+2).

Bulletin is subjected to check processes through: the record of Observers and Avalanches and snow Experts data in C-Sifa; the validation by forecasters; the certification by Meteomont Section.