MINISTERO DELLA DIFESA

meteomont
Servizio Nazionale di previsione neve e valanghe

EAWS EUROPEAN AVALANCHE WARNING SERVICES

CARABINIERI

MAJELLA

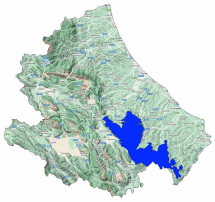

Avalanche Bulletin N. 333/2026 issued at 14:00 on 14/02/2026
48 hours validity. Next issue on 15/02/2026

By the METEOMONT Service of the ARMA dei CARABINIERI ITALY
In collaboration with Air Force Meteorological Service

Situation on 14/02/2026

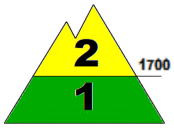

DANGER PATTERNS: loose snow and wind.

DANGER PATTERNS: springtime situation.

Snow line (m.a.s.l.)	North	South
	1500 - 1600	1800 - 1900

Snow depth (cm)	ground snow	new snow	Elevation (m.a.s.l.)
	016	000	1650
	000	000	1300

REGISTERED AVALANCHES: No avalanches detected.

FORECAST 15/02/2026

Danger level: MODERATE 2

DANGER PATTERNS: springtime situation.



DANGER PATTERNS: springtime situation.

SNOWPACK: Snowpack stability is moderate on some points (areas) above 1700 m.a.s.l. All Sunny slopes are critical. medium avalanches are possible.
Snowpack stability is moderate on many points (areas) below 1700 m.a.s.l. All Sunny slopes are critical. Small avalanches are possible.

WARNING

Due to current severe weather conditions, outdoor activities beyond the maintained and marked tracks are not advised.

EUROPEAN AVALANCHE WARNING SERVICE

AVALANCHE PROBLEMS

According to EAWS standards Meteomont bulletin is a synoptic-scale system (regional scale). It shall be the user's responsibility to correlate the danger level evaluation of the bulletin with a detailed and expertise analysis of the zonal hazards (single slope), that could be markedly different. Meteorological forecast are issued at UTC (for Italy: in winter time UTC+1: in summer time UTC+2).

Bulletin is subjected to check processes through: the record of Observers and Avalanches and snow Experts data in C-Sifa; the validation by forecasters; the certification by Meteomont Section.

MAJELLA

WEATHER FORECAST FOR

Elevation		15/02/2026 h6:00	15/02/2026 h12:00	15/02/2026 h18:00
1000	Wind	03 Knots from North	04 Knots from North	01 Knots from East
	Temperatures	+01 °C	-02 °C	+00 °C
	Wind chill	-1 °C	-5 °C	0 °C
2000	Wind	08 Knots from North	09 Knots from North	03 Knots from N-West
	Temperatures	-01 °C	-04 °C	+00 °C
	Wind chill	-6 °C	-10 °C	-2 °C
3000	Wind	10 Knots from North	08 Knots from North	09 Knots from N-West
	Temperatures	-07 °C	-07 °C	-07 °C
	Wind chill	-14 °C	-13 °C	-13 °C
Freezing level		1800-2000 m.	1300-1500 m.	1500-1700 m.
Atmospheric phenomenon				—
Keys to sky condition				

KEYS TO ATMOSPHERIC PHENOMENON

— Absence of adverse weather phenomena
Fog
Mist
Light rain
Moderate rain
Heavy rain
Thunderstorm
Weak snowfall
Moderate snowfall
Heavy snowfall

KEYS TO SKY CONDITION

Clear
Partly cloudy
Cloudy
Mostly cloudy
Overcast

Weather and snow data recorded during field and out of field obsevations on 14/02/2026.

Observation field	District	Elevation (m.a.s.l.)	Snow depth (cm)	Snowfall in previous 24 hours (cm)	Temp. Min (°C)	Temp. Max (°C)	General weather conditions
QUARTARANA	Campo di Giove (AQ)	1200	0	0	+3	+11	Intermittent light rain
PASSOLANCIANO	Lettomanoppello (PE)	1300	0	0	+2	+7	Absence of rain or other precipitation
VALICO DELLA FORCHETTA	Palena (CH)	1270	0	0	+1	+7	Moderate rain
VALLE DEL SOLE	Pizzoferrato (CH)	1440	0	0	+1	+7	Fog with no visible sky
MAIELETTA MAMMA ROSA	Pretoro (CH)	1650	16	0	-1	+6	Absence of rain or other precipitation

(*) Out of field survey

INFORMATION MEANS PREVENTION - SCAN QRCODE TO KNOW DAILY AVALANCHE DANGER LEVEL!

IL CAPO DEL CENTRO NAZIONALE METEOMONT
(Ten. Col. RFI Emanuela Gini)
FIRMA AUTOGRAFA OMESSA AI SENSI
DELL'ART.3 DEL D.LGS N.39/1993