MINISTERO DELLA DIFESA

meteomont Servizio Nazionale di previsione neve e valanghe

EAWS EUROPEAN AVALANCHE WARNING SERVICES

CARABINIERI

# MAINARDE-ALTO MOLISE

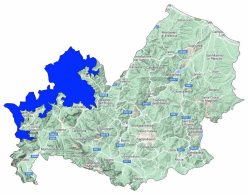

Avalanche Bulletin N. 294/2026 issued at 14:00 on 13/02/2026
48 hours validity. Next issue on 14/02/2026

**By the METEOMONT Service of the ARMA dei CARABINIERI ITALY**
**In collaboration with Air Force Meteorological Service**

## Situation on 13/02/2026

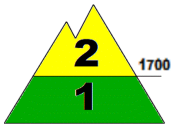


**DANGER PATTERNS: loose snow and wind.**




**DANGER PATTERNS: springtime situation.**

| Snow line (m.a.s.l.) | North | South |
|---|---|---|
| | 1500 - 1700 | 1700 - 1800 |

| Snow depth (cm) | ground snow | new snow | Elevation (m.a.s.l.) |
|---|---|---|---|
| | 000 | 000 | 1490 |
| | 000 | 000 | 1220 |

**REGISTERED AVALANCHES: No avalanches detected.**

## FORECAST 14/02/2026

## Danger level: MODERATE 2

### DANGER PATTERNS: loose snow and wind.




### DANGER PATTERNS: rain on snow.

**SNOWPACK: Snowpack stability is moderate on some points (areas) above 1700 m.a.s.l. All aspects are critical. medium avalanches are possible.**
**Snowpack stability is moderate on some points (areas) below 1700 m.a.s.l. All aspects are critical. Small avalanches are possible.**

## WARNING

Due to severe weather conditions forecast, do not attempt to practice outdoor activities beyond the maintained and marked tracks are not advised.

## EUROPEAN AVALANCHE WARNING SERVICE

## AVALANCHE PROBLEMS

According to EAWS standards Meteomont bulletin is a synoptic-scale system (regional scale). It shall be the user's responsibility to correlate the danger level evaluation of the bulletin with a detailed and expertise analysis of the zonal hazards (single slope), that could be markedly different. Meteorological forecast are issued at UTC (for Italy: in winter time UTC+1: in summer time UTC+2).

Bulletin is subjected to check processes through: the record of Observers and Avalanches and snow Experts data in C-Sifa; the validation by forecasters; the certification by Meteomont Section.

MINISTERO DELLA DIFESA

meteomont
Servizio Nazionale di previsione neve e valanghe

EAWS EUROPEAN AVALANCHE WARNING SERVICES

CARABINIERI

# MAINARDE-ALTO MOLISE

## WEATHER FORECAST FOR

| Elevation | | 14/02/2026 h6:00 | 14/02/2026 h12:00 | 14/02/2026 h18:00 |
|---|---|---|---|---|
| 1000 | Wind | 07 Knots from South | 06 Knots from South | 02 Knots from S-West |
| | Temperatures | +03 °C | +04 °C | +04 °C |
| | Wind chill | -0 °C | 1 °C | 4 °C |
| 2000 | Wind | 23 Knots from S-West | 19 Knots from South | 08 Knots from S-West |
| | Temperatures | -01 °C | -01 °C | -01 °C |
| | Wind chill | -9 °C | -8 °C | -6 °C |
| 3000 | Wind | 21 Knots from S-West | 17 Knots from S-West | 13 Knots from S-West |
| | Temperatures | -07 °C | -06 °C | -07 °C |
| | Wind chill | -17 °C | -14 °C | -15 °C |
| Freezing level | | 1800-2000 m. | 1800-2000 m. | 1800-2000 m. |
| Atmospheric phenomenon | | | | |
| Keys to sky condition | | | | |

## KEYS TO ATMOSPHERIC PHENOMENON

Absence of adverse weather phenomena · Fog · Mist · Light rain · Moderate rain · Heavy rain · Thunderstorm · Weak snowfall · Moderate snowfall · Heavy snowfall

## KEYS TO SKY CONDITION

Clear · Partly cloudy · Cloudy · Mostly cloudy · Overcast

## Weather and snow data recorded during field and out of field obsevations on 13/02/2026.

| Observation field | District | Elevation (m.a.s.l.) | Snow depth (cm) | Snowfall in previous 24 hours (cm) | Temp. Min (°C) | Temp. Max (°C) | General weather conditions |
|---|---|---|---|---|---|---|---|
| VALLE FIORITA | Pizzone (IS) | 1406 | 0 | 0 | 0 | +6 | Absence of rain or other precipitation |
| PRATO GENTILE | Capracotta (IS) | 1490 | 0 | 0 | 0 | +4 | Absence of rain or other precipitation |
| PESCOPENNATARO | Pescopennataro (IS) | 1220 | 0 | 0 | +2 | +8 | Absence of rain or other precipitation |

(*) Out of field survey

**INFORMATION MEANS PREVENTION - SCAN QRCODE TO KNOW DAILY AVALANCHE DANGER LEVEL!**

IL CAPO DEL CENTRO NAZIONALE METEOMONT
(Ten. Col. RFI Emanuela Gini)
FIRMA AUTOGRAFA OMESSA AI SENSI
DELL'ART.3 DEL D.LGS N.39/1993

According to EAWS standards Meteomont bulletin is a synoptic-scale system (regional scale). It shall be the user's responsibility to correlate the danger level evaluation of the bulletin with a detailed and expertise analysis of the zonal hazards (single slope), that could be markedly different. Meteorological forecast are issued at UTC (for Italy: in winter time UTC+1: in summer time UTC+2).

Bulletin is subjected to check processes through: the record of Observers and Avalanches and snow Experts data in C-Sifa; the validation by forecasters; the certification by Meteomont Section.