BUTLLETÍ DEL PERILL D'ALLAUS DEL PRINCIPAT D'ANDORRA

Prepared on 15/02/2026 16:00
Next update 16/02/2026 at 16 am

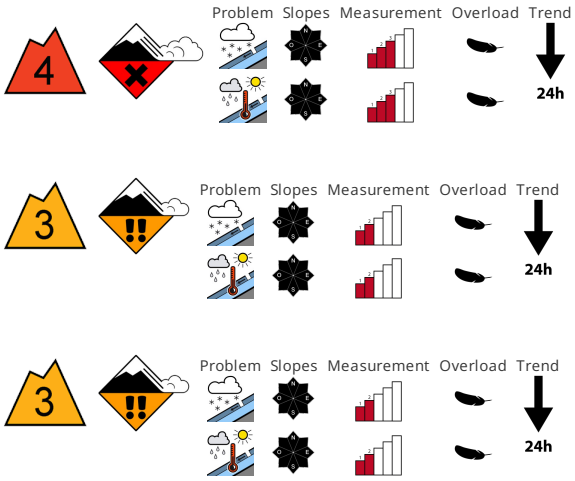

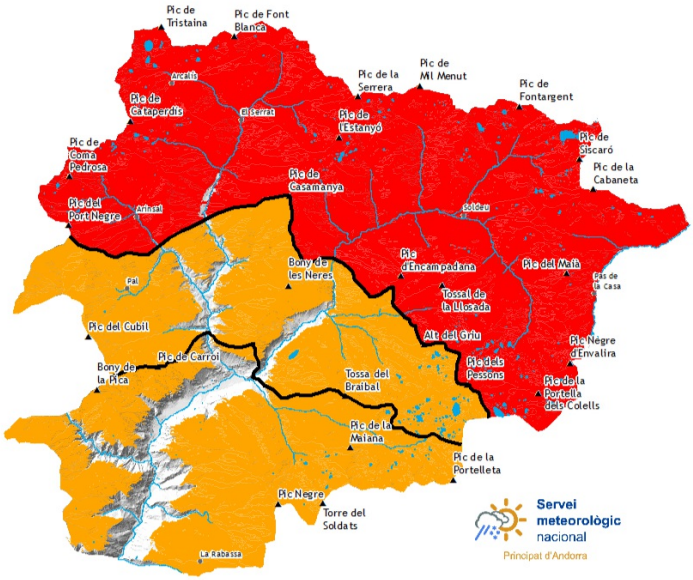

SNOW QUALITY

The new snow and wind slabs of Saturday must be evaluated with care and prudence. Further increase in danger of moist avalanches as a consequence of the precipitation. Medium-sized and, in isolated cases, large natural avalanches are to be expected especially in the regions exposed to heavier precipitation. The avalanche prone locations are numerous and are barely recognisable because of the poor visibility. The conditions are dangerous for backcountry touring and other off-piste activities. Careful route selection and spacing between individuals are recommended.

STABILITY OF THE SNOW MANTLE

As a consequence of new snow and wind the wind slabs have increased in size. Must be evaluated with care and prudence. Up to 2100 m rain will fall until Monday in particular in the north. The rain will give rise from the second half of the night to moistening of the snowpack over a wide area in particular at low and intermediate altitudes.

OFF-PISTE SNOW COVER THICKNESSES

North zone		Snow thickness		
Snowpack		1500m	2000m	2500m
N	1300 m	50 cm	150 cm	200 cm
S	1400 m	30 cm	100 cm	150 cm

Center area		Snow thickness		
Snowpack		1500m	2000m	2500m
N	1300 m	30 cm	150 cm	200 cm
S	1400 m	10 cm	100 cm	150 cm

South zone		Snow thickness		
Snowpack		1500m	2000m	2500m
N	1300 m	30 cm	120 cm	150 cm
S	1400 m	10 cm	60 cm	100 cm

BUTLLETÍ DEL PERILL D'ALLAUS DEL PRINCIPAT D'ANDORRA

Servei meteorològic nacional
Principat d'Andorra

Detailed information for protected areas

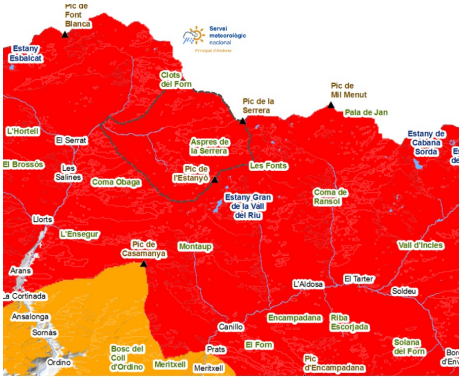

SORTENY

The snowfalls of the weekend have been consistent and have left thicknesses of new snow greater than 50 cm, shaped by the wind. The rain will moisten the mantle up to medium levels and the overload can bring down avalanches in a natural way Activities outside the controlled slopes require experience and great care in choosing the territory.

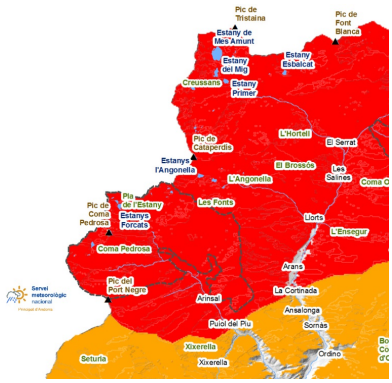

COMAPEDROSA

Mountain activities are not recommended until the recent snow has stabilized. Numerous natural avalanches are expected.

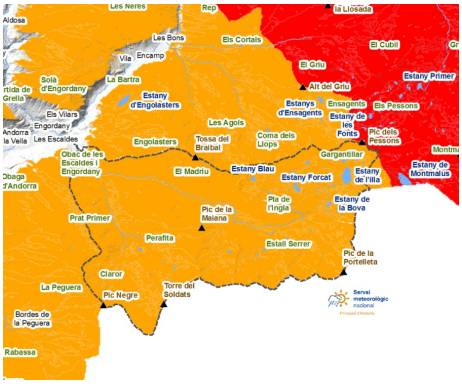

MADRIU-PERAFITA-CLAROR

There is also snow in the upper part of the Madriu, although the snowfall in the south of the country has been less intense, we also expect the formation of wind patches. The rain will moisten the recent snow at low altitudes, making access with skis difficult.

Govern d'Andorra

EAWS
EUROPEAN AVALANCHE WARNING SERVICES

Aquest butlletí ha estat elaborat seguint les normes i recomanacions de l'**European Avalanche Warning Services**, del qual el **Servei meteorològic Nacional** n'és membre

BUTLLETÍ DEL PERILL D'ALLAUS DEL PRINCIPAT D'ANDORRA

Servei meteorològic nacional
Principat d'Andorra

Thick snow in recent days (last 24 hours measured at 06:00 UTC)

	11/02/2026	12/02/2026	13/02/2026	14/02/2026
FEDA (Central)	0 cm	0 cm	0 cm	0 cm
Engolasters - FEDA	0 cm	0 cm	10 cm	3 cm
Bony de les Neres	0 cm	0 cm	14 cm	0 cm
Sorteny	17 cm	0 cm	36 cm	0 cm
Les Fonts d'Arinsal	9 cm	0 cm	18 cm	0 cm
Perafita	0 cm	0 cm	0 cm	12 cm
Tossa Espiolets	0 cm	0 cm	8 cm	3 cm
Grau Roig - FEDA	9 cm	0 cm	10 cm	0 cm
Fontverd	0 cm	0 cm	8 cm	13 cm
Ransol - FEDA	0 cm	0 cm	13 cm	2 cm
Setúria	0 cm	0 cm	8 cm	0 cm
Caborreu	9 cm	0 cm	8 cm	0 cm
Envalira Antenes	0 cm	0 cm	6 cm	8 cm