MINISTERO DELLA DIFESA

meteomont Servizio Nazionale di previsione neve e valanghe

EAWS EUROPEAN AVALANCHE WARNING SERVICES

CARABINIERI

ALPI CARNICHE OCCIDENTALI

Avalanche Bulletin N. 346/2026 issued at 14:00 on 15/02/2026
48 hours validity. Next issue on 16/02/2026

By the METEOMONT Service of the ARMA dei CARABINIERI ITALY
In collaboration with Air Force Meteorological Service

Situation on 15/02/2026

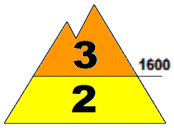

DANGER PATTERNS: loose snow and wind.

DANGER PATTERNS: springtime situation.

Snow line (m.a.s.l.)	North	South
	700	900 - 1000

Snow depth (cm)	ground snow	new snow	Elevation (m.a.s.l.)
	96	07	1870
	68	03	1414

REGISTERED AVALANCHES: -.

FORECAST 16/02/2026

Danger level: CONSIDERABLE 3

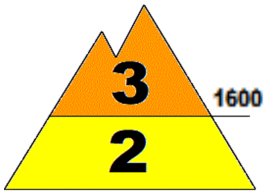

DANGER PATTERNS: loose snow and wind.

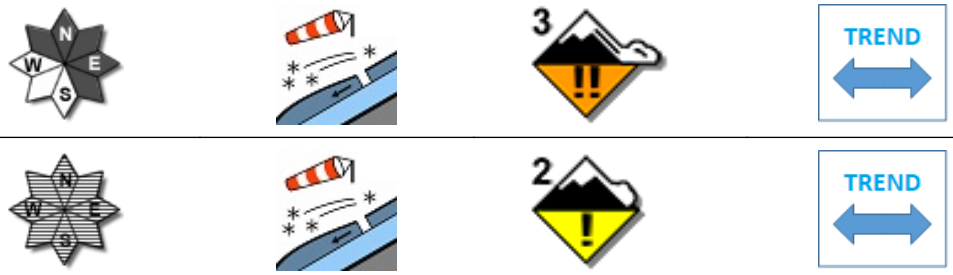

DANGER PATTERNS: loose snow and wind.

SNOWPACK: Snowpack stability is poor on many points (areas) above 1600 m.a.s.l. All are critical. medium avalanches are possible.
Snowpack stability is poor on few points (areas) below 1600 m.a.s.l. All Isolated slopes are critical. Medium avalanches are possible.

WARNING

Due to observed wind activity, avoid accumulation zones, bowls, gullies, irregular slopes and leeward slopes in general.

EUROPEAN AVALANCHE WARNING SERVICE

AVALANCHE PROBLEMS

According to EAWS standards Meteomont bulletin is a synoptic-scale system (regional scale). It shall be the user's responsibility to correlate the danger level evaluation of the bulletin with a detailed and expertise analysis of the zonal hazards (single slope), that could be markedly different. Meteorological forecast are issued at UTC (for Italy: in winter time UTC+1: in summer time UTC+2).

Bulletin is subjected to check processes through: the record of Observers and Avalanches and snow Experts data in C-Sifa; the validation by forecasters; the certification by Meteomont Section.

ALPI CARNICHE OCCIDENTALI

WEATHER FORECAST FOR

Elevation		16/02/2026 h6:00	16/02/2026 h12:00	16/02/2026 h18:00
1000	Wind	01 Knots from S-West	01 Knots from West	02 Knots from North
	Temperatures	-07 °C	-04 °C	-02 °C
	Wind chill	-7 °C	-4 °C	-2 °C
2000	Wind	03 Knots from S-West	02 Knots from West	03 Knots from North
	Temperatures	-07 °C	-05 °C	-04 °C
	Wind chill	-10 °C	-5 °C	-6 °C
3000	Wind	14 Knots from West	14 Knots from N-West	09 Knots from N-West
	Temperatures	-09 °C	-11 °C	-12 °C
	Wind chill	-18 °C	-20 °C	-20 °C
Freezing level		0600-0800 m.	1000-1200 m.	1000-1200 m.
Atmospheric phenomenon		—		—
Keys to sky condition				

KEYS TO ATMOSPHERIC PHENOMENON

— Absence of adverse weather phenomena
Fog
Mist
Light rain
Moderate rain
Heavy rain
Thunderstorm
Weak snowfall
Moderate snowfall
Heavy snowfall

KEYS TO SKY CONDITION

Clear
Partly cloudy
Cloudy
Mostly cloudy
Overcast

(*) Weather and snow data not available.

INFORMATION MEANS PREVENTION - SCAN QRCODE TO KNOW DAILY AVALANCHE DANGER LEVEL!

IL CAPO DEL CENTRO NAZIONALE METEOMONT
(Ten. Col. RFI Emanuela Gini)
FIRMA AUTOGRAFA OMESSA AI SENSI
DELL'ART.3 DEL D.LGS N.39/1993

According to EAWS standards Meteomont bulletin is a synoptic-scale system (regional scale). It shall be the user's responsibility to correlate the danger level evaluation of the bulletin with a detailed and expertise analysis of the zonal hazards (single slope), that could be markedly different. Meteorological forecast are issued at UTC (for Italy: in winter time UTC+1: in summer time UTC+2).

Bulletin is subjected to check processes through: the record of Observers and Avalanches and snow Experts data in C-Sifa; the validation by forecasters; the certification by Meteomont Section.