MINISTERO DELLA DIFESA

meteomont Servizio Nazionale di previsione neve e valanghe

EAWS EUROPEAN AVALANCHE WARNING SERVICES

CARABINIERI

In collaborazione con: arpav

DOLOMITI SETTENTRIONALI

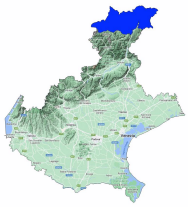

Avalanche Bulletin N. 346/2026 issued at 14:00 on 15/02/2026
48 hours validity. Next issue on 16/02/2026

By the METEOMONT Service of the ARMA dei CARABINIERI ITALY
In collaboration with Air Force Meteorological Service

Situation on 15/02/2026

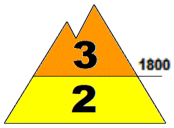

DANGER PATTERNS: no distinct danger pattern.



DANGER PATTERNS: springtime situation.

Snow line (m.a.s.l.)	North	South
	1000 - 1200	1500

Snow depth (cm)	ground snow	new snow	Elevation (m.a.s.l.)
	88	00	2349
	85	02	1930

REGISTERED AVALANCHES: Some medium avalanches, Slab surface avalanches.

FORECAST 16/02/2026

Danger level: CONSIDERABLE 3

DANGER PATTERNS: no distinct danger pattern.

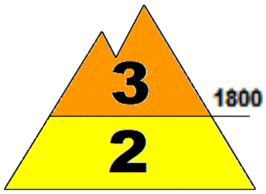

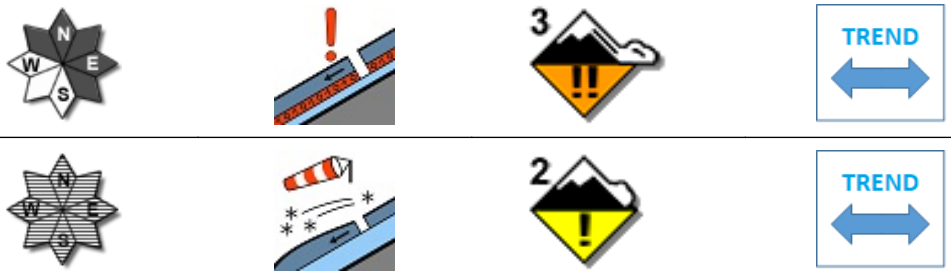

DANGER PATTERNS: deep persistent weak layer.

SNOWPACK: Snowpack stability is poor on many points (areas) above 1800 m.a.s.l. All are critical. medium avalanches are possible.
Snowpack stability is poor on some points (areas) below 1800 m.a.s.l. All Isolated slopes are critical. Medium avalanches are possible.

WARNING

Due to observed wind activity, avoid accumulation zones, bowls, gullies, irregular slopes and leeward slopes in general.

EUROPEAN AVALANCHE WARNING SERVICE

AVALANCHE PROBLEMS

According to EAWS standards Meteomont bulletin is a synoptic-scale system (regional scale). It shall be the user's responsibility to correlate the danger level evaluation of the bulletin with a detailed and expertise analysis of the zonal hazards (single slope), that could be markedly different. Meteorological forecast are issued at UTC (for Italy: in winter time UTC+1: in summer time UTC+2).

Bulletin is subjected to check processes through: the record of Observers and Avalanches and snow Experts data in C-Sifa; the validation by forecasters; the certification by Meteomont Section.

MINISTERO DELLA DIFESA

meteomont
Servizio Nazionale di previsione neve e valanghe

EAWS EUROPEAN AVALANCHE WARNING SERVICES

CARABINIERI

In collaborazione con: arpav

DOLOMITI SETTENTRIONALI

WEATHER FORECAST FOR

Elevation		16/02/2026 h6:00	16/02/2026 h12:00	16/02/2026 h18:00
1000	Wind	00 Calm	02 Knots from North	01 Knots from North
	Temperatures	-07 °C	-06 °C	-04 °C
	Wind chill	-7 °C	-6 °C	-4 °C
2000	Wind	02 Knots from West	04 Knots from N-West	03 Knots from North
	Temperatures	-06 °C	-04 °C	-04 °C
	Wind chill	-6 °C	-7 °C	-6 °C
3000	Wind	13 Knots from West	14 Knots from N-West	11 Knots from N-West
	Temperatures	-10 °C	-11 °C	-12 °C
	Wind chill	-19 °C	-20 °C	-20 °C
Freezing level		0100-0300 m.	0700-0900 m.	1000-1200 m.
Atmospheric phenomenon		—		—
Keys to sky condition				

KEYS TO ATMOSPHERIC PHENOMENON

Absence of adverse weather phenomena — Fog — Mist — Light rain — Moderate rain — Heavy rain — Thunderstorm

Weak snowfall — Moderate snowfall — Heavy snowfall

KEYS TO SKY CONDITION

Clear — Partly cloudy — Cloudy — Mostly cloudy — Overcast

Weather and snow data recorded during field and out of field obsevations on 15/02/2026.

Observation field	District	Elevation (m.a.s.l.)	Snow depth (cm)	Snowfall in previous 24 hours (cm)	Temp. Min (°C)	Temp. Max (°C)	General weather conditions
MISURINA	Auronzo di Cadore (BL)	1759	62	3	-6	+4	Absence of rain or other precipitation
MONTE AGUDO	Auronzo di Cadore (BL)	1530	65	3	-5	0	Absence of rain or other precipitation
MONTE FALORIA	Cortina d'Ampezzo (BL)	2119	77	4	-8	+2	Absence of rain or other precipitation
COL DELLA TENDA	Comelico Superiore (BL)	1930	85	2	-7	+2	Absence of rain or other precipitation
VAL TRAVENABZES *	Cortina d'Ampezzo (BL)	1762	55	3	N.P.	N.P.	Absence of rain or other precipitation
POMEDES *	Cortina d'Ampezzo (BL)	2349	88	N.P.	N.P.	N.P.	Absence of rain or other precipitation

(*) Out of field survey

INFORMATION MEANS PREVENTION - SCAN QRCODE TO KNOW DAILY AVALANCHE DANGER LEVEL!

IL CAPO DEL CENTRO NAZIONALE METEOMONT
(Ten. Col. RFI Emanuela Gini)
FIRMA AUTOGRAFA OMESSA AI SENSI
DELL'ART.3 DEL D.LGS N.39/1993

According to EAWS standards Meteomont bulletin is a synoptic-scale system (regional scale). It shall be the user's responsibility to correlate the danger level evaluation of the bulletin with a detailed and expertise analysis of the zonal hazards (single slope), that could be markedly different. Meteorological forecast are issued at UTC (for Italy: in winter time UTC+1: in summer time UTC+2).

Bulletin is subjected to check processes through: the record of Observers and Avalanches and snow Experts data in C-Sifa; the validation by forecasters; the certification by Meteomont Section.