MINISTERO DELLA DIFESA

meteomont Servizio Nazionale di previsione neve e valanghe

EAWS EUROPEAN AVALANCHE WARNING SERVICES

CARABINIERI

In collaborazione con: arpav

# DOLOMITI MERIDIONALI

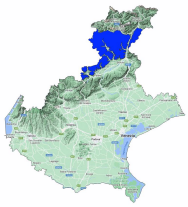

Avalanche Bulletin N. 347/2026 issued at 14:00 on 14/02/2026
48 hours validity. Next issue on 15/02/2026

**By the METEOMONT Service of the ARMA dei CARABINIERI ITALY**
**In collaboration with Air Force Meteorological Service**

## Situation on 14/02/2026

**DANGER PATTERNS: loose snow and wind.**

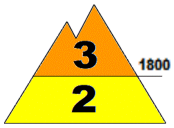

**DANGER PATTERNS: loose snow and wind.**

| Snow line (m.a.s.l.) | North | South |
|---|---|---|
| | 1000 - 1200 | 1400 - 1600 |

| Snow depth (cm) | ground snow | new snow | Elevation (m.a.s.l.) |
|---|---|---|---|
| | 97 | 01 | 1913 |
| | 66 | 01 | 1820 |

**REGISTERED AVALANCHES: -.**

## FORECAST 15/02/2026

# Danger level: CONSIDERABLE 3

## DANGER PATTERNS: loose snow and wind.




## DANGER PATTERNS: springtime situation.

**SNOWPACK: Snowpack stability is poor on many points (areas) above 1700 m.a.s.l. All are critical. medium avalanches are possible.**
**Snowpack stability is poor on few points (areas) below 1700 m.a.s.l. All aspects are critical. Medium avalanches are possible.**

## WARNING

Due to observed wind activity, avoid accumulation zones, bowls, gullies, irregular slopes and leeward slopes in general.

## EUROPEAN AVALANCHE WARNING SERVICE

5 - VERY HIGH | 4 - HIGH | 3 - CONSIDERABLE | 2 - MODERATE | 1 - LOW | NO SNOW | NO INFO

## AVALANCHE PROBLEMS

NEW SNOW | WIND - DRIFTED SNOW | PERSISTENT WEAK LAYERS | WET SNOW | GLIDING SNOW | SNOW CORNICES | NO EVIDENT AVALANCHE PROBLEM. | NO INFO

According to EAWS standards Meteomont bulletin is a synoptic-scale system (regional scale). It shall be the user's responsibility to correlate the danger level evaluation of the bulletin with a detailed and expertise analysis of the zonal hazards (single slope), that could be markedly different. Meteorological forecast are issued at UTC (for Italy: in winter time UTC+1: in summer time UTC+2).

Bulletin is subjected to check processes through: the record of Observers and Avalanches and snow Experts data in C-Sifa; the validation by forecasters; the certification by Meteomont Section.

MINISTERO DELLA DIFESA

meteomont
Servizio Nazionale di previsione neve e valanghe

EAWS EUROPEAN AVALANCHE WARNING SERVICES

CARABINIERI

In collaborazione con: arpav

# DOLOMITI MERIDIONALI

## WEATHER FORECAST FOR

| Elevation | | 15/02/2026 h6:00 | 15/02/2026 h12:00 | 15/02/2026 h18:00 |
|---|---|---|---|---|
| 1000 | Wind | 03 Knots from N-West | 00 Calm | 02 Knots from S-West |
| | Temperatures | +01 °C | +01 °C | -02 °C |
| | Wind chill | -1 °C | 1 °C | -2 °C |
| 2000 | Wind | 06 Knots from North | 01 Knots from East | 04 Knots from West |
| | Temperatures | -02 °C | -05 °C | -06 °C |
| | Wind chill | -6 °C | -5 °C | -10 °C |
| 3000 | Wind | 02 Knots from North | 07 Knots from West | 08 Knots from West |
| | Temperatures | -09 °C | -11 °C | -11 °C |
| | Wind chill | -9 °C | -17 °C | -18 °C |
| Freezing level | | 1500-1700 m. | 1300-1500 m. | 0900-1100 m. |
| Atmospheric phenomenon | | — | — | — |
| Keys to sky condition | | | | |

## KEYS TO ATMOSPHERIC PHENOMENON

— Absence of adverse weather phenomena
Fog
Mist
Light rain
Moderate rain
Heavy rain
Thunderstorm
Weak snowfall
Moderate snowfall
Heavy snowfall

## KEYS TO SKY CONDITION

Clear
Partly cloudy
Cloudy
Mostly cloudy
Overcast

## Weather and snow data recorded during field and out of field obsevations on 14/02/2026.

| Observation field | District | Elevation (m.a.s.l.) | Snow depth (cm) | Snowfall in previous 24 hours (cm) | Temp. Min (°C) | Temp. Max (°C) | General weather conditions |
|---|---|---|---|---|---|---|---|
| LE BUSE | Falcade (BL) | 1820 | 66 | 1 | -4 | +10 | Intermittent light snow |

(*) Out of field survey

**INFORMATION MEANS PREVENTION - SCAN QRCODE TO KNOW DAILY AVALANCHE DANGER LEVEL!**

**IL CAPO DEL CENTRO NAZIONALE METEOMONT**
**(Ten. Col. RFI Emanuela Gini)**
**FIRMA AUTOGRAFA OMESSA AI SENSI**
**DELL'ART.3 DEL D.LGS N.39/1993**

According to EAWS standards Meteomont bulletin is a synoptic-scale system (regional scale). It shall be the user's responsibility to correlate the danger level evaluation of the bulletin with a detailed and expertise analysis of the zonal hazards (single slope), that could be markedly different. Meteorological forecast are issued at UTC (for Italy: in winter time UTC+1: in summer time UTC+2).

Bulletin is subjected to check processes through: the record of Observers and Avalanches and snow Experts data in C-Sifa; the validation by forecasters; the certification by Meteomont Section.