MINISTERO DELLA DIFESA

meteomont
Servizio Nazionale di previsione neve e valanghe

EAWS EUROPEAN AVALANCHE WARNING SERVICES

CARABINIERI

# ALPI OROBICHE

Avalanche Bulletin N. 346/2026 issued at 14:00 on 15/02/2026
48 hours validity. Next issue on 16/02/2026

**By the METEOMONT Service of the ARMA dei CARABINIERI ITALY**
**In collaboration with Air Force Meteorological Service**

## Situation on 15/02/2026

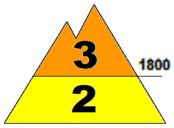


**DANGER PATTERNS: deep persistent weak layer.**

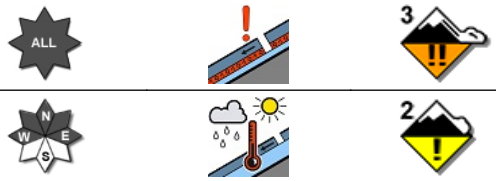


**DANGER PATTERNS: springtime situation.**

| Snow line (m.a.s.l.) | North | South |
|---|---|---|
| | 1200 | 1200 |

| Snow depth (cm) | ground snow | new snow | Elevation (m.a.s.l.) |
|---|---|---|---|
| | 125 | 0 | 2080 |
| | 066 | 0 | 1635 |

**REGISTERED AVALANCHES: No avalanches detected.**

## FORECAST 16/02/2026

# Danger level: CONSIDERABLE 3

## DANGER PATTERNS: deep persistent weak layer.

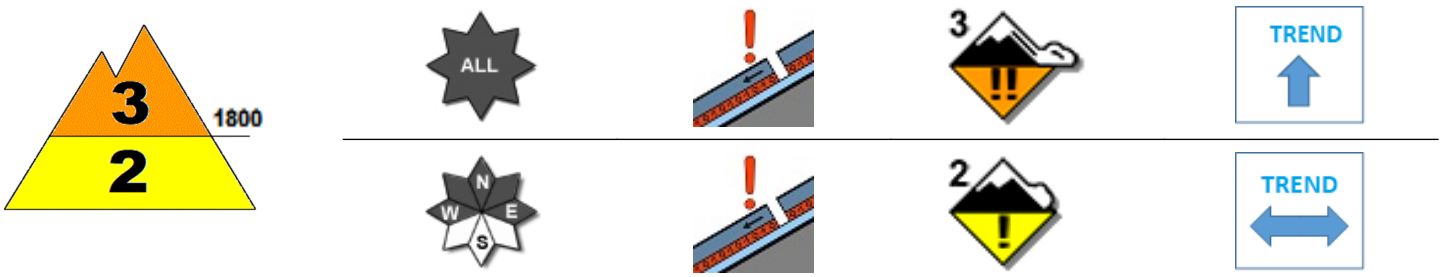


## DANGER PATTERNS: shallow snow next to deep snow.

**SNOWPACK: Snowpack stability is very poor on some points (areas) above 1800 m.a.s.l. All aspects are critical. medium avalanches are possible.**
**Snowpack stability is poor on few points (areas) below 1800 m.a.s.l. All From west to east-facing slopes are critical. Medium avalanches are possible.**

## WARNING

Due to observed wind activity, avoid accumulation zones, bowls, gullies, irregular slopes and leeward slopes in general.

## EUROPEAN AVALANCHE WARNING SERVICE

## AVALANCHE PROBLEMS

According to EAWS standards Meteomont bulletin is a synoptic-scale system (regional scale). It shall be the user's responsibility to correlate the danger level evaluation of the bulletin with a detailed and expertise analysis of the zonal hazards (single slope), that could be markedly different. Meteorological forecast are issued at UTC (for Italy: in winter time UTC+1: in summer time UTC+2).

Bulletin is subjected to check processes through: the record of Observers and Avalanches and snow Experts data in C-Sifa; the validation by forecasters; the certification by Meteomont Section.

# ALPI OROBICHE

## WEATHER FORECAST FOR

| Elevation | | 16/02/2026 h6:00 | 16/02/2026 h12:00 | 16/02/2026 h18:00 |
|---|---|---|---|---|
| 1000 | Wind | 01 Knots from North | 00 Calm | 02 Knots from North |
| | Temperatures | -04 °C | -02 °C | -03 °C |
| | Wind chill | -4 °C | -2 °C | -3 °C |
| 2000 | Wind | 01 Knots from West | 02 Knots from N-West | 06 Knots from North |
| | Temperatures | -04 °C | -03 °C | -04 °C |
| | Wind chill | -4 °C | -3 °C | -8 °C |
| 3000 | Wind | 11 Knots from West | 14 Knots from N-West | 18 Knots from N-West |
| | Temperatures | -09 °C | -10 °C | -11 °C |
| | Wind chill | -17 °C | -19 °C | -21 °C |
| Freezing level | | 1100-1300 m. | 1500-1700 m. | 1200-1400 m. |
| Atmospheric phenomenon | | | | — |
| Keys to sky condition | | | | |

## KEYS TO ATMOSPHERIC PHENOMENON

— Absence of adverse weather phenomena
Fog
Mist
Light rain
Moderate rain
Heavy rain
Thunderstorm
Weak snowfall
Moderate snowfall
Heavy snowfall

## KEYS TO SKY CONDITION

Clear
Partly cloudy
Cloudy
Mostly cloudy
Overcast

## Weather and snow data recorded during field and out of field obsevations on 15/02/2026.

| Observation field | District | Elevation (m.a.s.l.) | Snow depth (cm) | Snowfall in previous 24 hours (cm) | Temp. Min (°C) | Temp. Max (°C) | General weather conditions |
|---|---|---|---|---|---|---|---|
| VODALA | Gromo (BG) | 1635 | 66 | 3 | -1 | 0 | Absence of rain or other precipitation |
| QUARTA BAITA | Foppolo (BG) | 1760 | 63 | 0 | N.P. | N.P. | Absence of rain or other precipitation |

(*) Out of field survey

**INFORMATION MEANS PREVENTION - SCAN QRCODE TO KNOW DAILY AVALANCHE DANGER LEVEL!**

**IL CAPO DEL CENTRO NAZIONALE METEOMONT**
**(Ten. Col. RFI Emanuela Gini)**
**FIRMA AUTOGRAFA OMESSA AI SENSI**
**DELL'ART.3 DEL D.LGS N.39/1993**

According to EAWS standards Meteomont bulletin is a synoptic-scale system (regional scale). It shall be the user's responsibility to correlate the danger level evaluation of the bulletin with a detailed and expertise analysis of the zonal hazards (single slope), that could be markedly different. Meteorological forecast are issued at UTC (for Italy: in winter time UTC+1: in summer time UTC+2).

Bulletin is subjected to check processes through: the record of Observers and Avalanches and snow Experts data in C-Sifa; the validation by forecasters; the certification by Meteomont Section.