MINISTERO DELLA DIFESA

meteomont
Servizio Nazionale di previsione neve e valanghe

EAWS EUROPEAN AVALANCHE WARNING SERVICES

CARABINIERI

## ALPI LEPONTINE

Avalanche Bulletin N. 353/2026 issued at 14:00 on 15/02/2026
48 hours validity. Next issue on 16/02/2026
**By the METEOMONT Service of the ARMA dei CARABINIERI ITALY**
**In collaboration with Air Force Meteorological Service**

## Situation on 15/02/2026

**DANGER PATTERNS: loose snow and wind.**

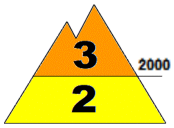





**DANGER PATTERNS: loose snow and wind.**

| Snow line (m.a.s.l.) | North | South |
|---|---|---|
| | 800 - 900 | 900 - 1100 |

| Snow depth (cm) | ground snow | new snow | Elevation (m.a.s.l.) |
|---|---|---|---|
| | 147 | 000 | 2453 |
| | 137 | 000 | 1798 |

**REGISTERED AVALANCHES: -.**

## FORECAST 16/02/2026

# Danger level: CONSIDERABLE 3

## DANGER PATTERNS: loose snow and wind.




## DANGER PATTERNS: loose snow and wind.

**SNOWPACK: Snowpack stability is very poor on some points (areas) above 2000 m.a.s.l. All aspects are critical. large avalanches are possible.**
**Snowpack stability is poor on many points (areas) below 2000 m.a.s.l. All aspects are critical. Medium avalanches are possible.**

## WARNING

Due to severe weather conditions forecast, do not attempt to practice outdoor activities beyond the maintained and marked tracks are not advised.

## EUROPEAN AVALANCHE WARNING SERVICE

## AVALANCHE PROBLEMS

According to EAWS standards Meteomont bulletin is a synoptic-scale system (regional scale). It shall be the user's responsibility to correlate the danger level evaluation of the bulletin with a detailed and expertise analysis of the zonal hazards (single slope), that could be markedly different. Meteorological forecast are issued at UTC (for Italy: in winter time UTC+1: in summer time UTC+2).

Bulletin is subjected to check processes through: the record of Observers and Avalanches and snow Experts data in C-Sifa; the validation by forecasters; the certification by Meteomont Section.

MINISTERO DELLA DIFESA

meteomont
Servizio Nazionale di previsione neve e valanghe

EAWS EUROPEAN AVALANCHE WARNING SERVICES

CARABINIERI

# ALPI LEPONTINE

## WEATHER FORECAST FOR

| Elevation | | 16/02/2026 h6:00 | 16/02/2026 h12:00 | 16/02/2026 h18:00 |
|---|---|---|---|---|
| 1000 | Wind | 00 Calm | 00 Calm | 01 Knots from N-West |
| | Temperatures | -04 °C | -03 °C | -04 °C |
| | Wind chill | -4 °C | -3 °C | -4 °C |
| 2000 | Wind | 02 Knots from S-West | 01 Knots from North | 03 Knots from N-West |
| | Temperatures | -04 °C | -04 °C | -06 °C |
| | Wind chill | -4 °C | -4 °C | -9 °C |
| 3000 | Wind | 08 Knots from West | 08 Knots from N-West | 15 Knots from N-West |
| | Temperatures | -09 °C | -11 °C | -13 °C |
| | Wind chill | -15 °C | -18 °C | -23 °C |
| Freezing level | | 1000-1200 m. | 1100-1300 m. | 1000-1200 m. |
| Atmospheric phenomenon | | | | |
| Keys to sky condition | | | | |

## KEYS TO ATMOSPHERIC PHENOMENON

Absence of adverse weather phenomena · Fog · Mist · Light rain · Moderate rain · Heavy rain · Thunderstorm

Weak snowfall · Moderate snowfall · Heavy snowfall

## KEYS TO SKY CONDITION

Clear · Partly cloudy · Cloudy · Mostly cloudy · Overcast

**(*) Weather and snow data not available.**

**INFORMATION MEANS PREVENTION - SCAN QRCODE TO KNOW DAILY AVALANCHE DANGER LEVEL!**

**IL CAPO DEL CENTRO NAZIONALE METEOMONT**
**(Ten. Col. RFI Emanuela Gini)**
**FIRMA AUTOGRAFA OMESSA AI SENSI**
**DELL'ART.3 DEL D.LGS N.39/1993**

According to EAWS standards Meteomont bulletin is a synoptic-scale system (regional scale). It shall be the user's responsibility to correlate the danger level evaluation of the bulletin with a detailed and expertise analysis of the zonal hazards (single slope), that could be markedly different. Meteorological forecast are issued at UTC (for Italy: in winter time UTC+1: in summer time UTC+2).

Bulletin is subjected to check processes through: the record of Observers and Avalanches and snow Experts data in C-Sifa; the validation by forecasters; the certification by Meteomont Section.