MINISTERO DELLA DIFESA

meteomont
Servizio Nazionale di previsione neve e valanghe

EAWS EUROPEAN AVALANCHE WARNING SERVICES

CARABINIERI

ALPI PENNINE

Avalanche Bulletin N. 347/2026 issued at 14:00 on 15/02/2026
48 hours validity. Next issue on 16/02/2026
By the METEOMONT Service of the ARMA dei CARABINIERI ITALY
In collaboration with Air Force Meteorological Service

Situation on 15/02/2026

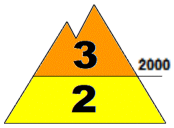

DANGER PATTERNS: loose snow and wind.



DANGER PATTERNS: loose snow and wind.

Snow line (m.a.s.l.)	North	South
	800 - 1000	1100 - 1200

Snow depth (cm)	ground snow	new snow	Elevation (m.a.s.l.)
	139	000	2410
	076	000	1515

REGISTERED AVALANCHES: Small avalanches, Both types of surface avalanches.

FORECAST 16/02/2026

Danger level: CONSIDERABLE 3

DANGER PATTERNS: loose snow and wind.



DANGER PATTERNS: loose snow and wind.

SNOWPACK: Snowpack stability is very poor on many points (areas) above 2000 m.a.s.l. All aspects are critical. medium avalanches are possible.
Snowpack stability is poor on many points (areas) below 2000 m.a.s.l. All aspects are critical. Medium avalanches are possible.

WARNING

Due to severe weather conditions forecast, do not attempt to practice outdoor activities beyond the maintained and marked tracks are not advised.

EUROPEAN AVALANCHE WARNING SERVICE

AVALANCHE PROBLEMS

According to EAWS standards Meteomont bulletin is a synoptic-scale system (regional scale). It shall be the user's responsibility to correlate the danger level evaluation of the bulletin with a detailed and expertise analysis of the zonal hazards (single slope), that could be markedly different. Meteorological forecast are issued at UTC (for Italy: in winter time UTC+1: in summer time UTC+2).

Bulletin is subjected to check processes through: the record of Observers and Avalanches and snow Experts data in C-Sifa; the validation by forecasters; the certification by Meteomont Section.

ALPI PENNINE

WEATHER FORECAST FOR

Elevation		16/02/2026 h6:00	16/02/2026 h12:00	16/02/2026 h18:00
1000	Wind	02 Knots from West	03 Knots from West	03 Knots from West
	Temperatures	-01 °C	+02 °C	-03 °C
	Wind chill	-1 °C	0 °C	-5 °C
2000	Wind	05 Knots from West	09 Knots from West	06 Knots from N-West
	Temperatures	-02 °C	-03 °C	-05 °C
	Wind chill	-5 °C	-8 °C	-10 °C
3000	Wind	13 Knots from N-West	21 Knots from N-West	20 Knots from N-West
	Temperatures	-08 °C	-10 °C	-12 °C
	Wind chill	-16 °C	-21 °C	-23 °C
Freezing level		1200-1400 m.	1600-1800 m.	1000-1200 m.
Atmospheric phenomenon				
Keys to sky condition				

KEYS TO ATMOSPHERIC PHENOMENON

Absence of adverse weather phenomena · Fog · Mist · Light rain · Moderate rain · Heavy rain · Thunderstorm · Weak snowfall · Moderate snowfall · Heavy snowfall

KEYS TO SKY CONDITION

Clear · Partly cloudy · Cloudy · Mostly cloudy · Overcast

Weather and snow data recorded during field and out of field obsevations on 15/02/2026.

Observation field	District	Elevation (m.a.s.l.)	Snow depth (cm)	Snowfall in previous 24 hours (cm)	Temp. Min (°C)	Temp. Max (°C)	General weather conditions
ALPE LUSENTINO	Domodossola (VB)	1184	16	0	+1	+7	Absence of rain or other precipitation
OPACO DI PECETTO	Macugnaga (VB)	1330	60	0	N.P.	N.P.	Absence of rain or other precipitation

(*) Out of field survey

INFORMATION MEANS PREVENTION - SCAN QRCODE TO KNOW DAILY AVALANCHE DANGER LEVEL!

IL CAPO DEL CENTRO NAZIONALE METEOMONT
(Ten. Col. RFI Emanuela Gini)
FIRMA AUTOGRAFA OMESSA AI SENSI
DELL'ART.3 DEL D.LGS N.39/1993

According to EAWS standards Meteomont bulletin is a synoptic-scale system (regional scale). It shall be the user's responsibility to correlate the danger level evaluation of the bulletin with a detailed and expertise analysis of the zonal hazards (single slope), that could be markedly different. Meteorological forecast are issued at UTC (for Italy: in winter time UTC+1: in summer time UTC+2).

Bulletin is subjected to check processes through: the record of Observers and Avalanches and snow Experts data in C-Sifa; the validation by forecasters; the certification by Meteomont Section.