## P.N. ABRUZZO

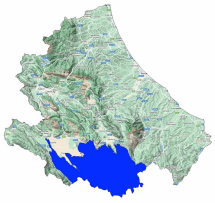

Avalanche Bulletin N. 302/2026 issued at 14:00 on 15/02/2026
48 hours validity. Next issue on 16/02/2026

**By the METEOMONT Service of the ARMA dei CARABINIERI ITALY**
**In collaboration with Air Force Meteorological Service**

## Situation on 15/02/2026

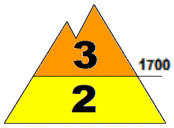


**DANGER PATTERNS: loose snow and wind.**




**DANGER PATTERNS: springtime situation.**

| Snow line (m.a.s.l.) | North | South |
|---|---|---|
| | 1400 - 1500 | 1800 - 1900 |

| Snow depth (cm) | ground snow | new snow | Elevation (m.a.s.l.) |
|---|---|---|---|
| | 040 | 004 | 1480 |
| | 019 | 002 | 1470 |

**REGISTERED AVALANCHES: No avalanches detected.**

## FORECAST 16/02/2026

# Danger level: CONSIDERABLE 3

## DANGER PATTERNS: loose snow and wind.




## DANGER PATTERNS: springtime situation.

**SNOWPACK: Snowpack stability is poor on some points (areas) above 1700 m.a.s.l. All From South to North – facing slopes are critical. large avalanches are possible.**
**Snowpack stability is poor on some points (areas) below 1700 m.a.s.l. All Isolated slopes are critical. Medium avalanches are possible.**

## WARNING

Due to current severe weather conditions, outdoor activities beyond the maintained and marked tracks are not advised.

## EUROPEAN AVALANCHE WARNING SERVICE

## AVALANCHE PROBLEMS

According to EAWS standards Meteomont bulletin is a synoptic-scale system (regional scale). It shall be the user's responsibility to correlate the danger level evaluation of the bulletin with a detailed and expertise analysis of the zonal hazards (single slope), that could be markedly different. Meteorological forecast are issued at UTC (for Italy: in winter time UTC+1: in summer time UTC+2).

Bulletin is subjected to check processes through: the record of Observers and Avalanches and snow Experts data in C-Sifa; the validation by forecasters; the certification by Meteomont Section.

MINISTERO DELLA DIFESA

meteomont
Servizio Nazionale di previsione neve e valanghe

EAWS EUROPEAN AVALANCHE WARNING SERVICES

CARABINIERI

# P.N. ABRUZZO

## WEATHER FORECAST FOR

| Elevation | | 16/02/2026 h6:00 | 16/02/2026 h12:00 | 16/02/2026 h18:00 |
|---|---|---|---|---|
| 1000 | Wind | 01 Knots from S-West | 01 Knots from South | 03 Knots from West |
| | Temperatures | +00 °C | +03 °C | +02 °C |
| | Wind chill | 0 °C | 3 °C | 0 °C |
| 2000 | Wind | 06 Knots from West | 10 Knots from West | 08 Knots from West |
| | Temperatures | -02 °C | +01 °C | -01 °C |
| | Wind chill | -6 °C | -4 °C | -6 °C |
| 3000 | Wind | 12 Knots from N-West | 19 Knots from West | 19 Knots from West |
| | Temperatures | -05 °C | -06 °C | -06 °C |
| | Wind chill | -12 °C | -15 °C | -15 °C |
| Freezing level | | 1400-1600 m. | 2200-2400 m. | 1700-1900 m. |
| Atmospheric phenomenon | | — | — | |
| Keys to sky condition | | | | |

## KEYS TO ATMOSPHERIC PHENOMENON

— Absence of adverse weather phenomena
Fog
Mist
Light rain
Moderate rain
Heavy rain
Thunderstorm
Weak snowfall
Moderate snowfall
Heavy snowfall

## KEYS TO SKY CONDITION

Clear
Partly cloudy
Cloudy
Mostly cloudy
Overcast

## Weather and snow data recorded during field and out of field obsevations on 15/02/2026.

| Observation field | District | Elevation (m.a.s.l.) | Snow depth (cm) | Snowfall in previous 24 hours (cm) | Temp. Min (°C) | Temp. Max (°C) | General weather conditions |
|---|---|---|---|---|---|---|---|
| FORCA D'ACERO | Pescasseroli (AQ) | 1480 | 40 | 4 | 0 | +4 | Absence of rain or other precipitation |
| VALLE GELATA | Pescocostanzo (AQ) | 1466 | 2 | 2 | +1 | +5 | Moderate snow |
| LA PESCINA | Rivisondoli (AQ) | 1470 | 19 | 2 | N.P. | N.P. | Moderate rain |
| PIANO AREMOGNA | Roccaraso (AQ) | 1456 | 2 | 2 | +1 | +4 | Light rain |
| MIMOLA | Scanno (AQ) | 1495 | 2 | 2 | 0 | +10 | Light rain |

(*) Out of field survey

**INFORMATION MEANS PREVENTION - SCAN QRCODE TO KNOW DAILY AVALANCHE DANGER LEVEL!**

**IL CAPO DEL CENTRO NAZIONALE METEOMONT**
**(Ten. Col. RFI Emanuela Gini)**
**FIRMA AUTOGRAFA OMESSA AI SENSI**
**DELL'ART.3 DEL D.LGS N.39/1993**

According to EAWS standards Meteomont bulletin is a synoptic-scale system (regional scale). It shall be the user's responsibility to correlate the danger level evaluation of the bulletin with a detailed and expertise analysis of the zonal hazards (single slope), that could be markedly different. Meteorological forecast are issued at UTC (for Italy: in winter time UTC+1: in summer time UTC+2).

Bulletin is subjected to check processes through: the record of Observers and Avalanches and snow Experts data in C-Sifa; the validation by forecasters; the certification by Meteomont Section.