Tuesday 17.02.2026

Published 16 02 2026, 17:00

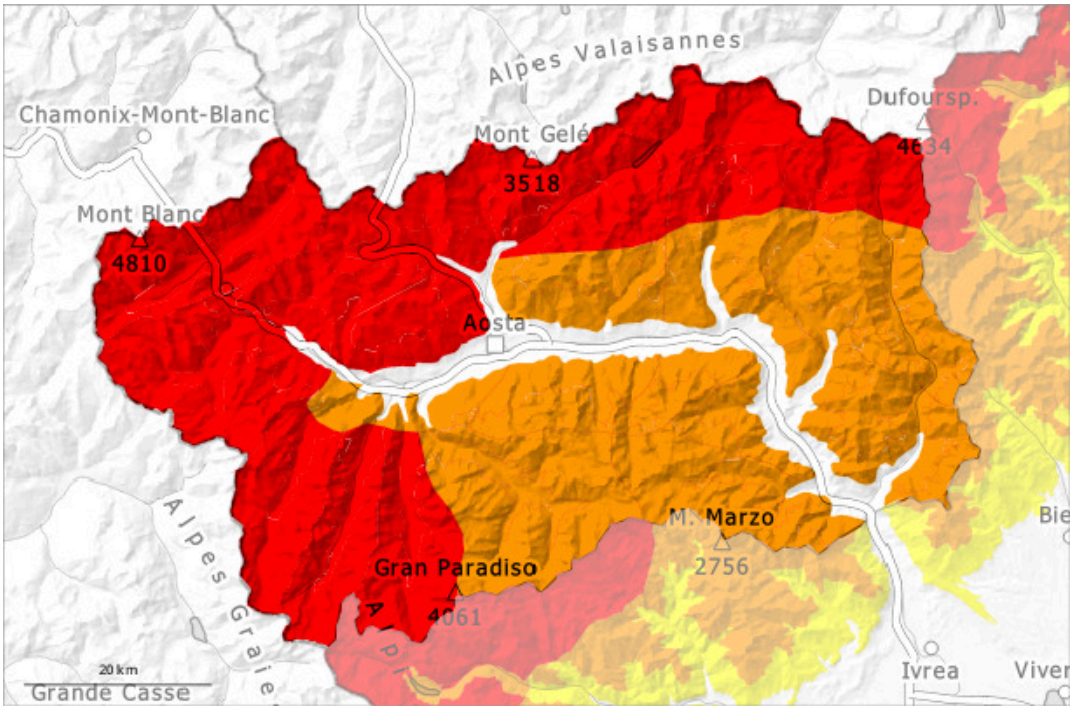

1	2	3	4	5
low	moderate	considerable	high	very high

Danger Level 4 - High

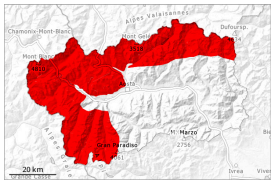

Tendency: Decreasing avalanche danger
on Wednesday 18 02 2026

Wind slab

1800m

New snow

Further increase in danger of dry avalanches as a consequence of new snow and strong wind.

As a consequence of snowfall above approximately 1000 m and the occasionally storm force northwesterly wind, the snow drift accumulations will increase in size in the course of the day. Towards the southeast the prevalence and size of the avalanche prone locations will increase.
Especially on very steep slopes and on wind-loaded slopes numerous medium-sized and, in many cases, large natural avalanches are to be expected. Here the avalanches can be triggered in deep layers of the snowpack and reach very large size.
In the typical avalanche paths in particular the avalanches can reach as far as the valley bottom and endanger transportation routes that are exposed.
The conditions are very precarious for backcountry touring and other off-piste activities outside marked and open pistes.
Remotely triggered avalanches are possible. Single winter sport participants can release avalanches, including large ones. Caution is to be exercised on steep slopes, and in gullies and bowls, and behind abrupt changes in the terrain.

Snowpack

Danger patterns dp.6: cold, loose snow and wind | dp.1: deep persistent weak layer

Over a wide area 40 to 60 cm of snow, and up to 80 cm in some localities, will fall until late in the night above approximately 1500 m. Over a wide area 10 to 25 cm of snow will fall until Tuesday above approximately 1000 m. On Monday the wind was strong to storm force over a wide area. Until Tuesday the wind will be strong to storm force over a wide area.
The fresh snow as well as the wind slabs that are forming during the snowfall will become increasingly prone to triggering.
The snowpack is unfavourably layered.
Adjacent to ridgelines and in pass areas snow depths vary greatly, depending on the infuence of the wind.
Several medium-sized to large natural dry avalanches have been released as the day progresses. Several slab avalanches have been released in the last few days.

Tendency

The weather conditions will facilitate a gradual strengthening of the snowpack.

Danger Level 3 - Considerable

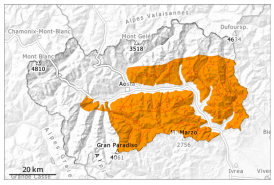

Tendency: Constant avalanche danger
on Wednesday 18 02 2026

Wind slab

1800m

New snow

Gradual increase in danger of dry avalanches as a consequence of new snow and strong wind.

As a consequence of new snow and strong wind the prevalence and size of the avalanche prone locations will increase.
High-altitude starting zones will be replenished further as a consequence of snowfall and wind.
Especially on very steep slopes and on wind-loaded slopes medium-sized natural avalanches are possible.
In some places the avalanches can be triggered in the old snow and reach quite a large size.
Remotely triggered avalanches are possible. Weak layers in the old snowpack necessitate caution.
Whumpfing sounds and the formation of shooting cracks when stepping on the snowpack serve as an alarm sign.
Single winter sport participants can release avalanches. Caution is to be exercised on steep slopes, and in gullies and bowls, and behind abrupt changes in the terrain.

Snowpack

Danger patterns dp.6: cold, loose snow and wind | dp.1: deep persistent weak layer

Over a wide area 15 to 40 cm of snow will fall until late in the night above approximately 1600 m. Over a wide area 10 to 20 cm of snow will fall until Tuesday above approximately 1200 m. The wind will be strong to storm force.
Adjacent to ridgelines and in pass areas snow depths vary greatly, depending on the infuence of the wind.
The snowpack is unfavourably layered.
Faceted weak layers exist in the old snowpack in particular on west, north and east facing slopes.

Tendency

The weather conditions will facilitate a slow strengthening of the snowpack.