MINISTERO DELLA DIFESA

meteomont Servizio Nazionale di previsione neve e valanghe

EAWS EUROPEAN AVALANCHE WARNING SERVICES

CARABINIERI

In collaborazione con: arpav

DOLOMITI MERIDIONALI

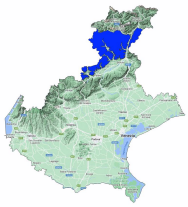

Avalanche Bulletin N. 349/2026 issued at 14:00 on 16/02/2026
48 hours validity. Next issue on 17/02/2026

By the METEOMONT Service of the ARMA dei CARABINIERI ITALY
In collaboration with Air Force Meteorological Service

Situation on 16/02/2026

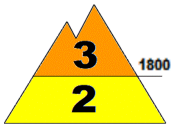

DANGER PATTERNS: loose snow and wind.

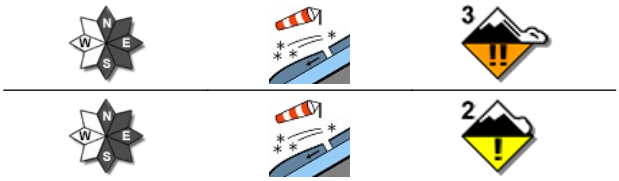

DANGER PATTERNS: loose snow and wind.

Snow line (m.a.s.l.)	North	South
	1000 - 1200	1400 - 1600

Snow depth (cm)	ground snow	new snow	Elevation (m.a.s.l.)
	071	00	2369
	100	000	1860

REGISTERED AVALANCHES: Some medium avalanches, Surface loose snow avalanches.

FORECAST 17/02/2026

Danger level: CONSIDERABLE 3

DANGER PATTERNS: loose snow and wind.

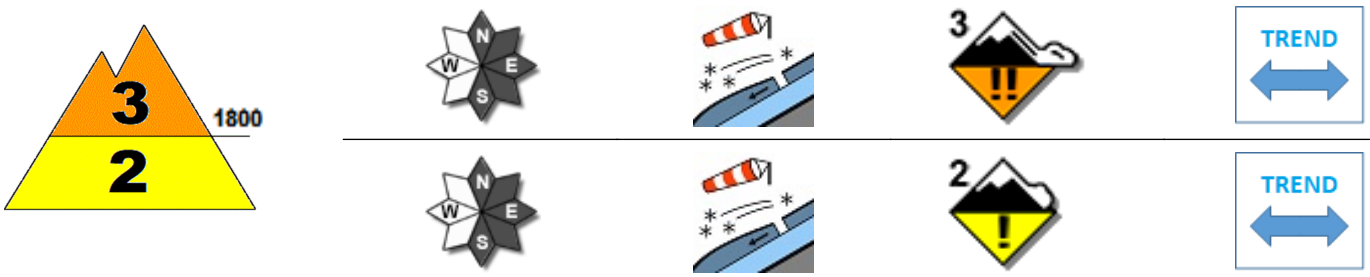

DANGER PATTERNS: loose snow and wind.

SNOWPACK: Snowpack stability is poor on many points (areas) above 1800 m.a.s.l. All From North to South - facing slopes are critical. medium avalanches are possible.
Snowpack stability is poor on few points (areas) below 1800 m.a.s.l. All From North to South -facing slopes are critical. Medium avalanches are possible.

WARNING

Due to observed wind activity, avoid accumulation zones, bowls, gullies, irregular slopes and leeward slopes in general.

EUROPEAN AVALANCHE WARNING SERVICE

AVALANCHE PROBLEMS

According to EAWS standards Meteomont bulletin is a synoptic-scale system (regional scale). It shall be the user's responsibility to correlate the danger level evaluation of the bulletin with a detailed and expertise analysis of the zonal hazards (single slope), that could be markedly different. Meteorological forecast are issued at UTC (for Italy: in winter time UTC+1: in summer time UTC+2).

Bulletin is subjected to check processes through: the record of Observers and Avalanches and snow Experts data in C-Sifa; the validation by forecasters; the certification by Meteomont Section.

DOLOMITI MERIDIONALI

WEATHER FORECAST FOR

Elevation		17/02/2026 h6:00	17/02/2026 h12:00	17/02/2026 h18:00
1000	Wind	03 Knots from N-West	03 Knots from N-West	02 Knots from N-West
	Temperatures	-01 °C	+00 °C	-01 °C
	Wind chill	-3 °C	-2 °C	-1 °C
2000	Wind	09 Knots from N-West	14 Knots from N-West	08 Knots from N-West
	Temperatures	-05 °C	-05 °C	-06 °C
	Wind chill	-11 °C	-12 °C	-12 °C
3000	Wind	18 Knots from N-West	21 Knots from N-West	15 Knots from N-West
	Temperatures	-12 °C	-12 °C	-13 °C
	Wind chill	-23 °C	-23 °C	-23 °C
Freezing level		0900-1100 m.	1200-1400 m.	0900-1100 m.
Atmospheric phenomenon		—	—	—
Keys to sky condition				

KEYS TO ATMOSPHERIC PHENOMENON

— Absence of adverse weather phenomena
Fog
Mist
Light rain
Moderate rain
Heavy rain
Thunderstorm
Weak snowfall
Moderate snowfall
Heavy snowfall

KEYS TO SKY CONDITION

Clear
Partly cloudy
Cloudy
Mostly cloudy
Overcast

Weather and snow data recorded during field and out of field obsevations on 16/02/2026.

Observation field	District	Elevation (m.a.s.l.)	Snow depth (cm)	Snowfall in previous 24 hours (cm)	Temp. Min (°C)	Temp. Max (°C)	General weather conditions
LE BUSE	Falcade (BL)	1820	70	Snow traces	-7	+6	Absence of rain or other precipitation
COL DEI BALDI *	Selva di Cadore (BL)	1920	100	Snow traces	-8	+4	Absence of rain or other precipitation
P.SO PADON	Livinallongo del Col di Lana (BL)	2369	71	0	-10	-2	Absence of rain or other precipitation

(*) Out of field survey

INFORMATION MEANS PREVENTION - SCAN QRCODE TO KNOW DAILY AVALANCHE DANGER LEVEL!

IL CAPO DEL CENTRO NAZIONALE METEOMONT
(Ten. Col. RFI Emanuela Gini)
FIRMA AUTOGRAFA OMESSA AI SENSI
DELL'ART.3 DEL D.LGS N.39/1993

According to EAWS standards Meteomont bulletin is a synoptic-scale system (regional scale). It shall be the user's responsibility to correlate the danger level evaluation of the bulletin with a detailed and expertise analysis of the zonal hazards (single slope), that could be markedly different. Meteorological forecast are issued at UTC (for Italy: in winter time UTC+1: in summer time UTC+2).

Bulletin is subjected to check processes through: the record of Observers and Avalanches and snow Experts data in C-Sifa; the validation by forecasters; the certification by Meteomont Section.