MINISTERO DELLA DIFESA

meteomont
Servizio Nazionale di previsione neve e valanghe

EAWS EUROPEAN AVALANCHE WARNING SERVICES

CARABINIERI

APPENNINO LIGURE

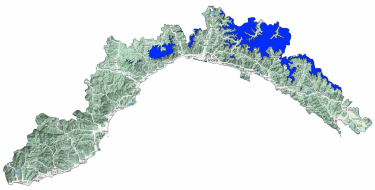

Avalanche Bulletin N. 224/2026 issued at 14:00 on 16/02/2026
48 hours validity. Next issue on 17/02/2026

By the METEOMONT Service of the ARMA dei CARABINIERI ITALY
In collaboration with Air Force Meteorological Service

Situation on 16/02/2026

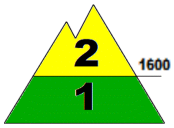

DANGER PATTERNS: loose snow and wind.



DANGER PATTERNS: loose snow and wind.

Snow line (m.a.s.l.)	North	South
	1100	1200 - 1300

Snow depth (cm)	ground snow	new snow	Elevation (m.a.s.l.)
	80	00	1700
	32	00	1400

REGISTERED AVALANCHES: No avalanches detected.

FORECAST 17/02/2026

Danger level: LOW 1

DANGER PATTERNS: springtime situation.

SNOWPACK: Snowpack stability is moderate on few points (areas) for All aspects, medium avalanches are possible.

WARNING

Due to daytime rising temperatures,careful evaluation of the timing of outdoor activities, in order to avoid crossing steep slopes during the warmest hours of the day , is required.

EUROPEAN AVALANCHE WARNING SERVICE

AVALANCHE PROBLEMS

According to EAWS standards Meteomont bulletin is a synoptic-scale system (regional scale). It shall be the user's responsibility to correlate the danger level evaluation of the bulletin with a detailed and expertise analysis of the zonal hazards (single slope), that could be markedly different. Meteorological forecast are issued at UTC (for Italy: in winter time UTC+1: in summer time UTC+2).

Bulletin is subjected to check processes through: the record of Observers and Avalanches and snow Experts data in C-Sifa; the validation by forecasters; the certification by Meteomont Section.

APPENNINO LIGURE

WEATHER FORECAST FOR

Elevation		17/02/2026 h6:00	17/02/2026 h12:00	17/02/2026 h18:00
1000	Wind	06 Knots from N-West	05 Knots from N-West	02 Knots from N-West
	Temperatures	+00 °C	+03 °C	+01 °C
	Wind chill	-4 °C	0 °C	1 °C
2000	Wind	19 Knots from N-West	15 Knots from N-West	12 Knots from N-West
	Temperatures	-04 °C	-02 °C	-04 °C
	Wind chill	-12 °C	-9 °C	-11 °C
3000	Wind	20 Knots from N-West	19 Knots from N-West	10 Knots from N-West
	Temperatures	-11 °C	-10 °C	-11 °C
	Wind chill	-22 °C	-20 °C	-19 °C
Freezing level		1100-1300 m.	1600-1800 m.	1500-1700 m.
Atmospheric phenomenon		—	—	—
Keys to sky condition				

KEYS TO ATMOSPHERIC PHENOMENON

— Absence of adverse weather phenomena
Fog
Mist
Light rain
Moderate rain
Heavy rain
Thunderstorm
Weak snowfall
Moderate snowfall
Heavy snowfall

KEYS TO SKY CONDITION

Clear
Partly cloudy
Cloudy
Mostly cloudy
Overcast

Weather and snow data recorded during field and out of field obsevations on 16/02/2026.

Observation field	District	Elevation (m.a.s.l.)	Snow depth (cm)	Snowfall in previous 24 hours (cm)	Temp. Min (°C)	Temp. Max (°C)	General weather conditions
PRATO DEL PRINCIPE	Santo Stefano d'Aveto (GE)	1386	32	0	-4	+9	Absence of rain or other precipitation
ALBEROLA	Sassello (SV)	958	4	0	+2	+11	Absence of rain or other precipitation

(*) Out of field survey

INFORMATION MEANS PREVENTION - SCAN QRCODE TO KNOW DAILY AVALANCHE DANGER LEVEL!

IL CAPO DEL CENTRO NAZIONALE METEOMONT
(Ten. Col. RFI Emanuela Gini)
FIRMA AUTOGRAFA OMESSA AI SENSI
DELL'ART.3 DEL D.LGS N.39/1993

According to EAWS standards Meteomont bulletin is a synoptic-scale system (regional scale). It shall be the user's responsibility to correlate the danger level evaluation of the bulletin with a detailed and expertise analysis of the zonal hazards (single slope), that could be markedly different. Meteorological forecast are issued at UTC (for Italy: in winter time UTC+1: in summer time UTC+2).

Bulletin is subjected to check processes through: the record of Observers and Avalanches and snow Experts data in C-Sifa; the validation by forecasters; the certification by Meteomont Section.