P.N. ABRUZZO

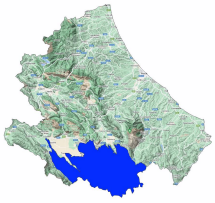

Avalanche Bulletin N. 302/2026 issued at 14:00 on 15/02/2026
48 hours validity. Next issue on 16/02/2026

By the METEOMONT Service of the ARMA dei CARABINIERI ITALY
In collaboration with Air Force Meteorological Service

Situation on 15/02/2026

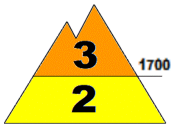

DANGER PATTERNS: loose snow and wind.



DANGER PATTERNS: springtime situation.

Snow line (m.a.s.l.)	North	South
	1400 - 1500	1800 - 1900

Snow depth (cm)	ground snow	new snow	Elevation (m.a.s.l.)
	040	004	1480
	019	002	1470

REGISTERED AVALANCHES: No avalanches detected.

FORECAST 16/02/2026

Danger level: CONSIDERABLE 3

DANGER PATTERNS: loose snow and wind.



DANGER PATTERNS: springtime situation.

SNOWPACK: Snowpack stability is poor on some points (areas) above 1700 m.a.s.l. All From South to North – facing slopes are critical. large avalanches are possible.
Snowpack stability is poor on some points (areas) below 1700 m.a.s.l. All Isolated slopes are critical. Medium avalanches are possible.

WARNING

Due to current severe weather conditions, outdoor activities beyond the maintained and marked tracks are not advised.

EUROPEAN AVALANCHE WARNING SERVICE

AVALANCHE PROBLEMS

According to EAWS standards Meteomont bulletin is a synoptic-scale system (regional scale). It shall be the user's responsibility to correlate the danger level evaluation of the bulletin with a detailed and expertise analysis of the zonal hazards (single slope), that could be markedly different. Meteorological forecast are issued at UTC (for Italy: in winter time UTC+1: in summer time UTC+2).

Bulletin is subjected to check processes through: the record of Observers and Avalanches and snow Experts data in C-Sifa; the validation by forecasters; the certification by Meteomont Section.

MINISTERO DELLA DIFESA

meteomont
Servizio Nazionale di previsione neve e valanghe

EAWS EUROPEAN AVALANCHE WARNING SERVICES

CARABINIERI

P.N. ABRUZZO

WEATHER FORECAST FOR

Elevation		16/02/2026 h6:00	16/02/2026 h12:00	16/02/2026 h18:00
1000	Wind	01 Knots from S-West	01 Knots from South	03 Knots from West
	Temperatures	+00 °C	+03 °C	+02 °C
	Wind chill	0 °C	3 °C	0 °C
2000	Wind	06 Knots from West	10 Knots from West	08 Knots from West
	Temperatures	-02 °C	+01 °C	-01 °C
	Wind chill	-6 °C	-4 °C	-6 °C
3000	Wind	12 Knots from N-West	19 Knots from West	19 Knots from West
	Temperatures	-05 °C	-06 °C	-06 °C
	Wind chill	-12 °C	-15 °C	-15 °C
Freezing level		1400-1600 m.	2200-2400 m.	1700-1900 m.
Atmospheric phenomenon		—	—	
Keys to sky condition				

KEYS TO ATMOSPHERIC PHENOMENON

— Absence of adverse weather phenomena
Fog
Mist
Light rain
Moderate rain
Heavy rain
Thunderstorm
Weak snowfall
Moderate snowfall
Heavy snowfall

KEYS TO SKY CONDITION

Clear
Partly cloudy
Cloudy
Mostly cloudy
Overcast

Weather and snow data recorded during field and out of field obsevations on 15/02/2026.

Observation field	District	Elevation (m.a.s.l.)	Snow depth (cm)	Snowfall in previous 24 hours (cm)	Temp. Min (°C)	Temp. Max (°C)	General weather conditions
FORCA D'ACERO	Pescasseroli (AQ)	1480	40	4	0	+4	Absence of rain or other precipitation
VALLE GELATA	Pescocostanzo (AQ)	1466	2	2	+1	+5	Moderate snow
LA PESCINA	Rivisondoli (AQ)	1470	19	2	N.P.	N.P.	Moderate rain
PIANO AREMOGNA	Roccaraso (AQ)	1456	2	2	+1	+4	Light rain
MIMOLA	Scanno (AQ)	1495	2	2	0	+10	Light rain

(*) Out of field survey

INFORMATION MEANS PREVENTION - SCAN QRCODE TO KNOW DAILY AVALANCHE DANGER LEVEL!

IL CAPO DEL CENTRO NAZIONALE METEOMONT
(Ten. Col. RFI Emanuela Gini)
FIRMA AUTOGRAFA OMESSA AI SENSI
DELL'ART.3 DEL D.LGS N.39/1993

According to EAWS standards Meteomont bulletin is a synoptic-scale system (regional scale). It shall be the user's responsibility to correlate the danger level evaluation of the bulletin with a detailed and expertise analysis of the zonal hazards (single slope), that could be markedly different. Meteorological forecast are issued at UTC (for Italy: in winter time UTC+1: in summer time UTC+2).

Bulletin is subjected to check processes through: the record of Observers and Avalanches and snow Experts data in C-Sifa; the validation by forecasters; the certification by Meteomont Section.