# Wednesday 18.02.2026

Published 17 02 2026, 17:00

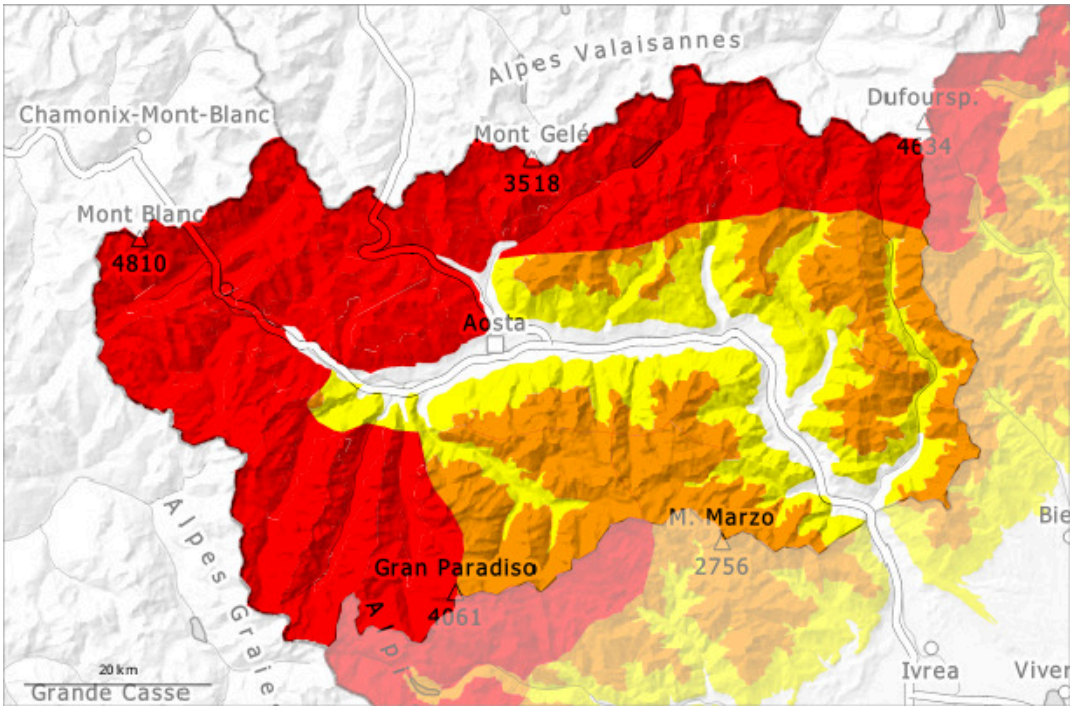


| 1 | 2 | 3 | 4 | 5 |
|---|---|---|---|---|
| low | moderate | considerable | high | very high |

## Danger Level 4 - High

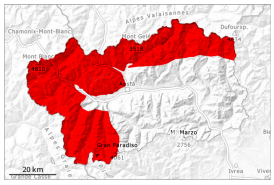

**Tendency: Constant avalanche danger**
on Thursday 19 02 2026

Wind slab

1800m

New snow

### The snowpack remains generally unstable. Afternoon: Slight decrease in avalanche danger as the snowfall eases.

Some snow will fall until midday. As a consequence of snowfall and the strong northwesterly wind, the snow drift accumulations will increase in size in the late morning.
Especially on very steep slopes and on wind-loaded slopes medium-sized and large natural dry avalanches are possible. In some places the avalanches can be triggered in deep layers of the snowpack and reach very large size in some cases.
In the typical avalanche paths in these regions the avalanches can as before reach as far as the valley bottom.

The conditions are treacherous for backcountry touring and other off-piste activities outside marked and open pistes.
Remotely triggered avalanches are possible. Single winter sport participants can release avalanches, including large ones. Caution is to be exercised on steep slopes, and in gullies and bowls, and behind abrupt changes in the terrain.

## Snowpack

**Danger patterns** dp.6: cold, loose snow and wind | dp.1: deep persistent weak layer

Over a wide area 50 to 80 cm of snow, and even more in some localities, has fallen since Sunday above approximately 1500 m. Over a wide area 5 to 15 cm of snow will fall on Wednesday above approximately 1300 m. Until Wednesday the wind will be strong over a wide area over a wide area.
The fresh snow as well as the sometimes large wind slabs are in some cases still prone to triggering.
The snowpack is unfavourably layered.
Adjacent to ridgelines and in pass areas snow depths vary greatly, depending on the infuence of the wind.
Some large powder avalanches have been released as the day progresses. Several slab avalanches have been released in the last few days.

## Tendency

New snow and wind slabs: The avalanche danger will persist.

## Danger Level 3 - Considerable

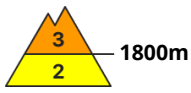


**Tendency: Constant avalanche danger**
on Thursday 19 02 2026

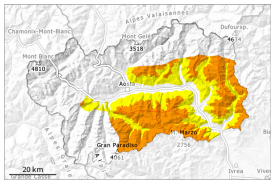

Wind slab

1800m

New snow

### The snowpack will be unstable over a wide area. The wind will be strong to storm force at times. Wind slabs represent the main danger.

As a consequence of the strong northwesterly wind the size of the avalanche prone locations will increase in the late morning.
Especially on very steep slopes and on wind-loaded slopes medium-sized natural avalanches are possible. In some places the avalanches can be triggered in the old snow and reach quite a large size. In the typical avalanche paths the avalanches can in isolated cases reach intermediate altitudes.
Weak layers in the old snowpack necessitate caution. Remotely triggered avalanches are possible. Whumpfing sounds and the formation of shooting cracks when stepping on the snowpack serve as an alarm sign.
Single winter sport participants can release avalanches. Caution is to be exercised on very steep slopes, and in gullies and bowls, and behind abrupt changes in the terrain.

## Snowpack

**Danger patterns** dp.6: cold, loose snow and wind | dp.1: deep persistent weak layer

Over a wide area 15 to 40 cm of snow has fallen since Sunday above approximately 1600 m. Over a wide area 5 to 10 cm of snow will fall on Wednesday above approximately 1300 m. Until Wednesday the wind will be strong to storm force in some localities.
Adjacent to ridgelines and in pass areas snow depths vary greatly, depending on the infuence of the wind. The snowpack is unfavourably layered.
Faceted weak layers exist in the old snowpack in particular on west, north and east facing slopes.
Several medium-sized to large natural dry avalanches have been released as the day progresses.

## Tendency

New snow and wind slabs: The avalanche danger will persist.