BUTLLETÍ DEL PERILL D'ALLAUS DEL PRINCIPAT D'ANDORRA

Servei meteorològic nacional
Principat d'Andorra

Prepared on 17/02/2026 16:00
Next update 18/02/2026 at 16 am

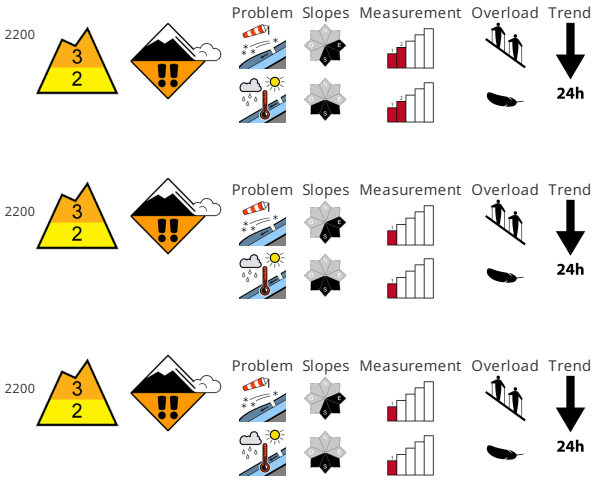

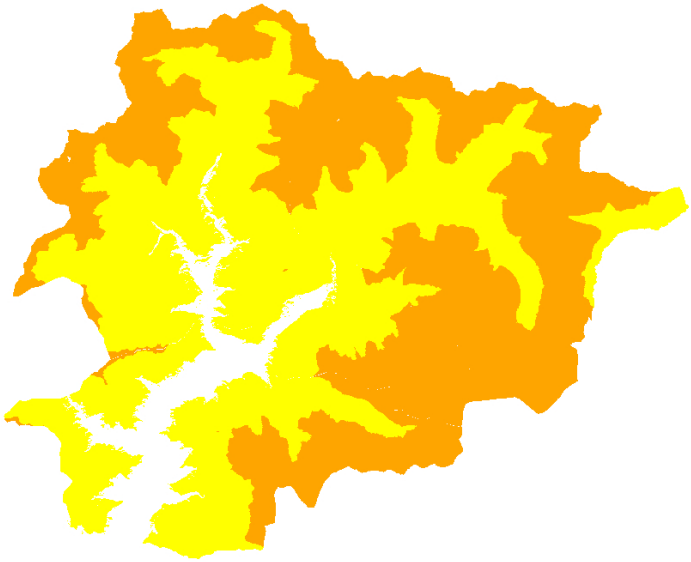

SNOW QUALITY

The new snow and wind slabs must be evaluated with care and prudence., in particular on steep northeast , south and southeast facing slopes , as well as in gullies and bowls, and behind abrupt changes in the terrain. Gradual increase in danger of moist avalanches as a consequence of warming during the day and solar radiation. This applies in particular on steep sunny slopes and at low and intermediate altitudes. Careful route selection and spacing between individuals are recommended.

STABILITY OF THE SNOW MANTLE

As a consequence of new snow and wind the wind slabs have increased in size. Must be evaluated with care and prudence. Outgoing longwave radiation during the night will be quite good. There is a danger of falling on the icy crust. High altitudes :. The new snow will become increasingly prone to triggering sunny slopes.

OFF-PISTE SNOW COVER THICKNESSES

North zone		Snow thickness		
Snowpack		1500m	2000m	2500m
N	1300 m	50 cm	150 cm	200 cm
S	1400 m	30 cm	100 cm	150 cm

Center area		Snow thickness		
Snowpack		1500m	2000m	2500m
N	1300 m	30 cm	150 cm	200 cm
S	1400 m	10 cm	100 cm	150 cm

South zone		Snow thickness		
Snowpack		1500m	2000m	2500m
N	1300 m	30 cm	120 cm	150 cm
S	1400 m	10 cm	60 cm	100 cm

Govern d'Andorra

EAWS
EUROPEAN AVALANCHE WARNING SERVICES

Aquest butlletí ha estat elaborat seguint les normes i recomanacions de l'**European Avalanche Warning Services**, del qual el **Servei meteorològic Nacional** n'és membre

Detailed information for protected areas

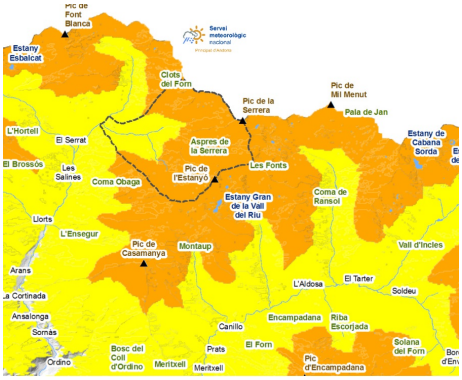

SORTENY

The snowfalls of the weekend have been consistent and have left thicknesses of new snow greater than 50 cm, shaped by the wind. The rain will moisten the mantle up to medium levels and the overload can bring down avalanches in a natural way Activities outside the controlled slopes require experience and great care in choosing the territory.

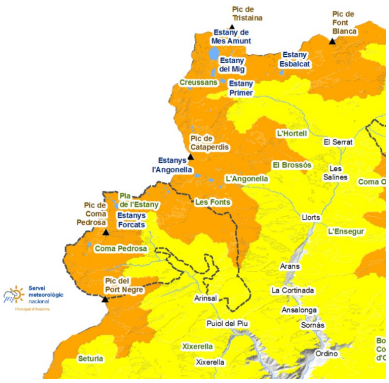

COMAPEDROSA

Mountain activities are not recommended until the recent snow has stabilized. Numerous natural avalanches are expected.

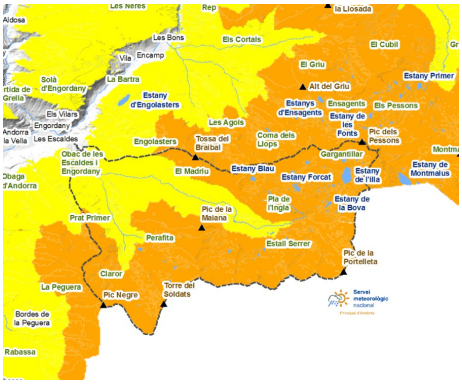

MADRIU-PERAFITA-CLAROR

There is also snow in the upper part of the Madriu, although the snowfall in the south of the country has been less intense, we also expect the formation of wind patches. The rain will moisten the recent snow at low altitudes, making access with skis difficult.

BUTLLETÍ DEL PERILL D'ALLAUS DEL PRINCIPAT D'ANDORRA

Servei meteorològic nacional
Principat d'Andorra

Thick snow in recent days (last 24 hours measured at 06:00 UTC)

	13/02/2026	14/02/2026	15/02/2026	16/02/2026
FEDA (Central)	0 cm	0 cm	0 cm	0 cm
Engolasters - FEDA	10 cm	3 cm	0 cm	0 cm
Bony de les Neres	14 cm	0 cm	0 cm	0 cm
Sorteny	36 cm	0 cm	2 cm	4 cm
Les Fonts d'Arinsal	18 cm	0 cm	0 cm	0 cm
Perafita	0 cm	12 cm	0 cm	0 cm
Tossa Espiolets	8 cm	3 cm	56 cm	0 cm
Grau Roig - FEDA	10 cm	0 cm	0 cm	0 cm
Fontverd	8 cm	13 cm	0 cm	0 cm
Ransol - FEDA	13 cm	2 cm	0 cm	0 cm
Setúria	8 cm	0 cm	0 cm	0 cm
Caborreu	8 cm	0 cm	4 cm	6 cm
Envalira Antenes	6 cm	8 cm	0 cm	0 cm