MINISTERO DELLA DIFESA

meteomont
Servizio Nazionale di previsione neve e valanghe

EAWS EUROPEAN AVALANCHE WARNING SERVICES

CARABINIERI

# VELINO - SIRENTE

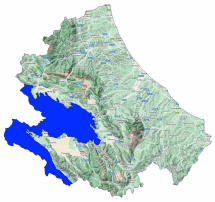

Avalanche Bulletin N. 321/2026 issued at 14:00 on 17/02/2026
48 hours validity. Next issue on 18/02/2026

**By the METEOMONT Service of the ARMA dei CARABINIERI ITALY**
**In collaboration with Air Force Meteorological Service**

## Situation on 17/02/2026

**DANGER PATTERNS: loose snow and wind.**

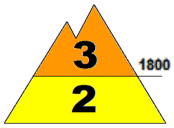




**DANGER PATTERNS: springtime situation.**

| Snow line (m.a.s.l.) | North | South |
|---|---|---|
| | 1300 | 1300 |

| Snow depth (cm) | ground snow | new snow | Elevation (m.a.s.l.) |
|---|---|---|---|
| | 013 | 002 | 1450 |
| | 002 | 002 | 1276 |

**REGISTERED AVALANCHES: Small avalanches, Surface loose snow avalanches.**

## FORECAST 18/02/2026

# Danger level: CONSIDERABLE 3

## DANGER PATTERNS: loose snow and wind.




## DANGER PATTERNS: springtime situation.

**SNOWPACK: Snowpack stability is poor on some points (areas) above 1800 m.a.s.l. All From east to west-facing slopes are critical. large avalanches are possible.**
**Snowpack stability is moderate on some points (areas) below 1800 m.a.s.l. All Isolated slopes are critical. Medium avalanches are possible.**

## WARNING

Due to major snow drift accumulations, avoid in general any bowls,gullies,changes of slope and all leeward slopes.

## EUROPEAN AVALANCHE WARNING SERVICE

## AVALANCHE PROBLEMS

According to EAWS standards Meteomont bulletin is a synoptic-scale system (regional scale). It shall be the user's responsibility to correlate the danger level evaluation of the bulletin with a detailed and expertise analysis of the zonal hazards (single slope), that could be markedly different. Meteorological forecast are issued at UTC (for Italy: in winter time UTC+1: in summer time UTC+2).

Bulletin is subjected to check processes through: the record of Observers and Avalanches and snow Experts data in C-Sifa; the validation by forecasters; the certification by Meteomont Section.

MINISTERO DELLA DIFESA

meteomont
Servizio Nazionale di previsione neve e valanghe

EAWS EUROPEAN AVALANCHE WARNING SERVICES

CARABINIERI

# VELINO - SIRENTE

## WEATHER FORECAST FOR

| Elevation | | 18/02/2026 h6:00 | 18/02/2026 h12:00 | 18/02/2026 h18:00 |
|---|---|---|---|---|
| 1000 | Wind | 06 Knots from N-West | 03 Knots from West | 05 Knots from West |
| | Temperatures | -05 °C | -02 °C | -03 °C |
| | Wind chill | -10 °C | -4 °C | -7 °C |
| 2000 | Wind | 10 Knots from N-West | 05 Knots from West | 07 Knots from West |
| | Temperatures | -05 °C | -03 °C | -03 °C |
| | Wind chill | -11 °C | -7 °C | -8 °C |
| 3000 | Wind | 22 Knots from N-West | 12 Knots from N-West | 14 Knots from West |
| | Temperatures | -07 °C | -06 °C | -05 °C |
| | Wind chill | -17 °C | -13 °C | -12 °C |
| Freezing level | | 1000-1200 m. | 1500-1700 m. | 1300-1500 m. |
| Atmospheric phenomenon | | — | — | — |
| Keys to sky condition | | | | |

## KEYS TO ATMOSPHERIC PHENOMENON

— Absence of adverse weather phenomena
Fog
Mist
Light rain
Moderate rain
Heavy rain
Thunderstorm
Weak snowfall
Moderate snowfall
Heavy snowfall

## KEYS TO SKY CONDITION

Clear
Partly cloudy
Cloudy
Mostly cloudy
Overcast

## Weather and snow data recorded during field and out of field obsevations on 17/02/2026.

| Observation field | District | Elevation (m.a.s.l.) | Snow depth (cm) | Snowfall in previous 24 hours (cm) | Temp. Min (°C) | Temp. Max (°C) | General weather conditions |
|---|---|---|---|---|---|---|---|
| PASSO LE FORCHE | Magliano de' Marsi (AQ) | 1276 | 2 | 2 | -1 | +11 | Absence of rain or other precipitation |
| SANT'ELIA * | Collelongo (AQ) | 1520 | 10 | 5 | N.P. | N.P. | Absence of rain or other precipitation |
| CAMPO FELICE - BRECCIARA | Rocca di Cambio (AQ) | 1729 | 55 | 8 | -4 | +5 | Absence of rain or other precipitation |
| MARSIA | Tagliacozzo (AQ) | 1450 | 13 | 2 | -2 | +2 | Absence of rain or other precipitation |
| LA CROCETTA | Lucoli (AQ) | 1573 | 4 | 4 | -2 | +8 | Absence of rain or other precipitation |
| IL COSTONE * | Rocca di Mezzo (AQ) | 2294 | 390 | 17 | N.P. | N.P. | Absence of rain or other precipitation |

(*) Out of field survey

**INFORMATION MEANS PREVENTION - SCAN QRCODE TO KNOW DAILY AVALANCHE DANGER LEVEL!**

IL CAPO DEL CENTRO NAZIONALE METEOMONT
(Ten. Col. RFI Emanuela Gini)
FIRMA AUTOGRAFA OMESSA AI SENSI
DELL'ART.3 DEL D.LGS N.39/1993

According to EAWS standards Meteomont bulletin is a synoptic-scale system (regional scale). It shall be the user's responsibility to correlate the danger level evaluation of the bulletin with a detailed and expertise analysis of the zonal hazards (single slope), that could be markedly different. Meteorological forecast are issued at UTC (for Italy: in winter time UTC+1: in summer time UTC+2).

Bulletin is subjected to check processes through: the record of Observers and Avalanches and snow Experts data in C-Sifa; the validation by forecasters; the certification by Meteomont Section.