BUTLLETÍ DEL PERILL D'ALLAUS DEL PRINCIPAT D'ANDORRA

Servei meteorològic nacional
Principat d'Andorra

Prepared on 18/02/2026 16:00
Next update 19/02/2026 at 16 am

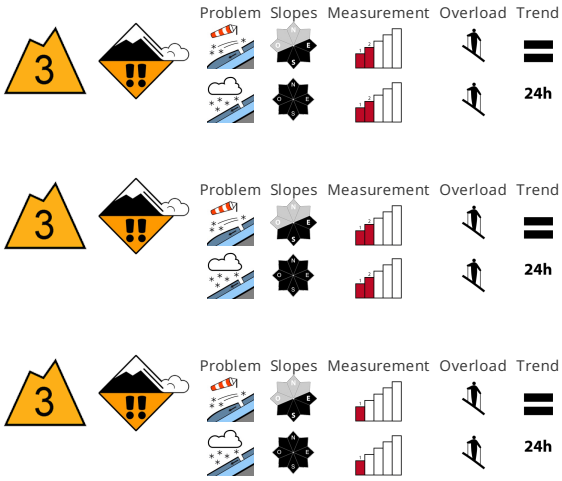

SNOW QUALITY

The new snow and wind slabs must be evaluated with care and prudence., in particular on steep northeast , south and southeast facing slopes , as well as in gullies and bowls, and behind abrupt changes in the terrain. Avalanches can in some places be released by a single winter sport participant and reach medium size. The avalanche prone locations are sometimes covered with new snow and are barely recognisable because of the poor visibility. Careful route selection and spacing between individuals are recommended.

STABILITY OF THE SNOW MANTLE

In particular in the north in some regions up to 30 cm of snow, and up to 30 cm in some localities, will fall until Thursday above approximately 1500 m. The new snow of Thursday will be deposited on a quite favourable old snowpack. As a consequence of new snow and wind the wind slabs will increase in size additionally. Must be evaluated with care and prudence. Snow depths vary greatly above approximately 2600 m , depending on the infuence of the wind.

OFF-PISTE SNOW COVER THICKNESSES

North zone		Snow thickness		
Snowpack		1500m	2000m	2500m
N	1300 m	50 cm	150 cm	200 cm
S	1500 m	0 cm	100 cm	150 cm

Center area		Snow thickness		
Snowpack		1500m	2000m	2500m
N	1300 m	30 cm	150 cm	200 cm
S	1500 m	0 cm	100 cm	150 cm

South zone		Snow thickness		
Snowpack		1500m	2000m	2500m
N	1300 m	30 cm	120 cm	150 cm
S	1500 m	0 cm	60 cm	100 cm

Govern d'Andorra

EAWS EUROPEAN AVALANCHE WARNING SERVICES

Aquest butlletí ha estat elaborat seguint les normes i recomanacions de l'**European Avalanche Warning Services**, del qual el **Servei meteorològic Nacional** n'és membre

Detailed information for protected areas

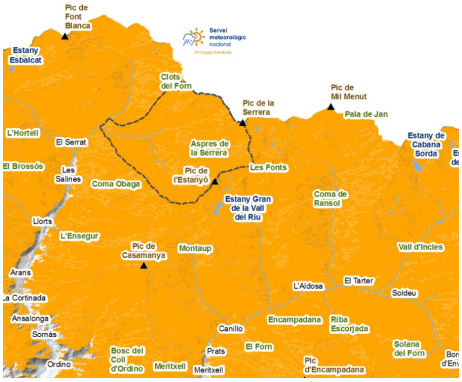

SORTENY

The snowfall over the weekend has created accumulations of blown snow in excess of 50 cm. The rain has moistened the mantle, frozen and compacted it below 2,200 meters. Above this level there are large accumulations of snow, especially at the foot of the rocky walls. At higher altitudes there is less snow due to the wind, but in some passes there are large snowdrifts that can make access difficult.

COMAPEDROSA

At low altitudes the snow has compacted and reduced its thickness due to humidification. Above the Pla de l'Estany and the Comapedrosa refuge we will have to drive with caution, as there may be wind plates sensitive to overloads on the slopes with an east component.

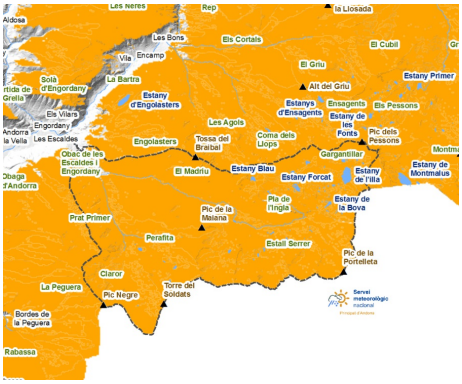

MADRIU-PERAFITA-CLAROR

The eastern slopes must be driven with great caution, as this is where the most important and dangerous accumulations of blown snow are. On the rest of the slopes, at low altitudes we will find well-compacted snow, while at high altitudes the wind will have left the hard snow exposed.

BUTLLETÍ DEL PERILL D'ALLAUS DEL PRINCIPAT D'ANDORRA

Servei meteorològic nacional
Principat d'Andorra

Thick snow in recent days (last 24 hours measured at 06:00 UTC)

	14/02/2026	15/02/2026	16/02/2026	17/02/2026
FEDA (Central)	0 cm	0 cm	0 cm	0 cm
Engolasters - FEDA	3 cm	0 cm	0 cm	0 cm
Bony de les Neres	0 cm	0 cm	0 cm	0 cm
Sorteny	0 cm	2 cm	6 cm	0 cm
Les Fonts d'Arinsal	0 cm	0 cm	0 cm	0 cm
Perafita	12 cm	0 cm	0 cm	0 cm
Tossa Espiolets	3 cm	0 cm	0 cm	0 cm
Grau Roig - FEDA	0 cm	0 cm	0 cm	0 cm
Fontverd	13 cm	0 cm	0 cm	0 cm
Ransol - FEDA	2 cm	0 cm	0 cm	2 cm
Setúria	0 cm	0 cm	0 cm	0 cm
Caborreu	0 cm	4 cm	6 cm	0 cm
Envalira Antenes	8 cm	0 cm	0 cm	3 cm