ALPI RETICHE

Avalanche Bulletin N. 350/2026 issued at 14:00 on 17/02/2026
48 hours validity. Next issue on 18/02/2026
By the METEOMONT Service of the ARMA dei CARABINIERI ITALY
In collaboration with Air Force Meteorological Service

Situation on 17/02/2026

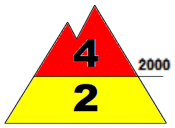

DANGER PATTERNS: loose snow and wind.



DANGER PATTERNS: deep persistent weak layer.

Snow line (m.a.s.l.)	North	South
	900 - 1100	1200 - 1500

Snow depth (cm)	ground snow	new snow	Elevation (m.a.s.l.)
	83	13	2280
	059	2	1640

REGISTERED AVALANCHES: -.

FORECAST 18/02/2026

Danger level: HIGH 4

DANGER PATTERNS: loose snow and wind.

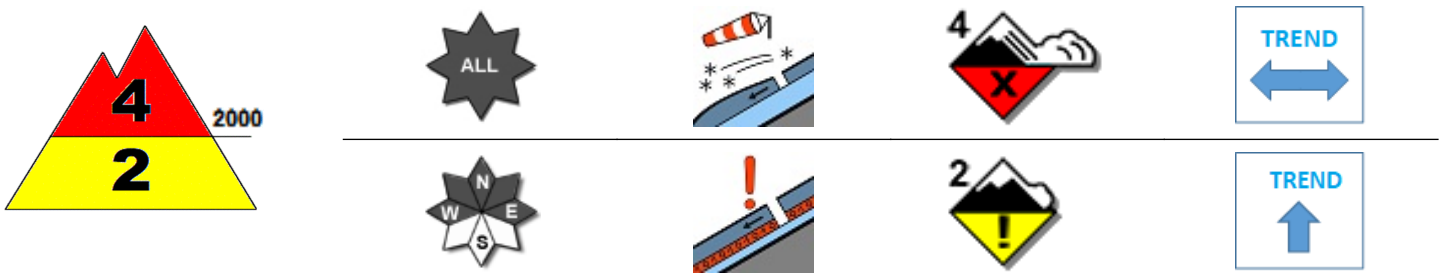

DANGER PATTERNS: deep persistent weak layer.

SNOWPACK: Snowpack stability is very poor on many points (areas) above 2000 m.a.s.l. All aspects are critical. large avalanches are possible.
Snowpack stability is poor on some points (areas) below 2000 m.a.s.l. All From west to east-facing slopes are critical. Medium avalanches are possible.

WARNING

Due to current severe weather conditions, outdoor activities beyond the maintained and marked tracks are not advised.

EUROPEAN AVALANCHE WARNING SERVICE

AVALANCHE PROBLEMS

According to EAWS standards Meteomont bulletin is a synoptic-scale system (regional scale). It shall be the user's responsibility to correlate the danger level evaluation of the bulletin with a detailed and expertise analysis of the zonal hazards (single slope), that could be markedly different. Meteorological forecast are issued at UTC (for Italy: in winter time UTC+1: in summer time UTC+2).

Bulletin is subjected to check processes through: the record of Observers and Avalanches and snow Experts data in C-Sifa; the validation by forecasters; the certification by Meteomont Section.

ALPI RETICHE

WEATHER FORECAST FOR

Elevation		18/02/2026 h6:00	18/02/2026 h12:00	18/02/2026 h18:00
1000	Wind	01 Knots from N-West	01 Knots from N-East	01 Knots from S-East
	Temperatures	-06 °C	-04 °C	-05 °C
	Wind chill	-6 °C	-4 °C	-5 °C
2000	Wind	01 Knots from N-West	01 Knots from N-East	01 Knots from S-East
	Temperatures	-06 °C	-04 °C	-05 °C
	Wind chill	-6 °C	-4 °C	-5 °C
3000	Wind	08 Knots from N-West	06 Knots from West	03 Knots from West
	Temperatures	-11 °C	-10 °C	-07 °C
	Wind chill	-18 °C	-16 °C	-10 °C
Freezing level		0800-1000 m.	1100-1300 m.	1000-1200 m.
Atmospheric phenomenon		—	—	—
Keys to sky condition				

KEYS TO ATMOSPHERIC PHENOMENON

— Absence of adverse weather phenomena
Fog
Mist
Light rain
Moderate rain
Heavy rain
Thunderstorm
Weak snowfall
Moderate snowfall
Heavy snowfall

KEYS TO SKY CONDITION

Clear
Partly cloudy
Cloudy
Mostly cloudy
Overcast

Weather and snow data recorded during field and out of field obsevations on 17/02/2026.

Observation field	District	Elevation (m.a.s.l.)	Snow depth (cm)	Snowfall in previous 24 hours (cm)	Temp. Min (°C)	Temp. Max (°C)	General weather conditions
BORMIO2000-LECCIONA	Valdisotto (SO)	2050	69	11	-7	-1	Heavy snow
NASSEGNO *	Valfurva (SO)	1805	51	4	N.P.	N.P.	Continuous light snow
ALPE PALU'	Chiesa in Valmalenco (SO)	2010	83	6	-7	+1	Moderate snow
COLONIA VIGILI	Ponte di Legno (BS)	1640	59	2	-6	+4	Moderate snow
PISTA STELVIO *	Valdisotto (SO)	2280	83	13	N.P.	N.P.	Moderate snow
VALLE DI STERLA *	Madesimo (SO)	1724	74	20	N.P.	N.P.	Moderate snow

(*) Out of field survey

INFORMATION MEANS PREVENTION - SCAN QRCODE TO KNOW DAILY AVALANCHE DANGER LEVEL!

IL CAPO DEL CENTRO NAZIONALE METEOMONT
(Ten. Col. RFI Emanuela Gini)
FIRMA AUTOGRAFA OMESSA AI SENSI
DELL'ART.3 DEL D.LGS N.39/1993

According to EAWS standards Meteomont bulletin is a synoptic-scale system (regional scale). It shall be the user's responsibility to correlate the danger level evaluation of the bulletin with a detailed and expertise analysis of the zonal hazards (single slope), that could be markedly different. Meteorological forecast are issued at UTC (for Italy: in winter time UTC+1: in summer time UTC+2).

Bulletin is subjected to check processes through: the record of Observers and Avalanches and snow Experts data in C-Sifa; the validation by forecasters; the certification by Meteomont Section.