MINISTERO DELLA DIFESA

meteomont
Servizio Nazionale di previsione neve e valanghe

EAWS EUROPEAN AVALANCHE WARNING SERVICES

CARABINIERI

# GRAN SASSO EST - LAGA EST

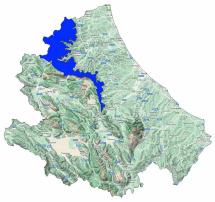

Avalanche Bulletin N. 337/2026 issued at 14:00 on 17/02/2026
48 hours validity. Next issue on 18/02/2026

**By the METEOMONT Service of the ARMA dei CARABINIERI ITALY**
**In collaboration with Air Force Meteorological Service**

## Situation on 17/02/2026

**DANGER PATTERNS: loose snow and wind.**

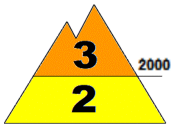





**DANGER PATTERNS: springtime situation.**

| Snow line (m.a.s.l.) | North | South |
|---|---|---|
| | 1400 - 1500 | 1600 - 1800 |

| Snow depth (cm) | ground snow | new snow | Elevation (m.a.s.l.) |
|---|---|---|---|
| | 002 | 002 | 1400 |
| | 000 | 000 | 1355 |

**REGISTERED AVALANCHES: No avalanches detected.**

## FORECAST 18/02/2026

# Danger level: CONSIDERABLE 3

## DANGER PATTERNS: loose snow and wind.




## DANGER PATTERNS: springtime situation.

**SNOWPACK: Snowpack stability is poor on some points (areas) above 2000 m.a.s.l. All From west to east-facing slopes are critical. large avalanches are possible.**
**Snowpack stability is moderate on some points (areas) below 2000 m.a.s.l. All Isolated slopes are critical. Medium avalanches are possible.**

## WARNING

Due to observed wind activity, avoid accumulation zones, bowls, gullies, irregular slopes and leeward slopes in general.

## EUROPEAN AVALANCHE WARNING SERVICE

## AVALANCHE PROBLEMS

According to EAWS standards Meteomont bulletin is a synoptic-scale system (regional scale). It shall be the user's responsibility to correlate the danger level evaluation of the bulletin with a detailed and expertise analysis of the zonal hazards (single slope), that could be markedly different. Meteorological forecast are issued at UTC (for Italy: in winter time UTC+1: in summer time UTC+2).

Bulletin is subjected to check processes through: the record of Observers and Avalanches and snow Experts data in C-Sifa; the validation by forecasters; the certification by Meteomont Section.

MINISTERO DELLA DIFESA

meteomont
Servizio Nazionale di previsione neve e valanghe

EAWS EUROPEAN AVALANCHE WARNING SERVICES

CARABINIERI

# GRAN SASSO EST - LAGA EST

## WEATHER FORECAST FOR

| Elevation | | 18/02/2026 h6:00 | 18/02/2026 h12:00 | 18/02/2026 h18:00 |
|---|---|---|---|---|
| 1000 | Wind | 01 Knots from N-West | 03 Knots from West | 04 Knots from S-West |
| | Temperatures | -02 °C | +02 °C | +00 °C |
| | Wind chill | -2 °C | 0 °C | -3 °C |
| 2000 | Wind | 10 Knots from North | 10 Knots from West | 12 Knots from West |
| | Temperatures | -03 °C | -03 °C | -02 °C |
| | Wind chill | -9 °C | -9 °C | -8 °C |
| 3000 | Wind | 20 Knots from N-West | 13 Knots from N-West | 13 Knots from West |
| | Temperatures | -08 °C | -06 °C | -04 °C |
| | Wind chill | -18 °C | -13 °C | -11 °C |
| Freezing level | | 1000-1200 m. | 1500-1700 m. | 1400-1600 m. |
| Atmospheric phenomenon | | — | — | — |
| Keys to sky condition | | | | |

## KEYS TO ATMOSPHERIC PHENOMENON

— Absence of adverse weather phenomena
Fog
Mist
Light rain
Moderate rain
Heavy rain
Thunderstorm
Weak snowfall
Moderate snowfall
Heavy snowfall

## KEYS TO SKY CONDITION

Clear
Partly cloudy
Cloudy
Mostly cloudy
Overcast

## Weather and snow data recorded during field and out of field obsevations on 17/02/2026.

| Observation field | District | Elevation (m.a.s.l.) | Snow depth (cm) | Snowfall in previous 24 hours (cm) | Temp. Min (°C) | Temp. Max (°C) | General weather conditions |
|---|---|---|---|---|---|---|---|
| FAVACCHIOLE | Crognaleto (TE) | 1016 | 0 | 0 | +1 | +9 | Absence of rain or other precipitation |
| PRATO SELVA | Fano Adriano (TE) | 1355 | 1 | 1 | 0 | +8 | Absence of rain or other precipitation |
| PIANO SAN PIETRO | Isola del Gran Sasso d'Italia (TE) | 950 | 0 | 0 | N.P. | N.P. | Absence of rain or other precipitation |
| PRATI DI TIVO | Pietracamela (TE) | 1380 | 1 | Snow traces | 0 | +8 | Absence of rain or other precipitation |
| CEPPO | Rocca Santa Maria (TE) | 1349 | 2 | 2 | +0 | +7 | Absence of rain or other precipitation |
| SAN PAOLO | Acquasanta Terme (AP) | 960 | 0 | 0 | +0 | +10 | Absence of rain or other precipitation |
| COLLE SAN GIACOMO | Civitella del Tronto (TE) | 1075 | 0 | 0 | 0 | +10 | Absence of rain or other precipitation |

**(*) Out of field survey**

**INFORMATION MEANS PREVENTION - SCAN QRCODE TO KNOW DAILY AVALANCHE DANGER LEVEL!**

**IL CAPO DEL CENTRO NAZIONALE METEOMONT**
**(Ten. Col. RFI Emanuela Gini)**
**FIRMA AUTOGRAFA OMESSA AI SENSI**
**DELL'ART.3 DEL D.LGS N.39/1993**

According to EAWS standards Meteomont bulletin is a synoptic-scale system (regional scale). It shall be the user's responsibility to correlate the danger level evaluation of the bulletin with a detailed and expertise analysis of the zonal hazards (single slope), that could be markedly different. Meteorological forecast are issued at UTC (for Italy: in winter time UTC+1: in summer time UTC+2).

Bulletin is subjected to check processes through: the record of Observers and Avalanches and snow Experts data in C-Sifa; the validation by forecasters; the certification by Meteomont Section.