MINISTERO DELLA DIFESA

meteomont
Servizio Nazionale di previsione neve e valanghe

EAWS EUROPEAN AVALANCHE WARNING SERVICES

CARABINIERI

# GRAN SASSO OVEST

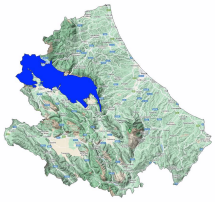

Avalanche Bulletin N. 339/2026 issued at 14:00 on 18/02/2026
48 hours validity. Next issue on 19/02/2026

**By the METEOMONT Service of the ARMA dei CARABINIERI ITALY**
**In collaboration with Air Force Meteorological Service**

## Situation on 18/02/2026

**DANGER PATTERNS: loose snow and wind.**

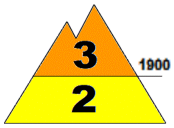

**DANGER PATTERNS: loose snow and wind.**

| Snow line (m.a.s.l.) | North | South |
|---|---|---|
| | 1600 - 1700 | 1600 - 1800 |

| Snow depth (cm) | ground snow | new snow | Elevation (m.a.s.l.) |
|---|---|---|---|
| | 374 | 000 | 2146 |
| | 137 | 000 | 2135 |

**REGISTERED AVALANCHES: Some medium avalanches, Slab surface avalanches.**

## FORECAST 19/02/2026

# Danger level: CONSIDERABLE 3

## DANGER PATTERNS: loose snow and wind.

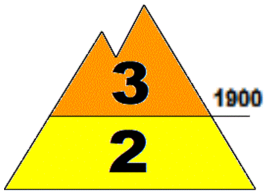

## DANGER PATTERNS: loose snow and wind.

**SNOWPACK: Snowpack stability is poor on some points (areas) above 1900 m.a.s.l. All aspects are critical. large avalanches are possible.**
**Snowpack stability is poor on few points (areas) below 1900 m.a.s.l. All Isolated slopes are critical. Medium avalanches are possible.**

## WARNING

Due to observed wind activity, avoid accumulation zones, bowls, gullies, irregular slopes and leeward slopes in general.

## EUROPEAN AVALANCHE WARNING SERVICE

## AVALANCHE PROBLEMS

According to EAWS standards Meteomont bulletin is a synoptic-scale system (regional scale). It shall be the user's responsibility to correlate the danger level evaluation of the bulletin with a detailed and expertise analysis of the zonal hazards (single slope), that could be markedly different. Meteorological forecast are issued at UTC (for Italy: in winter time UTC+1: in summer time UTC+2).

Bulletin is subjected to check processes through: the record of Observers and Avalanches and snow Experts data in C-Sifa; the validation by forecasters; the certification by Meteomont Section.

MINISTERO DELLA DIFESA

meteomont
Servizio Nazionale di previsione neve e valanghe

EAWS EUROPEAN AVALANCHE WARNING SERVICES

CARABINIERI

# GRAN SASSO OVEST

## WEATHER FORECAST FOR

| Elevation | | 19/02/2026 h6:00 | 19/02/2026 h12:00 | 19/02/2026 h18:00 |
|---|---|---|---|---|
| 1000 | Wind | 06 Knots from S-West | 12 Knots from S-West | 09 Knots from West |
| | Temperatures | +03 °C | +03 °C | +00 °C |
| | Wind chill | 0 °C | -2 °C | -5 °C |
| 2000 | Wind | 19 Knots from S-West | 24 Knots from S-West | 18 Knots from West |
| | Temperatures | +00 °C | +00 °C | -04 °C |
| | Wind chill | -7 °C | -8 °C | -12 °C |
| 3000 | Wind | 25 Knots from S-West | 27 Knots from S-West | 21 Knots from West |
| | Temperatures | -06 °C | -06 °C | -10 °C |
| | Wind chill | -16 °C | -16 °C | -21 °C |
| Freezing level | | 1900-2100 m. | 1900-2100 m. | 1400-1600 m. |
| Atmospheric phenomenon | | | | |
| Keys to sky condition | | | | |

## KEYS TO ATMOSPHERIC PHENOMENON

Absence of adverse weather phenomena · Fog · Mist · Light rain · Moderate rain · Heavy rain · Thunderstorm · Weak snowfall · Moderate snowfall · Heavy snowfall

## KEYS TO SKY CONDITION

Clear · Partly cloudy · Cloudy · Mostly cloudy · Overcast

## Weather and snow data recorded during field and out of field obsevations on 18/02/2026.

| Observation field | District | Elevation (m.a.s.l.) | Snow depth (cm) | Snowfall in previous 24 hours (cm) | Temp. Min (°C) | Temp. Max (°C) | General weather conditions |
|---|---|---|---|---|---|---|---|
| COLLE RUTO | Campotosto (AQ) | 1384 | 0 | 0 | -6 | +4 | Absence of rain or other precipitation |
| S. DONATO | Castel del Monte (AQ) | 1400 | 0 | 0 | -2 | +5 | Absence of rain or other precipitation |
| CAMPO IMPERATORE | L'Aquila (AQ) | 2135 | 137 | 0 | -8 | -4 | Absence of rain or other precipitation |
| MONTE AQUILA * | L'Aquila (AQ) | 2146 | 132 | 0 | N.P. | N.P. | Absence of rain or other precipitation |

(*) Out of field survey

**INFORMATION MEANS PREVENTION - SCAN QRCODE TO KNOW DAILY AVALANCHE DANGER LEVEL!**

IL CAPO DEL CENTRO NAZIONALE METEOMONT
(Ten. Col. RFI Emanuela Gini)
FIRMA AUTOGRAFA OMESSA AI SENSI
DELL'ART.3 DEL D.LGS N.39/1993

According to EAWS standards Meteomont bulletin is a synoptic-scale system (regional scale). It shall be the user's responsibility to correlate the danger level evaluation of the bulletin with a detailed and expertise analysis of the zonal hazards (single slope), that could be markedly different. Meteorological forecast are issued at UTC (for Italy: in winter time UTC+1: in summer time UTC+2).

Bulletin is subjected to check processes through: the record of Observers and Avalanches and snow Experts data in C-Sifa; the validation by forecasters; the certification by Meteomont Section.