MINISTERO DELLA DIFESA

meteomont
Servizio Nazionale di previsione neve e valanghe

EAWS EUROPEAN AVALANCHE WARNING SERVICES

CARABINIERI

P.N. ABRUZZO

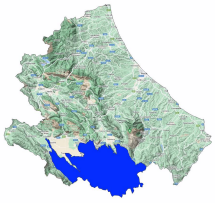

Avalanche Bulletin N. 305/2026 issued at 14:00 on 18/02/2026
48 hours validity. Next issue on 19/02/2026
By the METEOMONT Service of the ARMA dei CARABINIERI ITALY
In collaboration with Air Force Meteorological Service

Situation on 18/02/2026

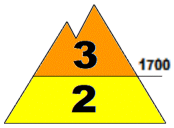

DANGER PATTERNS: loose snow and wind.



DANGER PATTERNS: springtime situation.

Snow line (m.a.s.l.)	North	South
	1400 - 1600	1500 - 1700

Snow depth (cm)	ground snow	new snow	Elevation (m.a.s.l.)
	040	002	1480
	019	000	1470

REGISTERED AVALANCHES: No avalanches detected.

FORECAST 19/02/2026

Danger level: CONSIDERABLE 3

DANGER PATTERNS: loose snow and wind.



DANGER PATTERNS: springtime situation.

SNOWPACK: Snowpack stability is poor on some points (areas) above 1800 m.a.s.l. All Southeast-facing slopes are critical. large avalanches are possible.
Snowpack stability is moderate on some points (areas) below 1800 m.a.s.l. All Isolated slopes are critical. Medium avalanches are possible.

WARNING

Due to major snow drift accumulations in bowls,gullies, changes of slope and in general all leeward slopes, route choice and a detailed evaluation of snowpack stability is required.

EUROPEAN AVALANCHE WARNING SERVICE

AVALANCHE PROBLEMS

According to EAWS standards Meteomont bulletin is a synoptic-scale system (regional scale). It shall be the user's responsibility to correlate the danger level evaluation of the bulletin with a detailed and expertise analysis of the zonal hazards (single slope), that could be markedly different. Meteorological forecast are issued at UTC (for Italy: in winter time UTC+1: in summer time UTC+2).

Bulletin is subjected to check processes through: the record of Observers and Avalanches and snow Experts data in C-Sifa; the validation by forecasters; the certification by Meteomont Section.

P.N. ABRUZZO

WEATHER FORECAST FOR

Elevation		19/02/2026 h6:00	19/02/2026 h12:00	19/02/2026 h18:00
1000	Wind	07 Knots from S-West	09 Knots from S-West	06 Knots from West
	Temperatures	+04 °C	+04 °C	+00 °C
	Wind chill	1 °C	0 °C	-4 °C
2000	Wind	21 Knots from S-West	23 Knots from S-West	18 Knots from West
	Temperatures	+01 °C	+01 °C	-04 °C
	Wind chill	-6 °C	-6 °C	-12 °C
3000	Wind	23 Knots from S-West	28 Knots from S-West	20 Knots from West
	Temperatures	-06 °C	-05 °C	-10 °C
	Wind chill	-16 °C	-15 °C	-20 °C
Freezing level		2100-2300 m.	2100-2300 m.	1400-1600 m.
Atmospheric phenomenon				
Keys to sky condition				

KEYS TO ATMOSPHERIC PHENOMENON

Absence of adverse weather phenomena · Fog · Mist · Light rain · Moderate rain · Heavy rain · Thunderstorm · Weak snowfall · Moderate snowfall · Heavy snowfall

KEYS TO SKY CONDITION

Clear · Partly cloudy · Cloudy · Mostly cloudy · Overcast

Weather and snow data recorded during field and out of field obsevations on 18/02/2026.

Observation field	District	Elevation (m.a.s.l.)	Snow depth (cm)	Snowfall in previous 24 hours (cm)	Temp. Min (°C)	Temp. Max (°C)	General weather conditions
FORCA D'ACERO	Pescasseroli (AQ)	1480	40	2	-3	+8	Absence of rain or other precipitation
VALLE GELATA	Pescocostanzo (AQ)	1466	Snow traces	Snow traces	-3	+5	Absence of rain or other precipitation
LA PESCINA	Rivisondoli (AQ)	1470	19	Snow traces	-4	+2	Absence of rain or other precipitation
MIMOLA	Scanno (AQ)	1495	1	0	-3	+6	Absence of rain or other precipitation

(*) Out of field survey

INFORMATION MEANS PREVENTION - SCAN QRCODE TO KNOW DAILY AVALANCHE DANGER LEVEL!

IL CAPO DEL CENTRO NAZIONALE METEOMONT
(Ten. Col. RFI Emanuela Gini)
FIRMA AUTOGRAFA OMESSA AI SENSI
DELL'ART.3 DEL D.LGS N.39/1993

According to EAWS standards Meteomont bulletin is a synoptic-scale system (regional scale). It shall be the user's responsibility to correlate the danger level evaluation of the bulletin with a detailed and expertise analysis of the zonal hazards (single slope), that could be markedly different. Meteorological forecast are issued at UTC (for Italy: in winter time UTC+1: in summer time UTC+2).

Bulletin is subjected to check processes through: the record of Observers and Avalanches and snow Experts data in C-Sifa; the validation by forecasters; the certification by Meteomont Section.