MINISTERO DELLA DIFESA

meteomont
Servizio Nazionale di previsione neve e valanghe

EAWS EUROPEAN AVALANCHE WARNING SERVICES

CARABINIERI

# TERMINILLO MONTI REATINI E LAGA OVEST

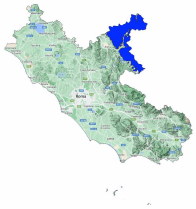

Avalanche Bulletin N. 290/2026 issued at 14:00 on 17/02/2026
48 hours validity. Next issue on 18/02/2026

**By the METEOMONT Service of the ARMA dei CARABINIERI ITALY**
**In collaboration with Air Force Meteorological Service**

## Situation on 17/02/2026

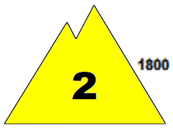


**DANGER PATTERNS: loose snow and wind.**




**DANGER PATTERNS: springtime situation.**

| Snow line (m.a.s.l.) | North | South |
|---|---|---|
| | 1600 - 1700 | 1700 - 1800 |

| Snow depth (cm) | ground snow | new snow | Elevation (m.a.s.l.) |
|---|---|---|---|
| | 065 | 002 | 1770 |
| | 007 | grandine | 1350 |

**REGISTERED AVALANCHES: Some medium avalanches, Gliding avalanches.**

## FORECAST 18/02/2026

## Danger level: MODERATE 2

## DANGER PATTERNS: loose snow and wind.

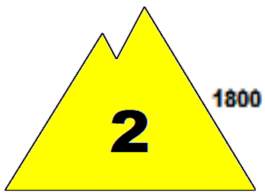


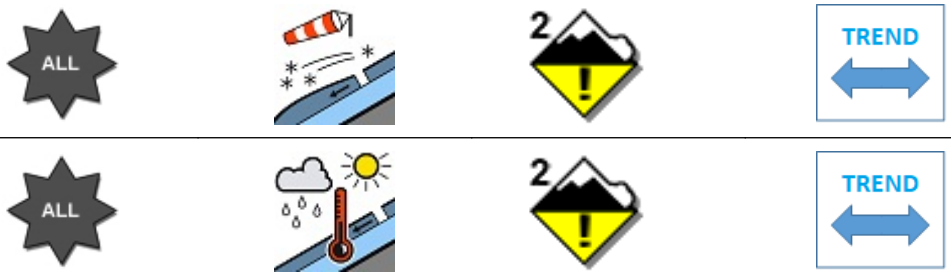


## DANGER PATTERNS: springtime situation.

**SNOWPACK: Snowpack stability is poor on some points (areas) above 1800 m.a.s.l. All aspects are critical. medium avalanches are possible.**
**Snowpack stability is poor on some points (areas) below 1800 m.a.s.l. All aspects are critical. Small avalanches are possible.**

## WARNING

Due to the snow cover conditions,outdoor activities beyond the maintained and marked tracks require an excellent evaluation of local danger points.

## EUROPEAN AVALANCHE WARNING SERVICE

## AVALANCHE PROBLEMS

According to EAWS standards Meteomont bulletin is a synoptic-scale system (regional scale). It shall be the user's responsibility to correlate the danger level evaluation of the bulletin with a detailed and expertise analysis of the zonal hazards (single slope), that could be markedly different. Meteorological forecast are issued at UTC (for Italy: in winter time UTC+1: in summer time UTC+2).

Bulletin is subjected to check processes through: the record of Observers and Avalanches and snow Experts data in C-Sifa; the validation by forecasters; the certification by Meteomont Section.

MINISTERO DELLA DIFESA

meteomont
Servizio Nazionale di previsione neve e valanghe

EAWS EUROPEAN AVALANCHE WARNING SERVICES

CARABINIERI

# TERMINILLO MONTI REATINI E LAGA OVEST

## WEATHER FORECAST FOR

| Elevation | | 18/02/2026 h6:00 | 18/02/2026 h12:00 | 18/02/2026 h18:00 |
|---|---|---|---|---|
| 1000 | Wind | 02 Knots from North | 03 Knots from West | 04 Knots from S-West |
| | Temperatures | -02 °C | +01 °C | +00 °C |
| | Wind chill | -2 °C | -1 °C | -3 °C |
| 2000 | Wind | 11 Knots from North | 09 Knots from West | 10 Knots from S-West |
| | Temperatures | -03 °C | -03 °C | -03 °C |
| | Wind chill | -9 °C | -8 °C | -9 °C |
| 3000 | Wind | 19 Knots from N-West | 09 Knots from West | 13 Knots from West |
| | Temperatures | -08 °C | -06 °C | -05 °C |
| | Wind chill | -18 °C | -12 °C | -12 °C |
| Freezing level | | 1100-1300 m. | 1500-1700 m. | 1400-1600 m. |
| Atmospheric phenomenon | | — | — | — |
| Keys to sky condition | | | | |

## KEYS TO ATMOSPHERIC PHENOMENON

— Absence of adverse weather phenomena
Fog
Mist
Light rain
Moderate rain
Heavy rain
Thunderstorm
Weak snowfall
Moderate snowfall
Heavy snowfall

## KEYS TO SKY CONDITION

Clear
Partly cloudy
Cloudy
Mostly cloudy
Overcast

## Weather and snow data recorded during field and out of field obsevations on 17/02/2026.

| Observation field | District | Elevation (m.a.s.l.) | Snow depth (cm) | Snowfall in previous 24 hours (cm) | Temp. Min (°C) | Temp. Max (°C) | General weather conditions |
|---|---|---|---|---|---|---|---|
| PESCHIERE | Amatrice (RI) | 1270 | 0 | 0 | 0 | +8 | Absence of rain or other precipitation |
| M. CAIDURO | Cittareale (RI) | 1300 | 0 | 0 | 0 | +8 | Absence of rain or other precipitation |
| VALLONINA | Leonessa (RI) | 1350 | 7 | 4 | -2 | +8 | Absence of rain or other precipitation |
| GIRO DELL'ANELLO * | Rieti (RI) | 1770 | 65 | 2 | N.P. | N.P. | Absence of rain or other precipitation |

(*) Out of field survey

**INFORMATION MEANS PREVENTION - SCAN QRCODE TO KNOW DAILY AVALANCHE DANGER LEVEL!**

**IL CAPO DEL CENTRO NAZIONALE METEOMONT**
**(Ten. Col. RFI Emanuela Gini)**
**FIRMA AUTOGRAFA OMESSA AI SENSI**
**DELL'ART.3 DEL D.LGS N.39/1993**

According to EAWS standards Meteomont bulletin is a synoptic-scale system (regional scale). It shall be the user's responsibility to correlate the danger level evaluation of the bulletin with a detailed and expertise analysis of the zonal hazards (single slope), that could be markedly different. Meteorological forecast are issued at UTC (for Italy: in winter time UTC+1: in summer time UTC+2).

Bulletin is subjected to check processes through: the record of Observers and Avalanches and snow Experts data in C-Sifa; the validation by forecasters; the certification by Meteomont Section.